Retail Market Report

Austin - TX USA

PREPARED BY

Williamson Central Appraisal District

Zoe Ying Zhang

CoStar™

RETAIL MARKET REPORT

Market Key Statistics	1
Leasing	3
Rent	8
Construction	10
Under Construction Properties	12
Sales	14
Sales Past 12 Months	16
Economy	18
Market Submarkets	23
Supply & Demand Trends	26
Rent & Vacancy	30
Sale Trends	34

© 2026 CoStar Group - Licensed to Williamson Central Appraisal District - 1445675

Overview

12 Mo Deliveries in SF	12 Mo Net Absorption in SF	Vacancy Rate	Market Asking Rent Growth
1.9M	1.2M	3.3%	2.5%

Austin's vacancy rate remains historically low at 3.3%, up slightly from a year ago when it measured 2.9%, primarily due to an uptick in speculative deliveries. Austin has been the most actively developed retail market in the country for a third consecutive year on a percentage basis. Retail completions totaled 2 million SF in 2025, the third-highest total in the country. However, with the inventory expanding only 1.4% year over year, the increase is relatively modest, indicating that space is likely to remain in short supply.

Leasing volume has been robust, ranking third in the country as a percentage of inventory. This activity has been fueled by strong demand fundamentals, including a rapidly growing population and a concentration of affluent households in the Austin area. Relative to historical performance, leasing has settled into a steady rhythm, with a mix of backfilled space in older properties and the lease-up of new developments driving this year's activity.

As such, absorption accelerated for a third consecutive quarter, reaching 580,000 SF in 25Q4, driven primarily by demand for general retail. For the full year, absorption totaled 1.6 million SF, a solid performance that aligns closely with the 10-year average.

After a steady influx of construction starts this year, the pipeline remains elevated at 2.7 million SF, roughly the same level as last year. Developers continue to face challenges in making projects financially viable, but a backlog of projects that overcame logistical hurdles, such as utility constraints in growing suburbs, finally broke ground, according to one local broker.

Consistent with historical norms, most of the space underway is already committed, with 80% of the space preleased. As a result, its impact on the vacancy rate will likely be minimal over the next two years. It is expected to remain steady in the low 3% range in 2026, as absorption continues to be strong and a largely build-to-suit development pipeline keeps the market balanced.

While space remains tight, retail sales growth has moderated to more normalized levels as rising inflation and cooling job growth dampen discretionary income growth. Rent growth of 2.2% in 2025 is slightly cooler than the five-year pre-pandemic average of 3.3% and notably less than the 4.8% average between 2021 and 2024.

However, the consumer spending outlook remains robust for 2026, supported by continued in-migration and a strong job market, suggesting that the retail market will stay on a steady course with a vacancy rate below 4% and rents accelerating slightly at 2.5%. The state's government data indicate that retail sales tax collections increased by 3.8% in the first two months of 25Q4 compared to the same period a year earlier, reflecting healthy inflation-adjusted growth.

© 2026 CoStar Group - Licensed to Williamson Central Appraisal District - 1445675

KEY INDICATORS

Current Quarter	RBA	Vacancy Rate	Market Asking Rent	Availability Rate	Net Absorption SF	Deliveries SF	Under Construction
Malls	6,318,071	4.2%	$39.50	5.7%	(7,982)	0	0
Power Center	16,067,726	2.5%	$33.37	3.1%	1,991	0	0
Neighborhood Center	27,103,480	4.4%	$31.34	5.4%	(32,617)	0	435,629
Strip Center	8,734,513	6.3%	$29.95	9.3%	(5,850)	0	370,518
General Retail	63,259,108	2.5%	$30.37	3.5%	(105,745)	6,000	1,909,616
Other	2,009,926	3.2%	$42.89	3.9%	0	0	0
Market	**123,492,824**	**3.3%**	**$31.59**	**4.4%**	**(150,203)**	**6,000**	**2,715,763**

Annual Trends	12 Month	Historical Average	Forecast Average	Peak	When	Trough	When
Vacancy	0.4% (YOY)	4.6%	3.6%	7.2%	2007 Q2	2.9%	2024 Q2
Net Absorption SF	1.2M	1,932,071	1,717,927	5,095,694	2007 Q1	496,780	2011 Q2
Deliveries SF	1.9M	2,069,893	2,116,387	5,852,240	2007 Q2	696,099	2011 Q3
Market Asking Rent Growth	2.5%	3.0%	2.9%	5.9%	2023 Q3	-1.4%	2010 Q2
Sales Volume	$454M	$296M	N/A	$725.9M	2022 Q1	$64M	2009 Q4

© 2026 CoStar Group - Licensed to Williamson Central Appraisal District - 1445675

Austin's availability rate edged higher over the past year, rising by 70 basis points since 24Q4 to reach 4.4%. Most of this increase stems from a recent uptick in the construction of uncommitted space. More than 26% of all available space in the Austin metro is concentrated among properties either under construction or completed since 2024. These newest properties reflect the highest availability rate of over 20%, yet the overall availability rate remains aligned with its 10-year average.

Construction starts accelerated in 25Q4 for the second consecutive quarter, contributing to the upward trend despite a preleased rate of 75%. However, financing and construction cost constraints continue to make retail development challenging, suggesting that further surges in construction starts are unlikely.

Tenant demand remains healthy but has cooled compared to recent years. Leasing volume from 24Q4 through 25Q3 totaled 3.2 million SF, down 13% year over year but nearly identical to the 10-year average. The leasing slowdown is more notable in light of the recent uptick in available space, underscoring that fewer tenants are currently in the market compared to recent years.

Both goods and services tenants maintain a balanced share of leasing activity, though service-based tenants accounted for a larger portion in 2025. Fitness operators were the most active over the past year, followed by food and beverage and food service retailers.

General retail properties captured 38% of leasing volume in 2025, while neighborhood centers and strip centers drove 20% and 15%, respectively, which is consistent with 2024 levels. Most of this activity occurred in older, backfilled spaces, with 60% of volume in properties built between 1970 and 2009. This trend reflects an acceleration in move-outs, which reached 2.7 million SF for the year ending in 25Q3, about 24% higher than the previous year. These move-outs have proven to be a healthy part of the cycle, creating opportunities for expanding retailers.

The North/Domain Submarket experienced a meaningful increase in leasing activity this year, expanding from a 3% share of overall activity to nearly 10%, led by big-box retailers. Crunch Fitness backfilled a 43,000-SF space at Scofield Crossing previously occupied by Hana World Market, while Burlington took a 35,000-square-foot space formerly occupied by Joann.

Suburban availability, historically lower, shifted upward by mid-2025. It rose 80 basis points from 24Q4 to 25Q4, reaching 4.6%, while urban availability increased more modestly by 40 basis points to 4.4%. The sharper suburban increase reflects heavier construction activity in these areas. Austin's limited geographic constraints have fueled urban sprawl, supporting strong population growth and rising density farther from the urban core.

Demand for suburban retail remains the primary driver of overall market absorption, accounting for nearly all gains in 2025. While urban absorption was flat, with just 15,000 SF absorbed, suburban absorption accelerated from 1.3 million SF to 1.7 million SF over the past year. Most population growth is occurring outside the urban core, particularly in Williamson County to the north, one of the fastest-growing counties in the country.

While the overall market is strong, pockets of softness remain. The Northeast Submarket, one of Austin's smaller retail areas with 4 million SF of inventory, leads with the highest availability rate at 13%, driven by new projects in lease-up, such as EastVillage. Lifestyle centers, which represent a very small share of total inventory, have the highest availability rate at 17%, followed by strip centers at 9%, both elevated by newly constructed, uncommitted space.

© 2026 CoStar Group - Licensed to Williamson Central Appraisal District - 1445675

NET ABSORPTION, NET DELIVERIES & VACANCY

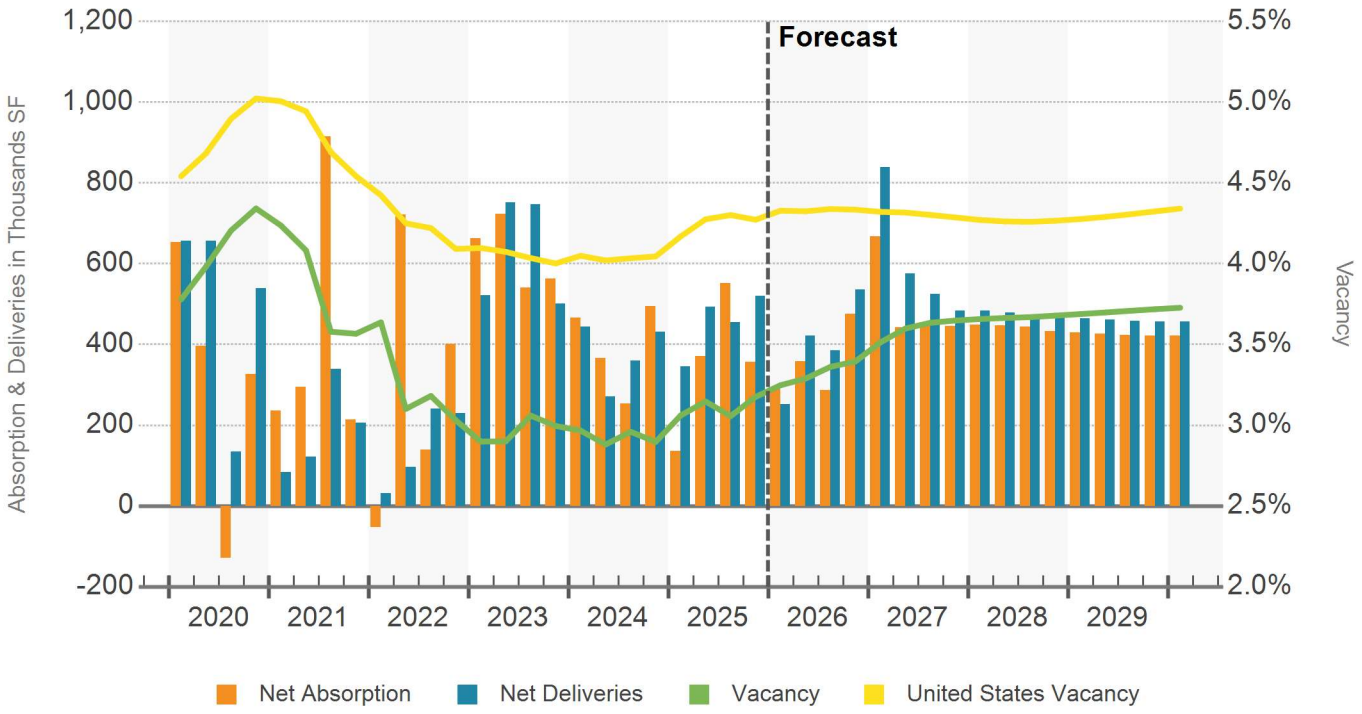

VACANCY RATE

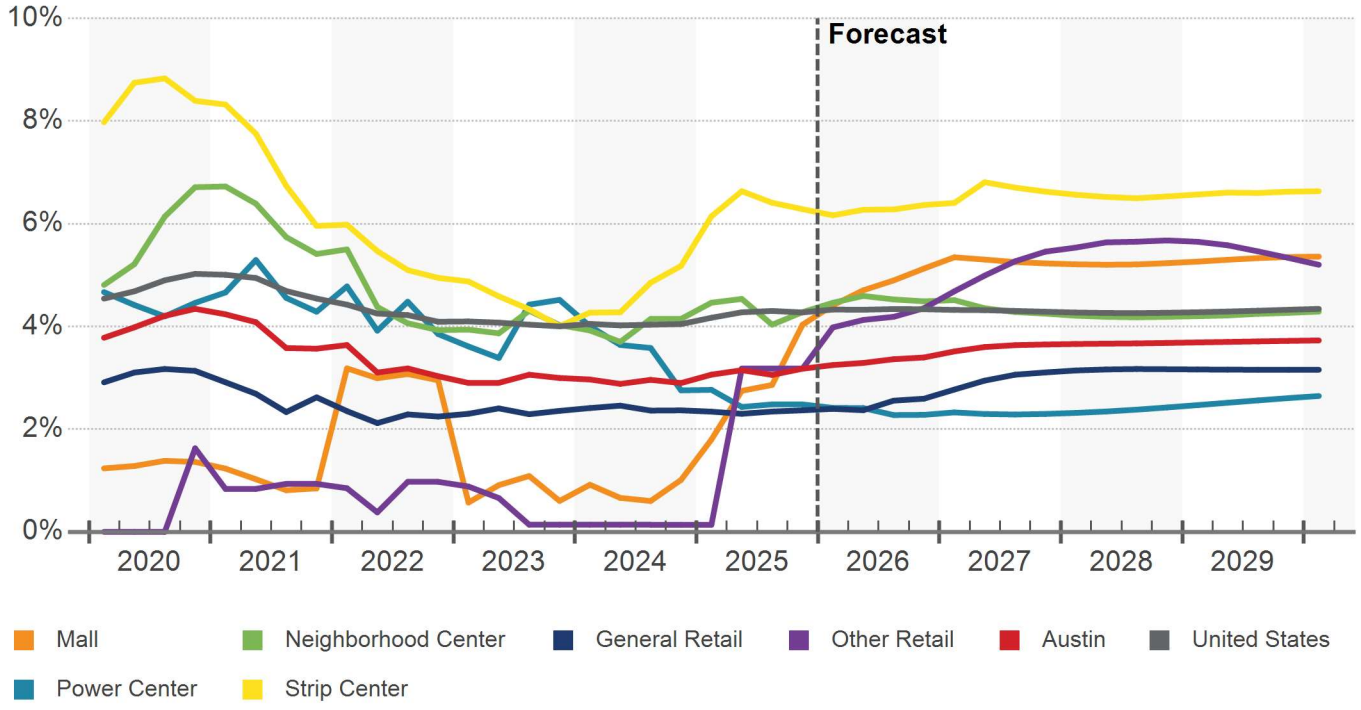

AVAILABILITY RATE

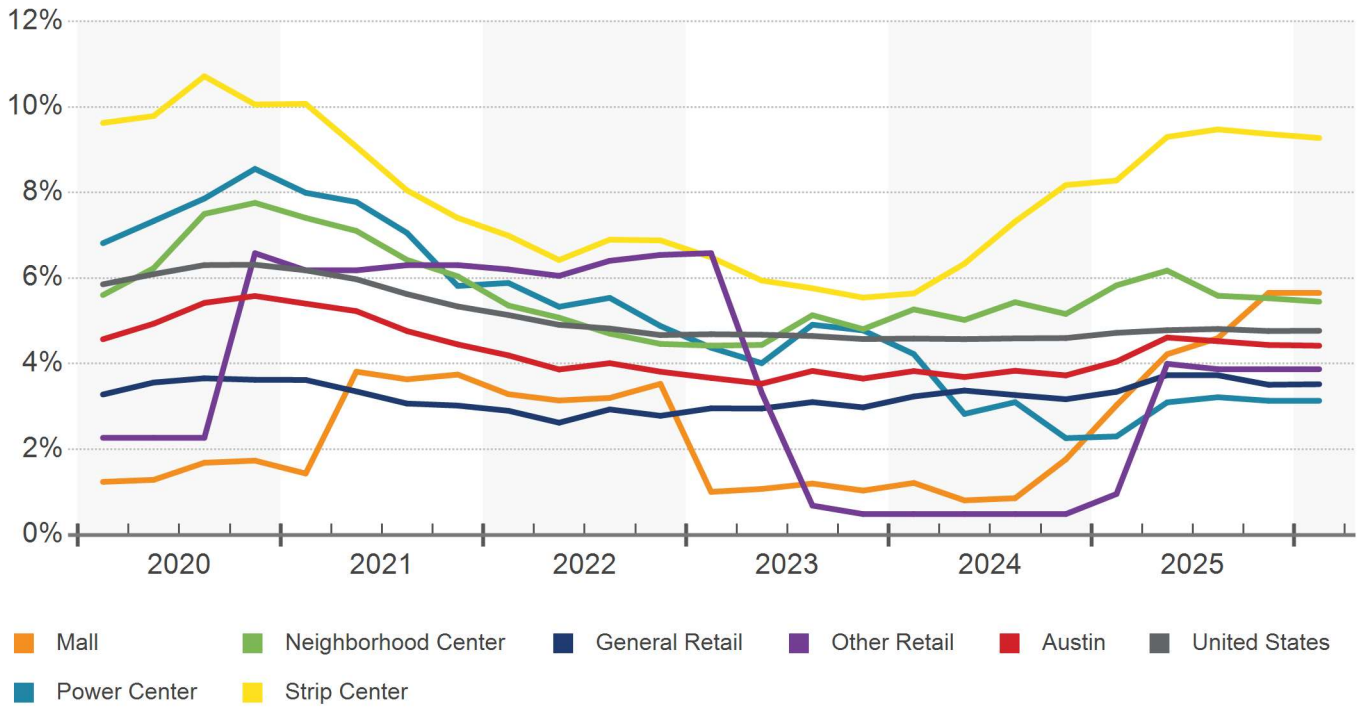

12 MONTH NET ABSORPTION SF IN SELECTED BUILDINGS

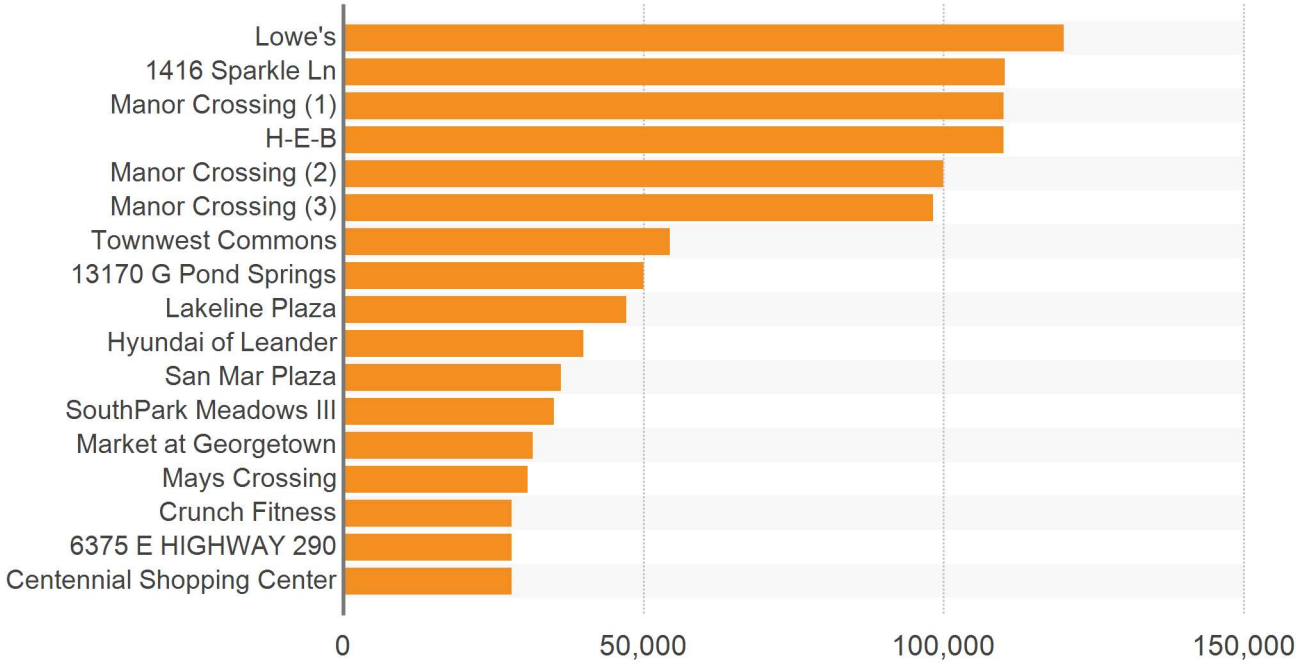

Building Name/Address	Submarket	Bldg SF	Vacant SF	Net Absorption SF				
				1st Qtr	2nd Qtr	3rd Qtr	4th Qtr	12 Month
Lowe's	Georgetown	120,000	0	0	0	0	0	120,000
1416 Sparkle Ln	Cedar Park	110,214	0	0	0	0	0	110,214
Manor Crossing (1)	Far Northeast	110,000	0	0	0	0	0	110,000
H-E-B	Georgetown	110,000	0	0	0	0	0	110,000
Manor Crossing (2)	Far Northeast	100,000	0	0	0	0	0	100,000
Manor Crossing (3)	Far Northeast	98,206	0	0	0	0	0	98,206
Townwest Commons	Georgetown	54,400	0	0	0	0	0	54,400
13170 G Pond Springs	Far Northwest	50,000	0	0	0	0	0	50,000
Lakeline Plaza	Cedar Park	111,307	0	0	0	0	0	47,120
Hyundai of Leander	Georgetown	40,000	0	0	0	0	0	40,000
San Mar Plaza	Hays County	160,810	0	0	0	0	0	36,278
SouthPark Meadows III	South	137,908	0	0	0	0	0	35,111
Market at Georgetown	Georgetown	54,994	3,218	0	0	0	0	31,600
Mays Crossing	Round Rock	64,084	1,400	0	0	0	0	30,700
Crunch Fitness	Hays County	32,000	0	0	0	0	0	28,089
6375 E HIGHWAY 290	East	28,029	0	0	0	0	0	28,029
Centennial Shopping Center	Central	80,862	0	0	0	0	0	28,000
Subtotal Primary Competitors		**1,462,814**	**4,618**	**0**	**0**	**0**	**0**	**1,057,747**
Remaining Austin Market		122,030,010	4,071,579	(150,203)	0	0	0	189,586
Total Austin Market		**123,492,824**	**4,076,197**	**(150,203)**	**0**	**0**	**0**	**1,247,333**

© 2026 CoStar Group - Licensed to Williamson Central Appraisal District - 1445675

TOP RETAIL LEASES PAST 12 MONTHS

Building Name/Address	Submarket	Leased SF	Qtr	Tenant Name	Tenant Rep Company	Leasing Rep Company
Manor Crossing	Far Northeast	110,000	Q2 25	The Home Depot	-	-
Extra Space Storage	Round Rock	105,316	Q3 25	ExtraSpace Storage Inc.	-	-
Louis Shanks Furniture	Central	94,589	Q2 25	Balloon Museum	-	MFB Real Estate Servi…
AEG Presents-River Park	Southeast	65,000	Q1 25	AEG Presents	-	-
Tx Bldg and Procurement	East	47,992	Q2 25	Legacy Padel	JLL	Gold Eagle Investments
Scofield Crossing	North/Domain	43,663	Q2 25	Crunch Fitness	Crunch	-
Braker Lane Crossing	Northwest	43,000	Q4 25	Slick City	-	StreetFront Commercial
SouthPark Meadows III	South	40,440	Q2 25	Crunch Fitness	NAI Wheelhouse	Z-Three Real Estate
Lohmans Crossing	Southwest	40,070	Q3 25	Crunch Fitness	-	True Equity Group
Kyle Park	Hays County	40,000	Q3 25	EoS Fitness	-	NewQuest Properties
12707 N Mopac Expy	North/Domain	40,000	Q3 25	EoS Fitness	Rise Commercial Pa…	-
Leander Union	Cedar Park	36,939	Q4 25	Northpoint Church	-	Endeavor Real Estate…
The Shops at Arbor Walk	North/Domain	35,000	Q2 25	Burlington	-	TriMarsh Properties, LLC
San Mar Plaza	Hays County	34,874	Q1 25	IKEA	-	Dunhill Partners, Inc.
Plaza FAMSA	Central	33,348	Q4 25	Crunch Fitness	Endeavor Real Estat…	-
The Hub at Research and 45	Cedar Park	31,736	Q2 25	House of Gainz	-	Sandalwood Managem…
Shops at Tech Ridge	Northeast	31,633	Q3 25	TJ Maxx	Rise Commercial Pa…	RD Management, LLC;…
Mays Crossing	Round Rock	30,000	Q2 25	Los Campeones Gym	-	TriMarsh Properties, LLC
201 W 6th St	CBD	29,044	Q4 25	The Twelve Thirty Club	-	-
250 Gateway Center	Hays County	28,477	Q3 25	Jump Party USA	Andrew Perkel	Sage Commercial
Anderson Arbor Shopping Center	Far Northwest	27,987	Q1 26	Pickle Rage, LLC	-	RESOLUT RE
Oak Hill Plaza	Southwest	27,368	Q3 25	The Picklr	-	CBRE
2817 W Anderson Ln	Central	24,000	Q2 25	-	-	Weitzman
Cedar Park Plaza	Cedar Park	23,606	Q1 25	Aldi	-	Rise Commercial Partn…
7801 Burnet Rd *	Central	23,600	Q1 25	Bassett	-	StreetFront Commercial
Gateway Shopping Centers	Northwest	21,918	Q4 25	-	-	EDGE Realty Partners
1610 Dungan Ln	Northeast	20,800	Q3 25	Taddel	-	Don Quick & Associates
Manor Crossing	Far Northeast	18,600	Q4 25	Planet Fitness	CLD Realty	The Retail Connection
Renaissance Square	Round Rock	18,000	Q1 25	Poco Loco Super Mercado	-	Marquette Realty Inves…
South First Square *	South	17,833	Q1 25	-	-	AQUILA Commercial
Mcnair's Appliances, Inc.	Central	16,012	Q1 25	Reece Bath+Kitchen	-	-
6th + Rio Grande	CBD	15,085	Q3 25	Renao House	-	Endeavor Real Estate…
Lakeline Plaza *	Cedar Park	15,007	Q1 25	Old Navy	-	EDGE Realty Partners
Wooten Village *	North/Domain	15,000	Q3 25	Dollar Tree	-	Vista Property Co.
Lakeline Plaza	Cedar Park	14,776	Q1 25	Dollar Tree	-	EDGE Realty Partners
Market At Round Rock	Round Rock	14,325	Q4 25	Party Chaos	NAI Excel	BKD Realty
1301 N Lakeline Blvd	Cedar Park	14,051	Q4 25	-	-	Team West Real Estat…
The X-Change Center	South	14,027	Q1 25	-	Colliers	CBRE
6500 N Lamar Blvd	Central	13,000	Q2 25	Pipeline Labs	-	6500 Lamar LLC
Building 11	Georgetown	12,600	Q2 25	Intensity Gymnastics	St. Croix Capital Re…	RESOLUT RE

*Renewal

© 2026 CoStar Group - Licensed to Williamson Central Appraisal District - 1445675

With the vacancy rate hovering around 3%, one of the lowest in the nation, and retail sales remaining well above pre-pandemic averages, rents continue to rise, outpacing the historical average. Average asking rents have increased by 2.5% over the past year, climbing from $30.50/SF in 24Q2 to $32.00/SF in 25Q3. Retailers eager to enter or expand within the market, sometimes seeking multiple locations simultaneously, find it challenging to find a suitable space, tilting negotiating power in favor of landlords.

This trend has been most notable in Austin's urban core, in submarkets such as North/Domain or South Austin, which have high population densities of higher-income households with more discretionary dollars, making them popular targets for retailers. Additionally, limited supply growth in these central locations has kept availabilities low, culminating in rent increases of over 6%. As a result, rent growth is likely to continue outperforming here due to centrally located assets, with virtually no additional competition coming down the pipeline in the year to come.

Austin's Northwest region, a first-ring suburb of Austin, is also poised to show outsized rent growth for the coming year. Research Boulevard, which runs from MoPac Expressway to the border of Williamson County, is a trademark retail corridor filled with a diverse tenant base and a destination for shoppers from Austin's urban core and suburbs such as Cedar Park. Similar to urban locations, the Northwest submarket lacks new retail development, which reinforces the tight market conditions within this predominantly affluent neighborhood.

Despite robust rent growth, ranking among the nation's highest, projections indicate a deceleration from the peak of 6% recorded in 23Q3 to 3% by the end of 2025. While consumer spending remains strong and well above the pre-pandemic averages, it shows signs of leveling off. Gross retail sales in Austin reached historic highs in 2021 and 2022, setting new high-water marks for the metropolitan area, according to the Texas Comptroller of Public Accounts. So, as retail sales growth cools, the pool of tenants actively seeking space is not as deep as during the peak of the post-pandemic retail boom. Moreover, population growth forecasts suggest a deceleration in the coming year as the rising cost of living in Austin becomes an important consideration for people considering relocating to the Texas Capital.

MARKET ASKING RENT GROWTH (YOY)

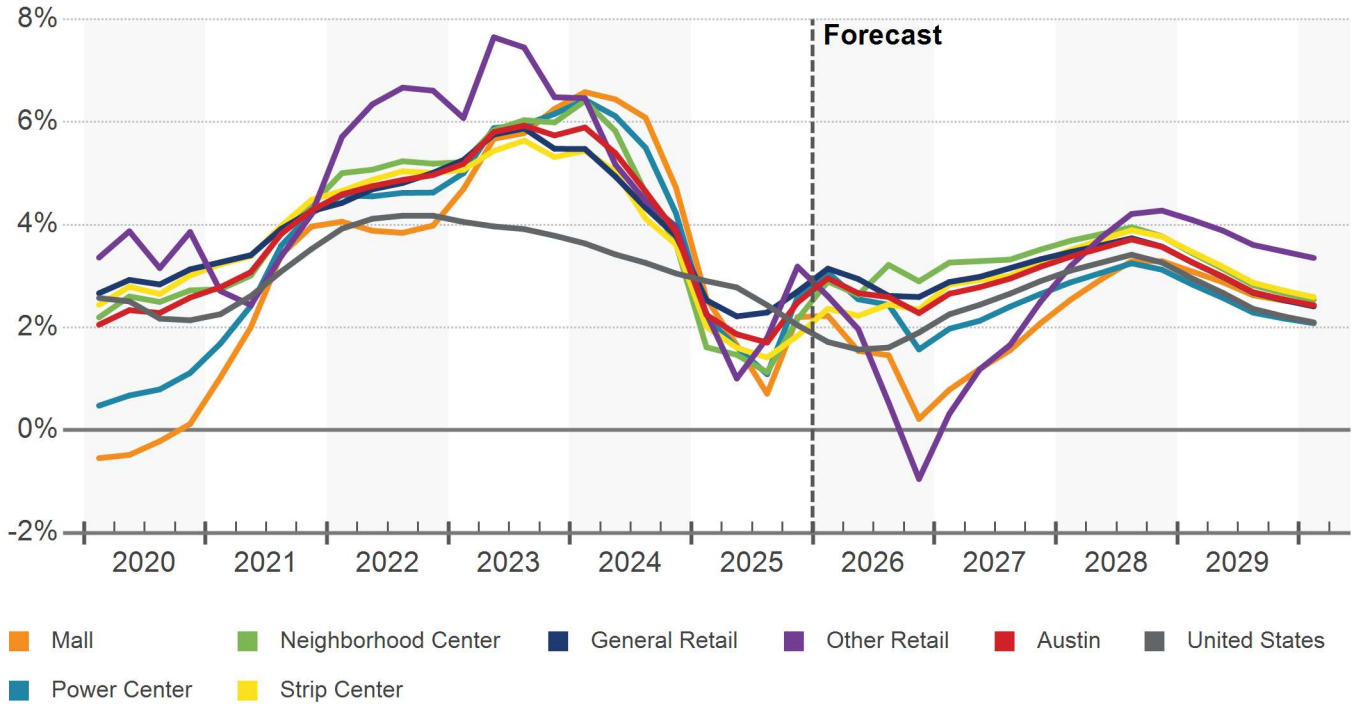

MARKET ASKING RENT PER SQUARE FEET

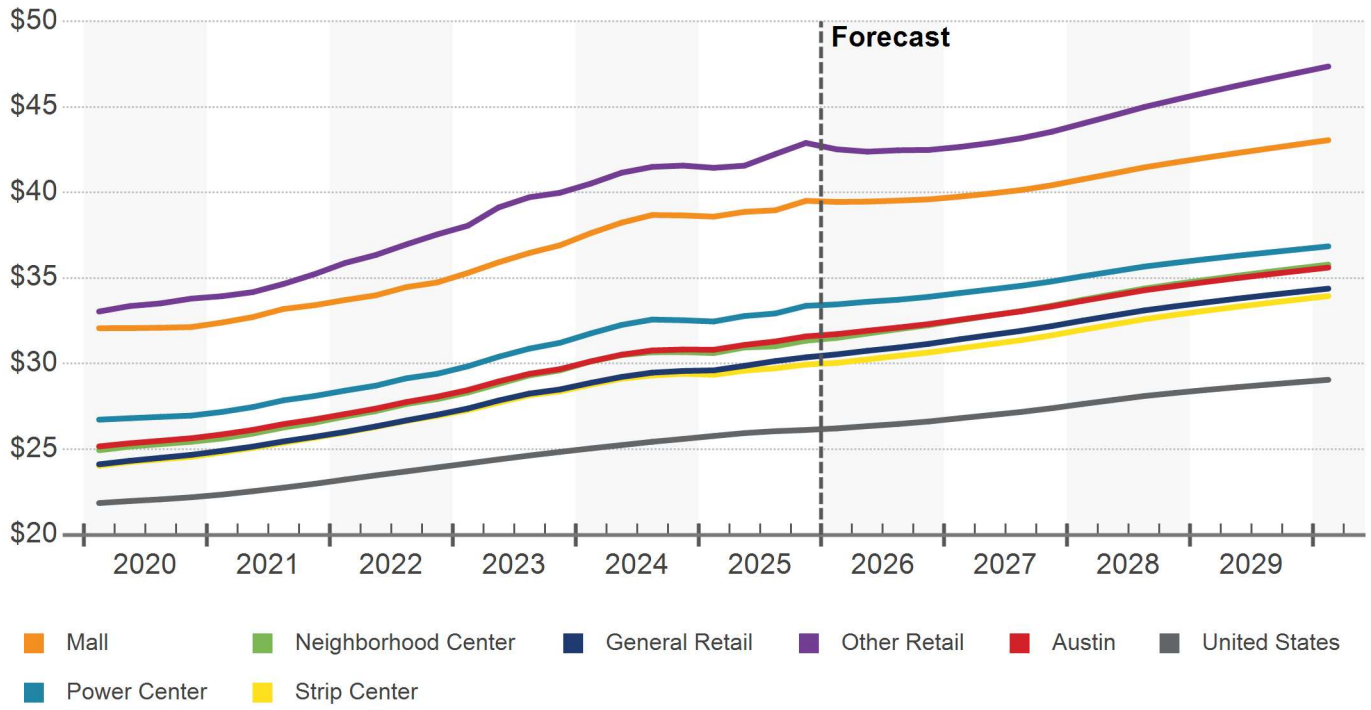

Deliveries surged 38% year-over-year in 2025, reaching 2.1 million SF, up from 1.5 million in 2024. This ranked as the third-largest amount of retail space delivered nationally, behind neighboring Texas metros, Dallas-Fort Worth and Houston. It also marked the third time since 2009 that Austin delivered more than 2 million SF in a single year.

With few geographic constraints, developers continue to find land and growing trade areas outside the urban core. As a result, the suburbs accounted for more than 96% of all square footage delivered in 2025.

Manor, a northeastern city of 22,000 residents, experienced its largest supply expansion ever, with its inventory growing by over 50% in just one year. Most of this growth came from Manor Crossing, a 425,000-SF shopping center featuring big-box build-to-suits for Home Depot and H-E-B, along with a mix of shop space. The project was nearly fully preleased at delivery. This reflects a broader trend of new retail construction in fast-growing suburbs, supported by job growth and migration. Manor exemplifies this trend, as its population grew by 52% between 2020 and 2024, the fastest rate in the Austin metro.

After 2024 set a multi-year high-water mark for construction starts in the Austin metro, activity cooled slightly in 2025 but remained aligned with the market's 10-year average, with 2 million SF breaking ground, equal to 1.8% of inventory. This points to another strong year for deliveries in 2026 at an estimated 1.6 million SF, with potential acceleration in 2027 to 2.4 million SF.

Austin continues to defy national trends, leading the U.S. in construction starts as a share of inventory for the fourth consecutive year from 2022 to 2025. According to one broker, much of this new construction is occurring because suburban cities have resolved long-standing utility constraints, unlocking development on land that has been ready for years.

Roughly 77% of this space is preleased or build-to-suit, consistent with the overall pipeline, suggesting that speculative development-driven vacancy increases are unlikely.

Cedar Park will be the next Austin region to experience a significant wave of new retail space in the coming year. The construction pipeline is heavily concentrated in Cedar Park, which accounts for 33% of all space underway, followed by Leander at 17%. Together, these two areas make up half of the market's pipeline. Cedar Park's largest project is Cedar View, a mixed-use development anchored by NFM (formerly Nebraska Furniture Mart). The site will feature a 550,000-square-foot furniture showroom, a 240,000-square-foot Scheels sporting goods store, a 292-room hotel, and ancillary retail space.

© 2026 CoStar Group - Licensed to Williamson Central Appraisal District - 1445675

DELIVERIES & DEMOLITIONS

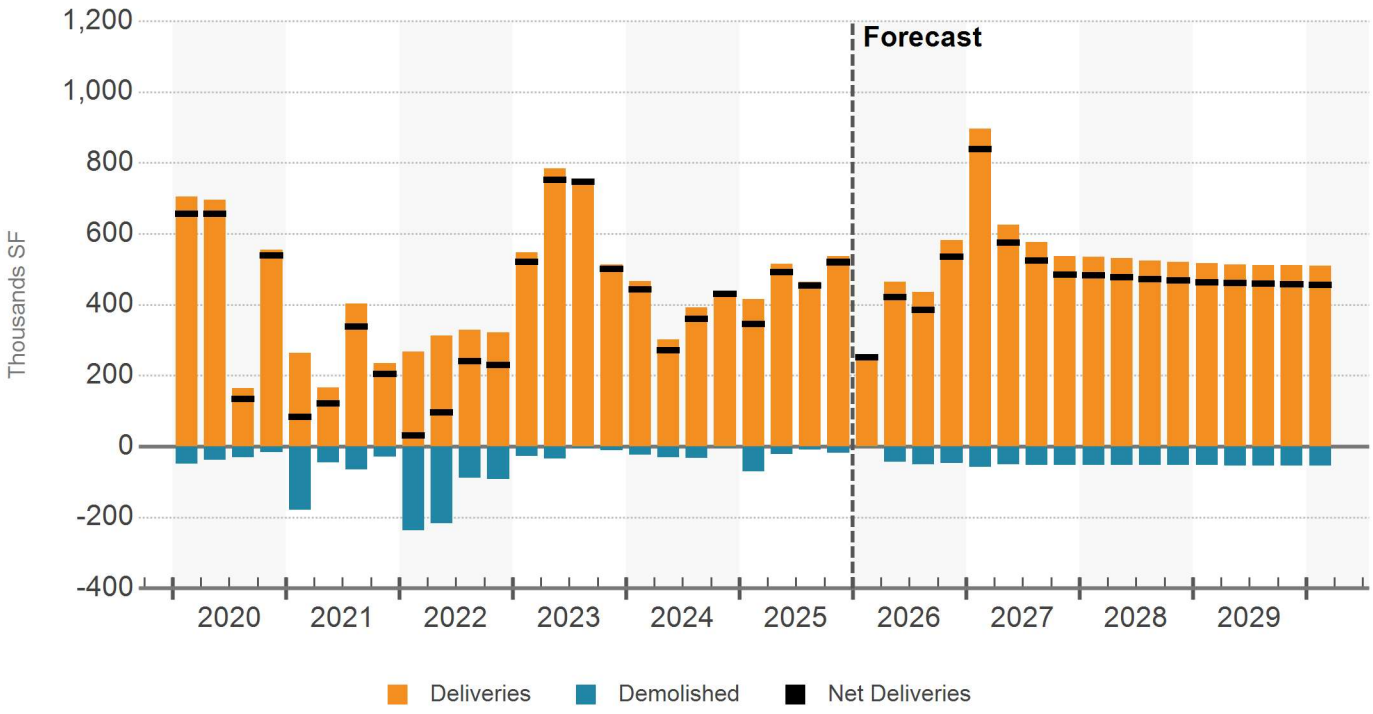

SUBMARKET CONSTRUCTION

		Under Construction Inventory					Average Building Size		
No.	Submarket	Bldgs	SF (000)	Pre-Leased SF (000)	Pre-Leased %	Rank	All Existing	Under Constr	Rank
1	Cedar Park	26	1,131	869	76.8%	7	15,899	43,496	2
2	Georgetown	26	685	590	86.2%	4	10,228	26,334	3
3	Hays County	9	195	130	66.3%	8	10,379	21,713	4
4	Far Northeast	10	161	101	62.9%	9	16,566	16,051	6
5	Southwest	8	154	126	82.0%	6	14,950	19,259	5
6	Southeast	1	100	100	100%	1	10,803	100,000	1
7	Round Rock	9	70	42	60.2%	10	11,986	7,775	8
8	Bastrop County	5	69	59	86.2%	5	7,781	13,714	7
9	Northeast	13	65	62	95.1%	3	16,508	5,008	10
10	Caldwell County	5	35	34	95.9%	2	6,065	7,077	9
	All Other	6	51	46	90.2%		10,459	8,525	
Totals		**118**	**2,716**	**2,159**	**79.5%**		**11,266**	**23,015**	

© 2026 CoStar Group - Licensed to Williamson Central Appraisal District - 1445675

Under Construction Properties

Austin Retail

Properties	Square Feet	Percent of Inventory	Preleased
118	2,715,763	2.2%	79.5%

UNDER CONSTRUCTION PROPERTIES

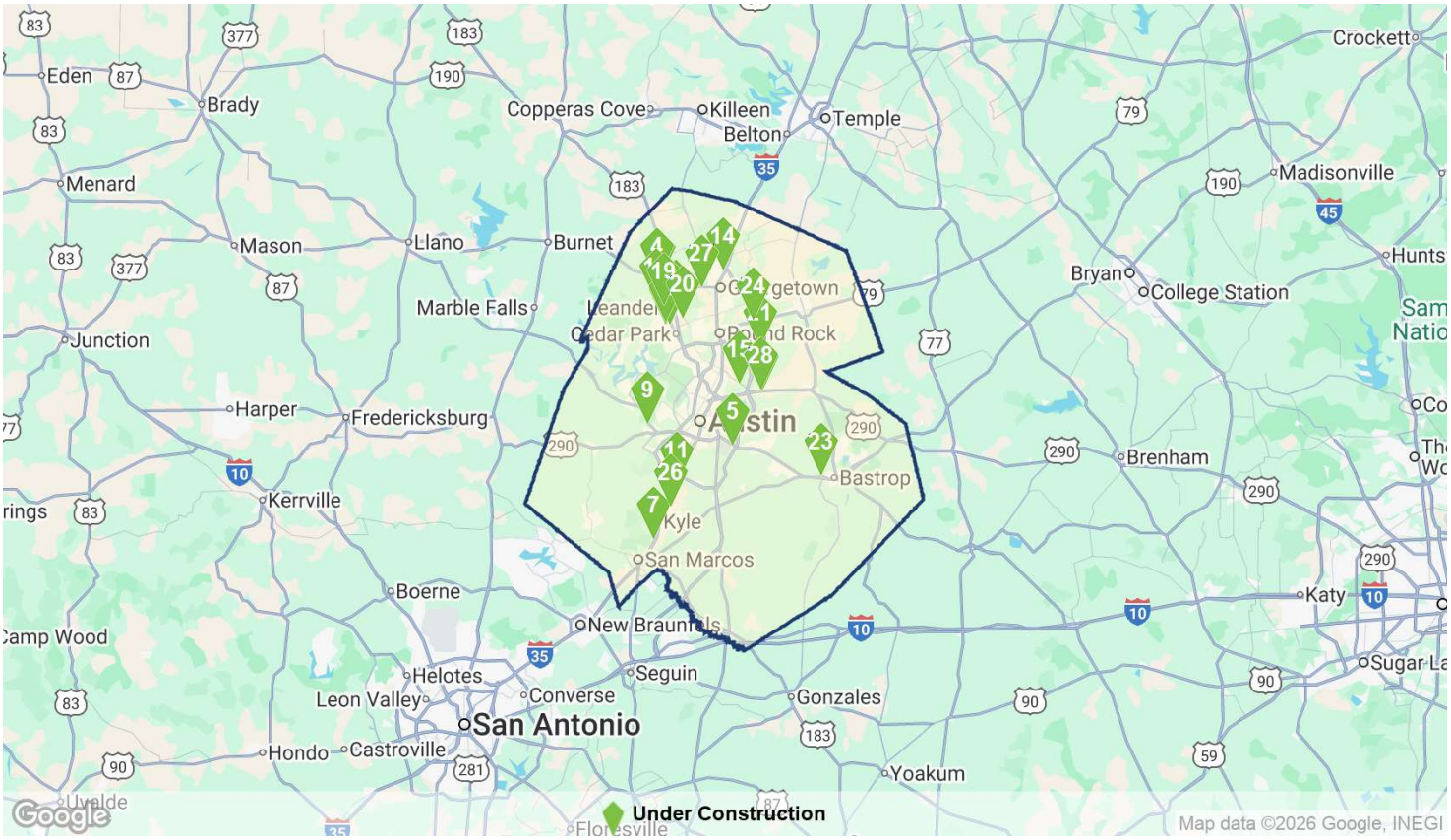

UNDER CONSTRUCTION

	Property Name/Address	Rating	Bldg SF	Stories	Start	Complete	Developer/Owner
1	**Nebraska Furniture Mart** 750 E New Hope Dr	★★★★☆	545,000	1	Feb 2025	Jan 2027	- Nebraska Furniture Mart, In
2	**SCHEELS** 750 E New Hope Dr	★★★★☆	240,000	1	Aug 2024	Oct 2026	- Kent P Fancher
3	**Costco Wholesale- Liberty H** Hwy 183 & Seward Junction L	★★★★☆	160,000	1	Aug 2025	Dec 2026	- William Pohl
4	**Target** SEQ US 183	★★★☆☆	148,356	1	Nov 2025	Jul 2026	- -
5	**The Row - Phase III** Spirit Drive Dr	★★★☆☆	100,000	1	Nov 2025	Nov 2026	- -
6	**Tract H-1** Highway 79 & Alliance Blvd	★★★★☆	81,529	1	Oct 2025	May 2026	- NewQuest Properties
7	**Buc-ee's** Yarrington Rd	★★★☆☆	74,000	1	Aug 2025	Jul 2026	- Paul J Leventis

© 2026 CoStar Group - Licensed to Williamson Central Appraisal District - 1445675

Under Construction Properties

UNDER CONSTRUCTION

	Property Name/Address	Rating	Bldg SF	Stories	Start	Complete	Developer/Owner
8	**Leif Johnson Ford** 9300 State Highway 71	★★★★☆	57,486	1	Sep 2024	Jun 2026	- Leif Johnson Ford, Inc.
9	**Leif Johnson Ford West - Sl** 9300 State Highway 71	★★★☆☆	57,486	2	Aug 2024	Feb 2026	Teal Construction Company -
10	**Bldg 8** 10880 E Crystal Falls Pky	★★★☆☆	49,000	2	Feb 2025	Feb 2026	- -
11	**The Corner on Main**	★★★☆☆	48,000	1	Nov 2025	Aug 2026	- New Horizon Capital
12	**Hope Alliance** 1161 West San Gabriel Parkw	★★★☆☆	46,265	1	Aug 2025	Jun 2026	- -
13	**Bldg 10** 10840 E Crystal Falls Pky	★★★☆☆	39,738	1	Feb 2025	Feb 2026	TOPO -
14	**205 Jesse Cocke Dr**	★★★☆☆	39,587	2	Oct 2025	Aug 2026	- ALPIA NEW BRAUNFELS SQUARE,
15	**5900 Parmer Ln**	★★★★☆	39,400	1	Dec 2025	Jun 2026	- Malabar Hill Capital
16	**2001 Bagdad Rd**	★★★☆☆	38,000	1	Nov 2025	Apr 2027	- -
17	**The Shoppes at Bell Blvd** 1804 N Bell Blvd	★★★★☆	36,731	2	Jun 2025	Jul 2026	- -
18	**3000 S Bagdad Rd**	★★★☆☆	34,000	1	Nov 2025	Mar 2027	- -
19	**Building B** SH 183 & Hero Way	★★★★☆	29,500	1	Jun 2025	Feb 2026	- Zishan Momin
20	**Building 7** 14300 Ronald W Reagan Blvd	★★★☆☆	27,560	1	Feb 2024	Feb 2026	- Prime Developer
21	**20601 Hodde Lane and Spei**	★★★☆☆	24,600	1	Nov 2025	Nov 2026	- -
22	**Building 2** 11900 U.S. 290	★★★☆☆	24,507	1	Nov 2024	Feb 2026	- -
23	**Sprouts Farmers Market** 655 SH 71 W	★★★★☆	23,349	1	Mar 2025	Feb 2026	- -
24	**Tract 13 & 14: Petco & Dolla** State Highway 79	★★★☆☆	22,450	1	Oct 2025	Nov 2026	- NewQuest Properties
25	**Manor Commons Phase 3** 12897 N FM 973 Rd	★★★☆☆	20,000	1	Jul 2024	Feb 2026	Greenview Development 157 Akbar Ali
26	**3921 Dacy Ln**	★★★☆☆	19,500	1	Aug 2025	Apr 2026	- -
27	**2451 W. UNIVERSITY AVEN**	★★★☆☆	19,500	1	Jun 2025	Dec 2026	- Pinnacle Montessori
28	**Building 1** 11901 U.S. 290	★★★☆☆	18,455	1	Nov 2024	Feb 2026	- -

© 2026 CoStar Group - Licensed to Williamson Central Appraisal District - 1445675

While the market has limited available space, declining construction activity, and strong retailer demand, property owners are grappling with a challenging financing landscape and declining property value. This has made owners reluctant to transact at lower prices, resulting in a stagnation in transaction activity.

In 2024, cap rates for the smallest, freestanding properties under 10,000 SF were the lowest in the market for the year, in the mid-5% range. It is a 50-basis-point increase from the 5% levels in 2022. This property type was the most commonly sold, accounting for a third of total sales volume over the past year. For instance, the single-tenant, 1,000-SF retail space at 2090 Main St. in Buda sold in late 2023 at a 5.2% cap rate. The quick-service restaurant chain Dutch Bros Coffee fully leased the space with 14 years left on the lease.

Strip centers have experienced cap rates grow by approximately 50 to 75 basis points from the period before the Fed's interest rate increases and are now routinely traded above a 6% cap rate. The Shops at Mayfield Ranch in the northern suburb of Round Rock was acquired by an individual investor in mid-2023 at a 6.2% cap rate. The property was built in 2022 and leased to a dental office, a coffee shop, and a personal care business.

Property prices continue to face downward pressure due to the ongoing valuation gap between buyers and sellers, contributing to Austin's comparatively low sales volumes among the 50 largest U.S. retail markets. This year, the market registered only a 1% turnover rate, significantly off the pace from the 4.1% average turnover observed between 2015 and 2019.

The sale of larger properties has become less common, with those over 30,000 SF now comprising only one-third of sales volume, compared to more than half in 2019. Transaction counts in 2024 were also 70% below the pre-pandemic five-year average. This has culminated in $100 million in total sales volume, the lowest total since 2012.

Historically, Austin has been led by private real estate companies and individual investors, accounting for 36% of the total sales volume over the past five years. In late 2023, their influence had become even more pronounced, making up 47% of all sales volume. More sophisticated buyers have become less active in the market, leaving smaller, less price-sensitive buyers who tend to prioritize tax deferral.

Emerging submarkets with rapidly expanding populations, such as Hays County and Georgetown, continue to attract the majority of current investment activity. These northern suburbs, along with Round Rock and Cedar Park, account for half of all properties sold, given the potential for sustained, long-term population growth.

Owners are increasingly concerned about identifying the next buyer for the upcoming wave of completions, casting uncertainty over their exit strategies. Consequently, owners are holding on to properties for longer periods. Despite historically low vacancies and strong consumer spending, valuations are expected to continue softening as the bid-ask gap persists and higher interest rates prevail.

© 2026 CoStar Group - Licensed to Williamson Central Appraisal District - 1445675

SALES VOLUME & MARKET SALE PRICE PER SF

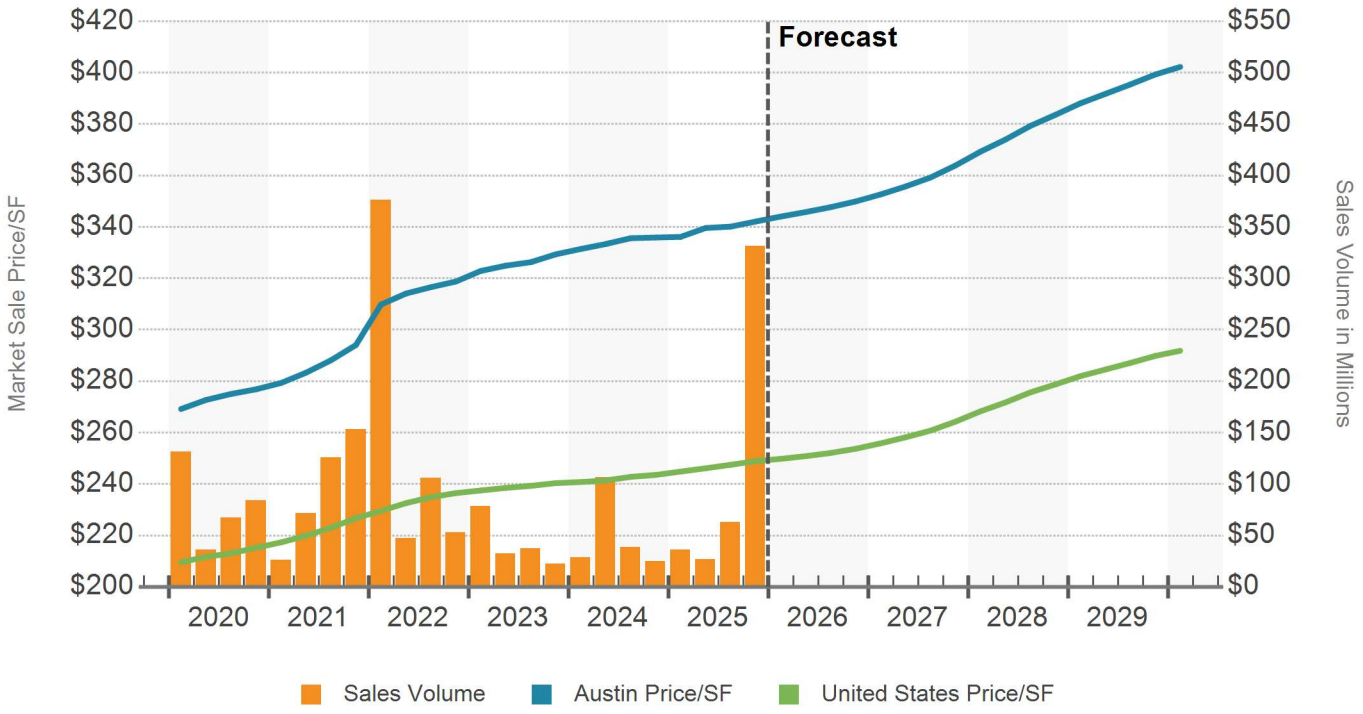

MARKET CAP RATE

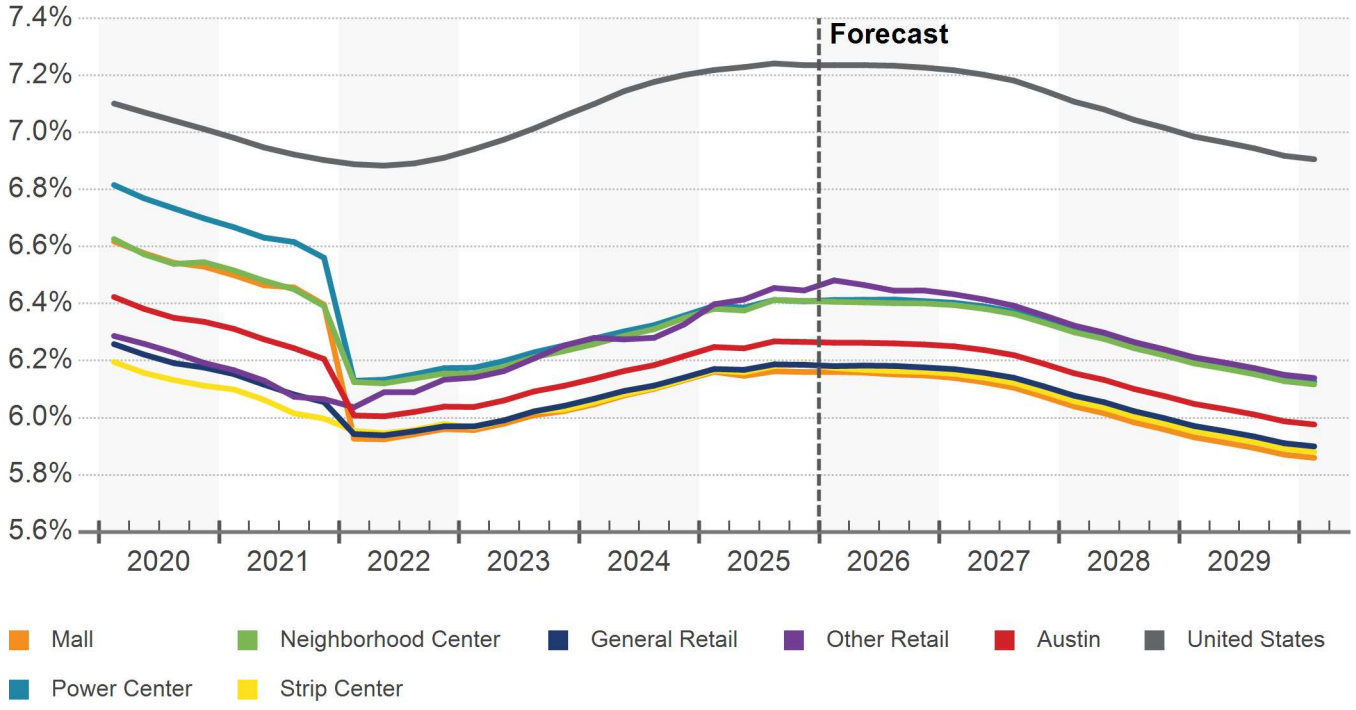

Sales Past 12 Months

Austin Retail

Sale Comparables	Avg. Cap Rate	Avg. Price/SF	Avg. Vacancy At Sale
416	6.4%	$331	10.0%

SALE COMPARABLE LOCATIONS

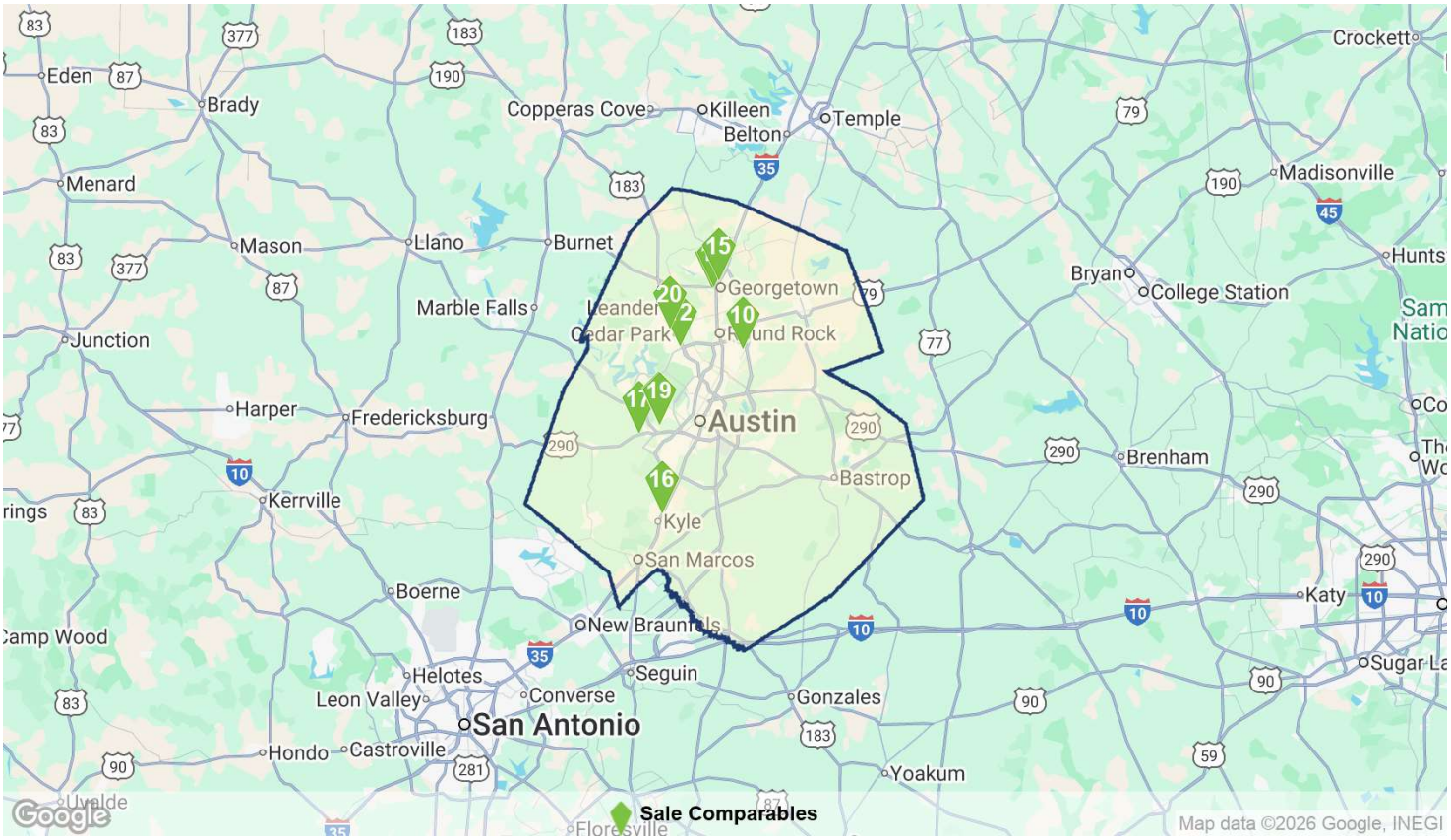

SALE COMPARABLES SUMMARY STATISTICS

Sales Attributes	Low	Average	Median	High
Sale Price	$362,500	$6,461,392	$2,827,035	$48,623,044
Price/SF	$72	$331	$403	$4,128
Cap Rate	3.8%	6.4%	6.4%	11.0%
Time Since Sale in Months	0.3	5.6	5.6	11.9
Property Attributes	**Low**	**Average**	**Median**	**High**
Building SF	120	9,863	4,191	146,202
Stories	1	1	1	3
Typical Floor SF	338	9,643	4,000	146,202
Vacancy Rate At Sale	0%	10.0%	0%	100%
Year Built	1862	1986	1990	2026
Star Rating	★☆☆☆☆	★★☆☆☆ 2.6	★★★☆☆	★★★★☆

Sales Past 12 Months

RECENT SIGNIFICANT SALES

	Property				Sale			
Property Name - Address	Rating	Yr Built	Bldg SF	Vacancy	Sale Date	Price	Price/SF	Cap Rate
1 **Building C** 11066 Pecan Park Blvd	★★★☆☆	1998	135,614	0%	12/3/2025	$48,623,044	$359	-
2 **Building G & H** 1013 W University Ave	★★★☆☆	2005	146,202	4.0%	12/3/2025	$47,660,903	$326	-
3 **Building B, D & E - Wolf...** 1019 W University Ave	★★★★☆	2005	142,674	0%	12/3/2025	$45,553,648	$319	-
4 **Building A** 11066 Pecan Park Blvd	★★★☆☆	1997	111,307	0%	12/3/2025	$36,984,367	$332	-
5 **Movie House** 7415 Southwest Pky	★★★★☆	2018	38,744	0%	11/14/2025	$22,684,902	$586	-
6 **Building F & J Wolf Ran...** 1015 W University Ave	★★★★☆	2005	79,263	2.1%	12/3/2025	$22,239,769	$281	-
7 **Bldg D** 11066 Pecan Park Blvd	★★★☆☆	1997	53,000	9.2%	12/3/2025	$19,556,481	$369	-
8 **Wolf Ranch Town Center...** 1021 W University Ave	★★★★☆	2005	50,237	0%	12/3/2025	$14,358,291	$286	-
9 **900-930 N Austin Ave**	★★★☆☆	1974	69,812	2.1%	9/22/2025	$11,017,121	$158	-
10 **2436 Terrell Ln**	★★★★☆	2024	55,000	0%	1/28/2025	$9,871,000	$179	7.6%
11 **Lantana Place - Retail 6** 7415 Southwest Pky	★★★★☆	2018	15,425	0%	11/14/2025	$9,684,911	$628	-
12 **11066 Pecan Park Blvd**	★★★☆☆	1997	21,432	0%	12/3/2025	$8,877,582	$414	-
13 **Lantana Place - Retail 4** 7415 Southwest Pky	★★★★☆	2018	10,084	0%	11/14/2025	$7,641,690	$758	-
14 **Building LL09** 1007 W University Ave	★★★☆☆	2009	12,161	0%	12/3/2025	$6,145,916	$505	-
15 **900-930 N Austin Ave**	★★★☆☆	1974	17,537	16.7%	9/22/2025	$5,838,836	$333	-
16 **Goodwill** 901 Seton Pky	★★★☆☆	2016	26,603	0%	10/31/2025	$5,392,306	$203	-
17 **9324 Highway 290 W**	★★★☆☆	1986	7,624	0%	6/3/2025	$5,200,000	$682	6.3%
18 **Lantana Place - Retail 3** 7415 Southwest Pky	★★★★☆	2018	10,083	0%	11/14/2025	$5,012,721	$497	-
19 **Lantana Place - Retail 5** 7415 Southwest Pky	★★★★☆	2018	10,062	0%	11/14/2025	$5,002,287	$497	-
20 **400 W Whitestone Blvd**	★★★☆☆	1996	27,900	14.3%	8/15/2025	$4,900,000	$176	-

© 2026 CoStar Group - Licensed to Williamson Central Appraisal District - 1445675

Austin ranks as the fastest-growing metropolitan area in the country, thanks to strong domestic and international migration. The influx is driven by its robust economic engine, which offers promising employment opportunities across a diverse range of industries, including healthcare, technology, and manufacturing. The metro area now spans 2.6 million people, having increased by 1.8% over the past year. While population growth has slowed compared to its 2.8% average over the past decade, the percentage increase still ranks among the highest nationally. The slowdown aligns with moderating job growth, which averaged 4% over the past decade and now stands at 1.1%.

Several factors continue to drive Austin's appeal, including a business-friendly environment with fewer regulations and a lower corporate tax burden. Strong demographics and a growing concentration of young, educated workers further enhance its attractiveness. Austin has built on momentum from tech in-migration over the past decade, positioning itself as a more affordable alternative to higher-cost coastal metros and attracting a higher concentration of tech talent. With further expansions by high-tech manufacturing companies such as Tesla and Samsung in the region, Austin is expected to outpace the national average for economic growth.

Austin is the fourth-largest metropolitan area in Texas and the fastest-growing in the state, based on percentage growth. The population has expanded by 58,000 people according to the U.S. Census Bureau, with international migration driving roughly half of that growth. Population gains are concentrated in Austin's suburbs, particularly in Williamson County, which accounts for half of the expansion and ranks as the 10th fastest-growing county in the country. Cities such as Leander, Georgetown, and Round Rock lead this growth. Housing affordability remains a key factor in relocation decisions, along with proximity to schools, retail, and job opportunities, all of which are increasingly available in Williamson County.

Leander, Texas, a city of more than 87,000 people in the northwest corner of the Austin metro, was the region's fastest-growing city last year. Its rapid growth reflects strong demand among families seeking lower-priced homes and access to quality schools. Austin has a younger demographic profile compared to the national average, with a higher concentration of residents aged 25 to 44. Its vibrant social scene, diverse job opportunities, and rich arts and events culture attract recent graduates and young professionals.

Austin has an increasingly diverse economic profile, with five sectors each accounting for more than 10% of total employment. Together, they represent three-quarters of all jobs in the metro. The largest sector, according to the U.S. Bureau of Labor Statistics, is professional and business services, which accounts for about 20% of employment. This reflects the sharp rise in knowledge-based work and the influx of an educated workforce. However, this segment, along with technology, has experienced stagnant growth for more than two years as companies focus on cost containment and productivity, limiting headcount expansion.

The other four major sectors by employment are trade and transportation, government, education and health services, and leisure and hospitality. Recently, the government has been the biggest contributor to job growth, adding 7,600 positions out of the 9,700 jobs gained over the past year. As the state capital, Austin employs a large number of workers across state and local government agencies. An expected expansion by Samsung Semiconductor is on the horizon, with operations set to begin at its new multibillion-dollar fabrication plant. This project could create thousands of jobs and further diversify the region's employment base.

© 2026 CoStar Group - Licensed to Williamson Central Appraisal District - 1445675

AUSTIN EMPLOYMENT BY INDUSTRY IN THOUSANDS

	CURRENT JOBS		CURRENT GROWTH		10 YR HISTORICAL		5 YR FORECAST	
Industry	**Jobs**	**LQ**	**Market**	**US**	**Market**	**US**	**Market**	**US**
Manufacturing	73	0.7	-1.05%	-0.99%	2.85%	0.24%	0.87%	0.24%
Trade, Transportation and Utilities	213	0.8	1.69%	0.24%	2.98%	0.78%	1.17%	0.26%
Retail Trade	121	0.9	1.62%	0.47%	1.83%	-0.02%	0.90%	0.16%
Financial Activities	92	1.2	1.75%	0.32%	5.26%	1.21%	1.67%	0.34%
Government	207	1.0	0.04%	-0.43%	1.83%	0.59%	0.72%	0.33%
Natural Resources, Mining and Construction	93	1.2	2.85%	-0.12%	5.03%	1.92%	1.71%	0.63%
Education and Health Services	169	0.7	2.79%	2.64%	4.13%	2.16%	1.31%	0.52%
Professional and Business Services	284	1.4	0.63%	-0.07%	4.86%	1.22%	1.84%	0.62%
Information	51	2.0	0.34%	-0.02%	6.09%	0.60%	1.58%	0.30%
Leisure and Hospitality	151	1.0	1.34%	0.54%	2.49%	1.02%	1.84%	0.88%
Other Services	54	1.0	0.81%	0.89%	2.34%	0.70%	1.17%	0.22%
Total Employment	**1,387**	**1.0**	**1.17%**	**0.44%**	**3.56%**	**1.10%**	**1.40%**	**0.46%**

Source: Oxford Economics
LQ = Location Quotient

JOB GROWTH (YOY)

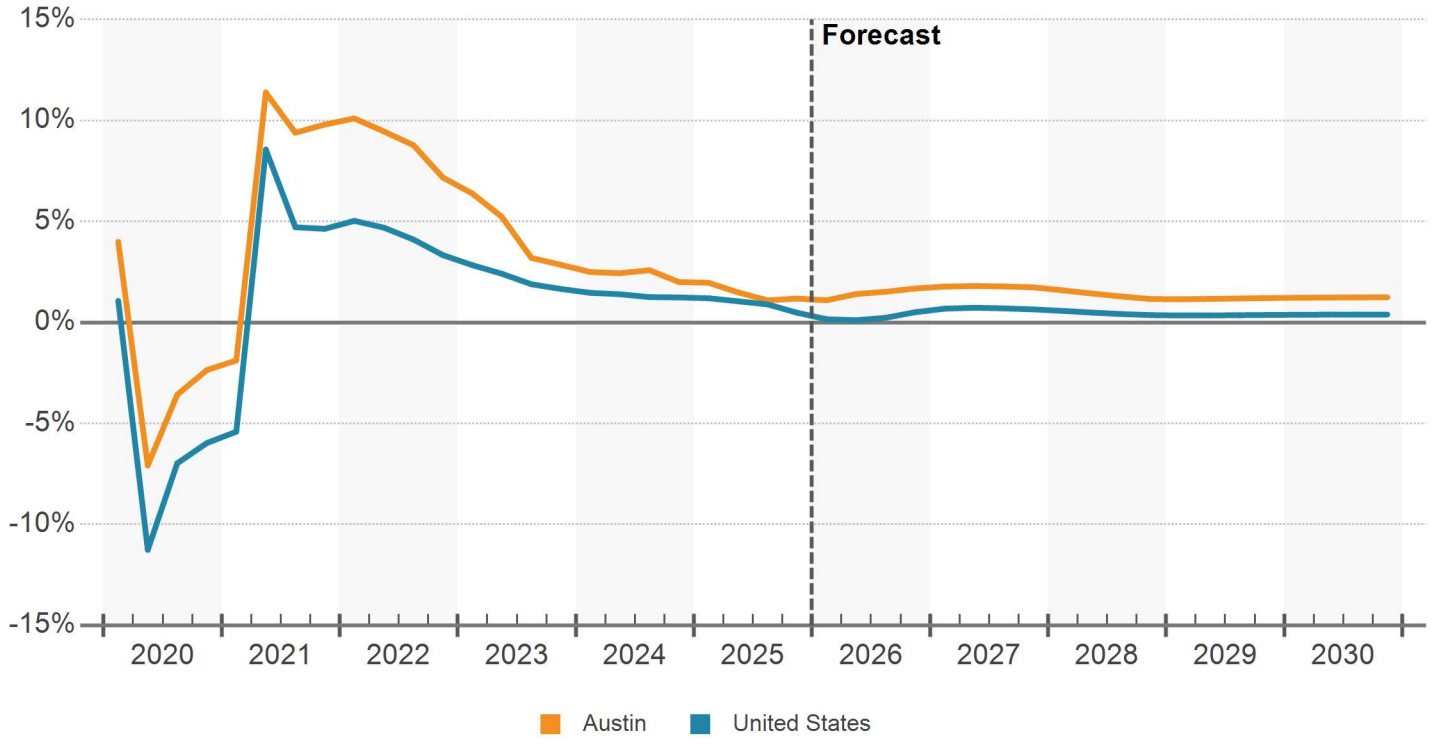

Source: Oxford Economics

UNEMPLOYMENT RATE (%)

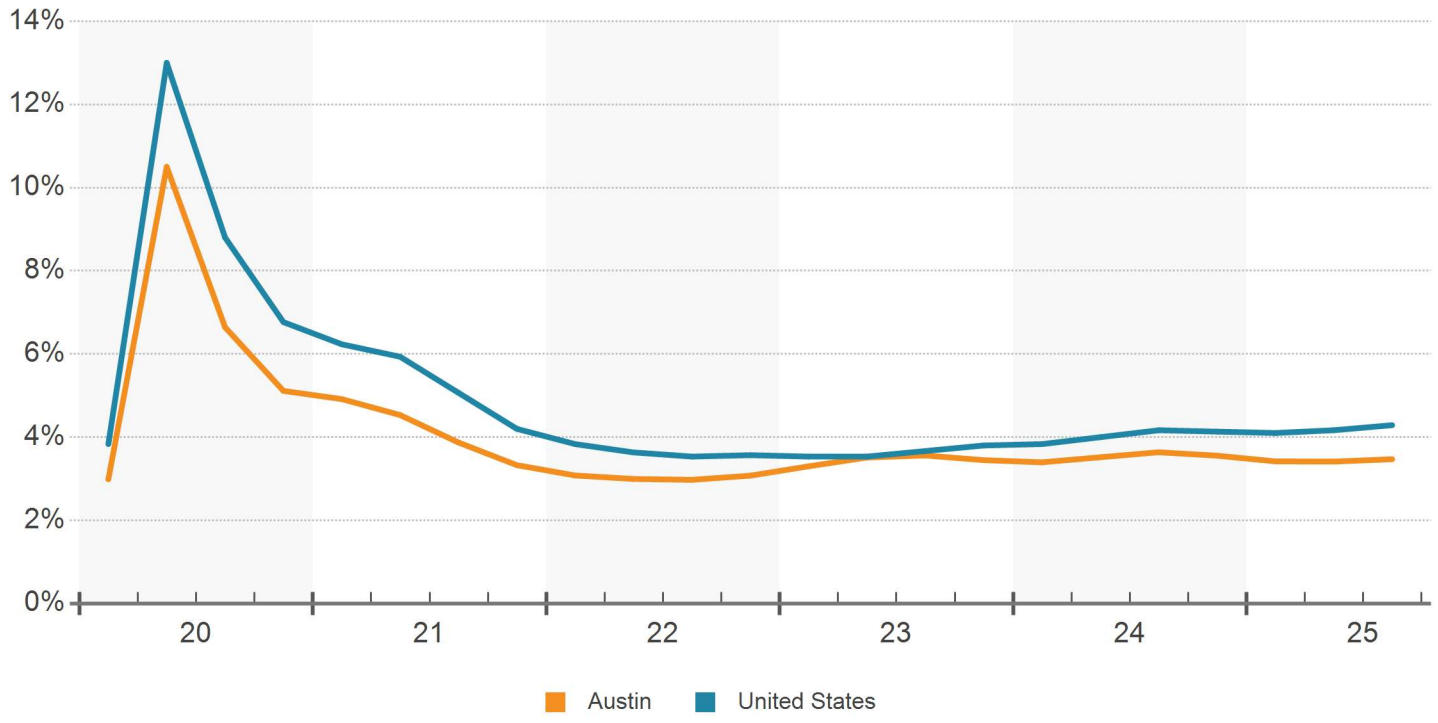

NET EMPLOYMENT CHANGE (YOY)

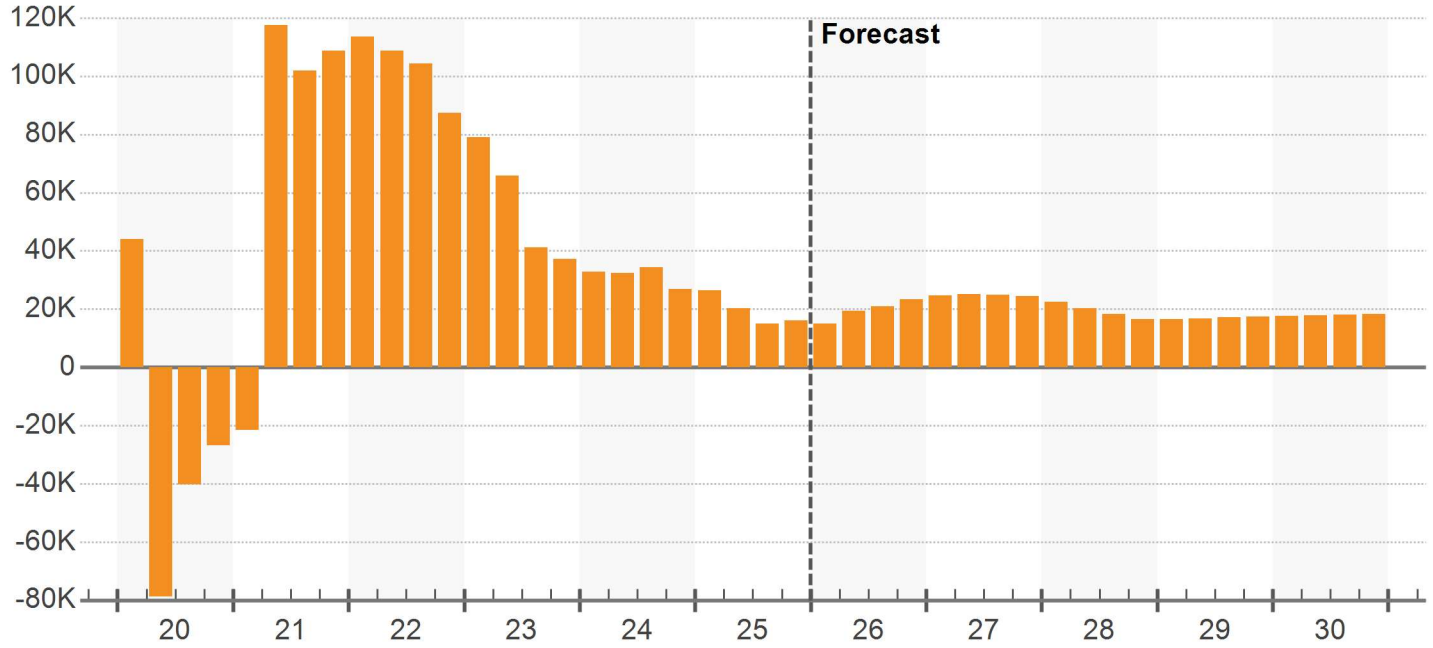

MEDIAN HOUSEHOLD INCOME

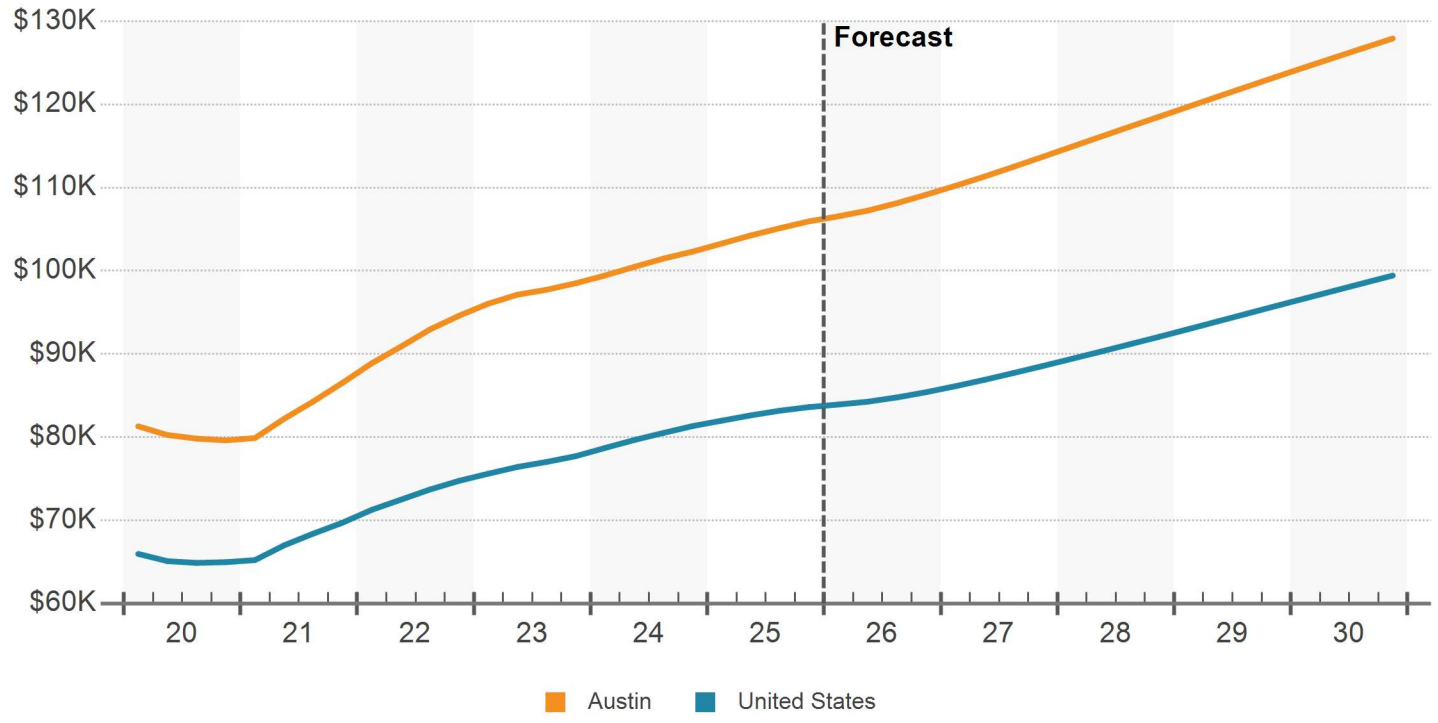

POPULATION GROWTH (YOY %)

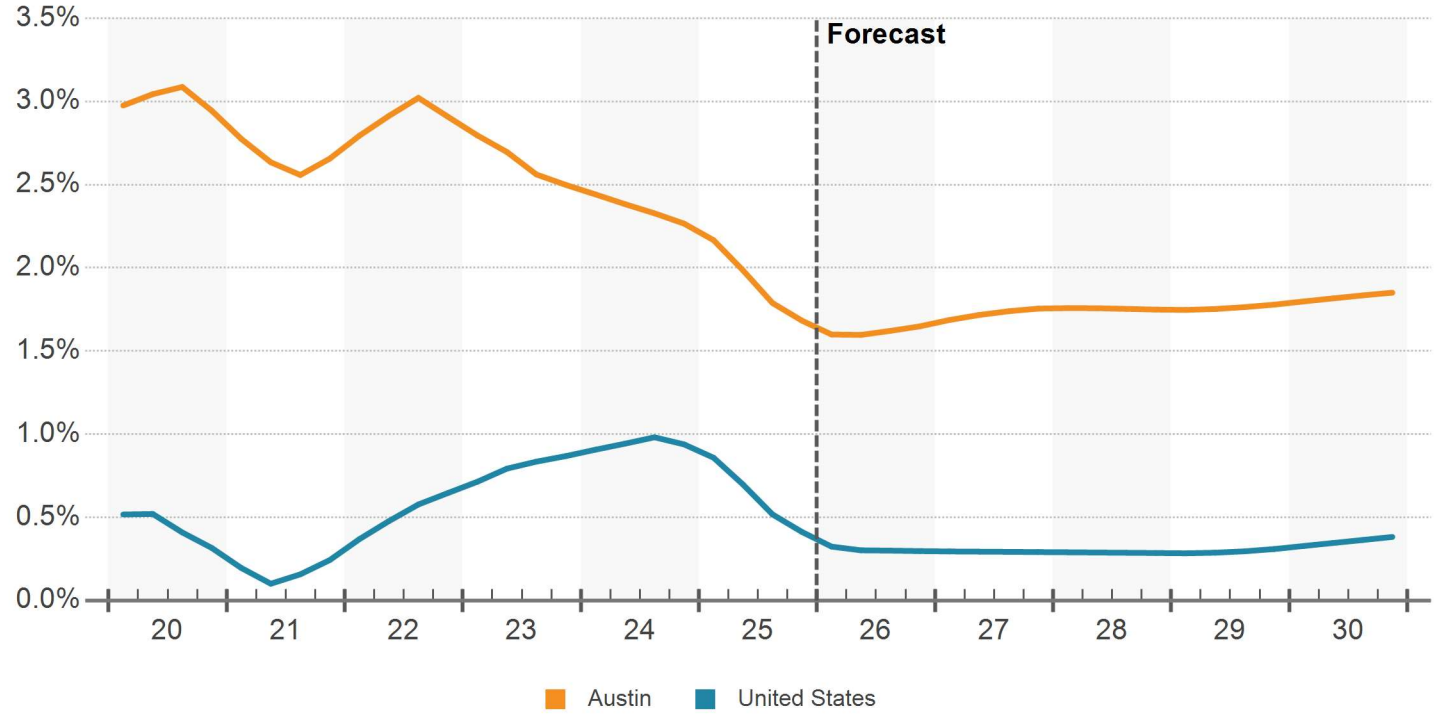

© 2026 CoStar Group - Licensed to Williamson Central Appraisal District - 1445675

NET POPULATION CHANGE (YOY)

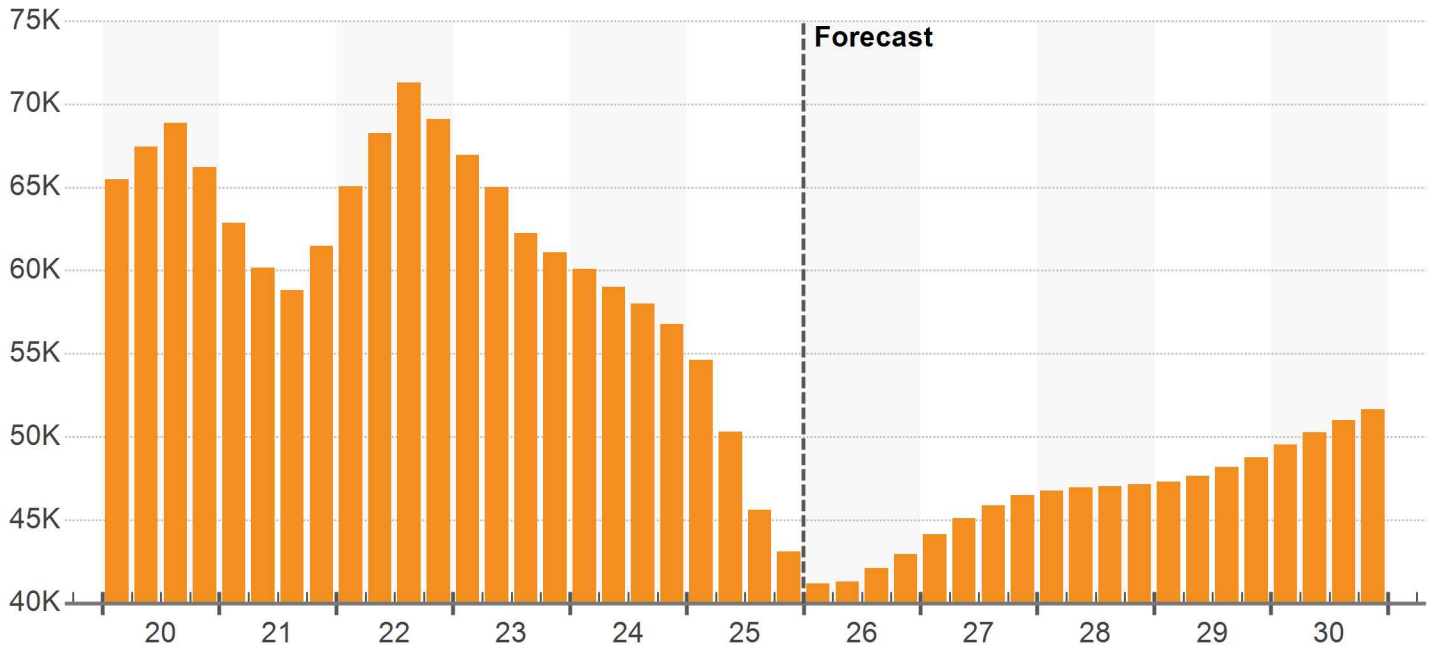

DEMOGRAPHIC TRENDS

	Current Level		12 Month Change		10 Year Change		5 Year Forecast	
Demographic Category	**Metro**	**US**	**Metro**	**US**	**Metro**	**US**	**Metro**	**US**
Population	2,607,757	342,163,344	1.7%	0.4%	2.6%	0.6%	1.8%	0.3%
Households	1,086,505	133,990,641	2.0%	0.7%	3.7%	1.0%	2.1%	0.6%
Median Household Income	$106,025	$83,654	3.5%	2.8%	4.6%	4.1%	3.9%	3.5%
Labor Force	1,536,804	170,943,281	2.3%	1.3%	3.6%	0.8%	1.3%	0.2%
Unemployment	3.5%	4.3%	-0.1%	0.2%	0%	-0.1%	-	-

Source: Oxford Economics

POPULATION GROWTH

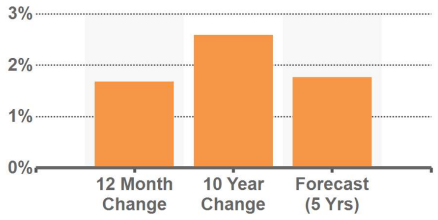

LABOR FORCE GROWTH

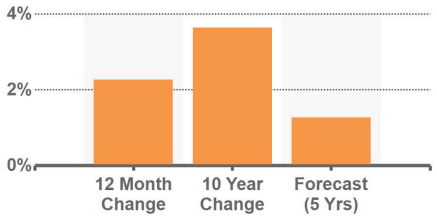

INCOME GROWTH

Source: Oxford Economics

© 2026 CoStar Group - Licensed to Williamson Central Appraisal District - 1445675

AUSTIN SUBMARKETS

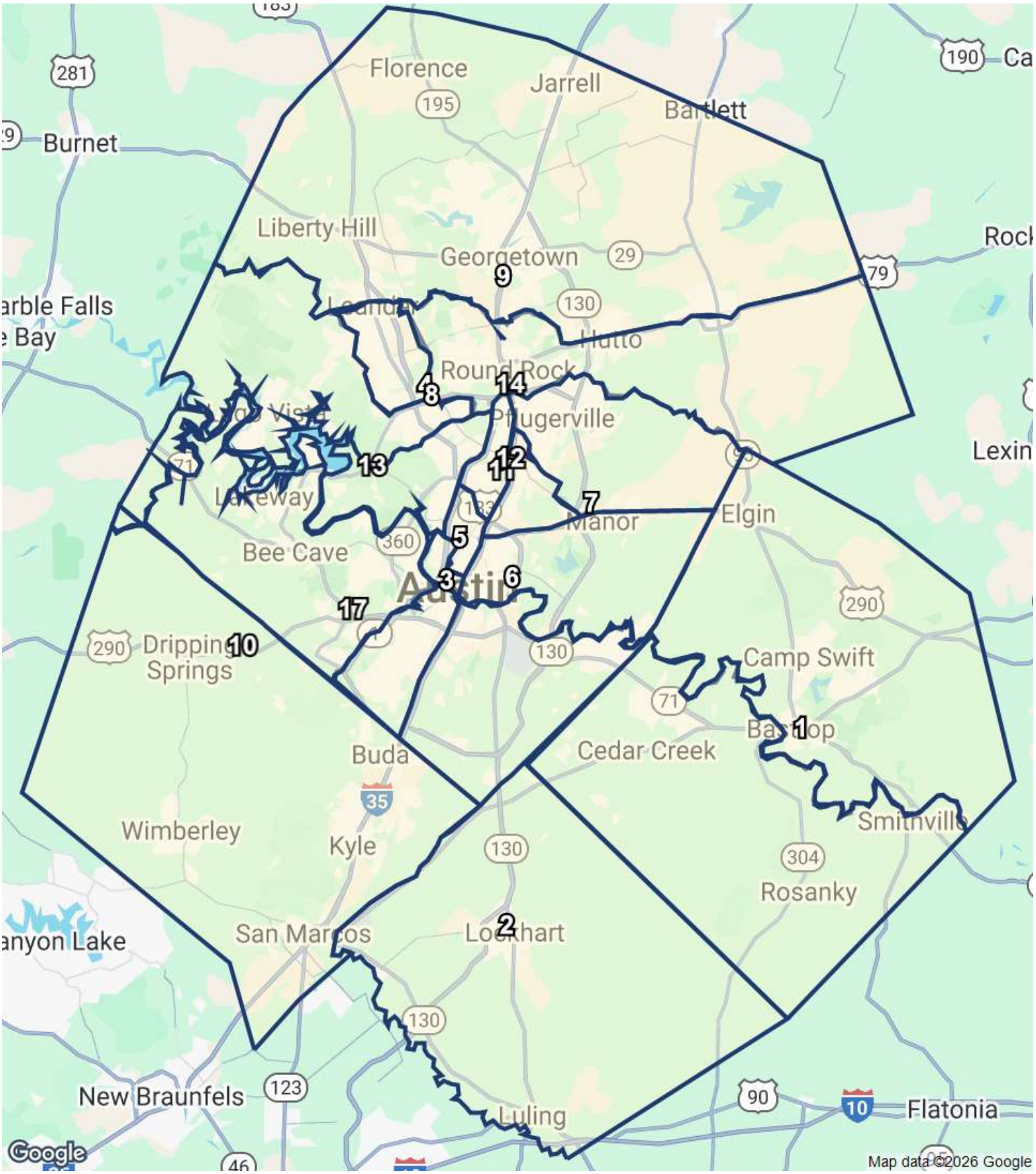

Submarkets

SUBMARKET INVENTORY

		Inventory				12 Month Deliveries				Under Construction			
No.	Submarket	Bldgs	SF (000)	% Market	Rank	Bldgs	SF (000)	Percent	Rank	Bldgs	SF (000)	Percent	Rank
1	Bastrop County	537	4,179	3.4%	13	2	22	0.5%	10	5	69	1.6%	8
2	Caldwell County	208	1,262	1.0%	18	4	37	2.9%	7	5	35	2.8%	10
3	CBD	337	2,288	1.9%	16	0	0	0%	-	0	0	0%	-
4	Cedar Park	657	10,446	8.5%	4	11	201	1.9%	3	26	1,131	10.8%	1
5	Central	896	9,056	7.3%	7	0	0	0%	-	0	0	0%	-
6	East	766	4,947	4.0%	11	3	36	0.7%	8	1	20	0.4%	12
7	Far Northeast	348	5,765	4.7%	10	10	361	6.3%	2	10	161	2.8%	4
8	Far Northwest	353	4,643	3.8%	12	0	0	0%	-	3	23	0.5%	11
9	Georgetown	1,136	11,619	9.4%	3	44	695	6.0%	1	26	685	5.9%	2
10	Hays County	1,232	12,787	10.4%	2	21	193	1.5%	4	9	195	1.5%	3
11	North/Domain	585	7,891	6.4%	8	1	7	0.1%	13	1	6	0.1%	13
12	Northeast	248	4,094	3.3%	14	13	183	4.5%	5	13	65	1.6%	9
13	Northwest	390	5,799	4.7%	9	0	0	0%	-	0	0	0%	-
14	Round Rock	784	9,397	7.6%	6	13	89	0.9%	6	9	70	0.7%	7
15	South	1,191	13,751	11.1%	1	5	28	0.2%	9	1	3	0%	14
16	Southeast	375	4,051	3.3%	15	5	16	0.4%	12	1	100	2.5%	6
17	Southwest	674	10,076	8.2%	5	3	20	0.2%	11	8	154	1.5%	5
18	West Central	245	1,443	1.2%	17	0	0	0%	-	0	0	0%	-

SUBMARKET RENT

		Market Asking Rent		12 Month Market Asking Rent		QTD Annualized Market Asking Rent	
No.	Submarket	Per SF	Rank	Growth	Rank	Growth	Rank
1	Bastrop County	$25.61	17	2.4%	10	-0.6%	10
2	Caldwell County	$18.62	18	2.8%	4	-0.6%	6
3	CBD	$37.65	3	2.0%	13	-0.6%	11
4	Cedar Park	$31.76	8	2.0%	12	-0.5%	4
5	Central	$32.12	6	4.2%	1	-0.7%	12
6	East	$32.02	7	1.5%	17	-0.6%	9
7	Far Northeast	$30.33	12	2.2%	11	-0.7%	14
8	Far Northwest	$29.78	13	2.6%	7	-3.5%	18
9	Georgetown	$27.34	15	1.9%	15	-0.5%	5
10	Hays County	$31.41	10	2.7%	5	-0.7%	15
11	North/Domain	$26.93	16	2.7%	6	-0.8%	16
12	Northeast	$29.20	14	1.6%	16	-0.1%	1
13	Northwest	$36.89	4	3.8%	2	-0.6%	7
14	Round Rock	$31.54	9	1.5%	18	-1.1%	17
15	South	$33.47	5	3.0%	3	-0.7%	13
16	Southeast	$30.46	11	2.6%	8	-0.5%	3
17	Southwest	$38.85	2	2.0%	14	-0.4%	2
18	West Central	$38.89	1	2.4%	9	-0.6%	8

© 2026 CoStar Group - Licensed to Williamson Central Appraisal District - 1445675

SUBMARKET VACANCY & NET ABSORPTION

		Vacancy			12 Month Absorption			
No.	Submarket	SF	Percent	Rank	SF	% of Inv	Rank	Construc. Ratio
1	Bastrop County	20,488	0.5%	1	39,599	0.9%	7	0.3
2	Caldwell County	59,651	4.7%	16	14,291	1.1%	9	0.5
3	CBD	61,550	2.7%	6	(24,326)	-1.1%	14	-
4	Cedar Park	338,512	3.2%	10	199,257	1.9%	3	0.8
5	Central	420,164	4.6%	15	65,129	0.7%	6	-
6	East	150,622	3.0%	7	21,774	0.4%	8	0.5
7	Far Northeast	113,373	2.0%	4	379,669	6.6%	2	0.9
8	Far Northwest	266,839	5.7%	17	(43,878)	-0.9%	16	-
9	Georgetown	404,534	3.5%	12	638,857	5.5%	1	1.0
10	Hays County	241,967	1.9%	3	122,875	1.0%	4	1.3
11	North/Domain	331,009	4.2%	14	(112,228)	-1.4%	18	-
12	Northeast	389,462	9.5%	18	(10,556)	-0.3%	11	-
13	Northwest	220,372	3.8%	13	(14,309)	-0.2%	12	-
14	Round Rock	293,110	3.1%	8	98,354	1.0%	5	0.8
15	South	339,228	2.5%	5	(30,119)	-0.2%	15	-
16	Southeast	60,842	1.5%	2	(7,482)	-0.2%	10	-
17	Southwest	315,420	3.1%	9	(70,055)	-0.7%	17	-
18	West Central	49,054	3.4%	11	(19,520)	-1.4%	13	-

© 2026 CoStar Group - Licensed to Williamson Central Appraisal District - 1445675

OVERALL SUPPLY & DEMAND

	Inventory			Net Absorption		
Year	SF	SF Growth	% Growth	SF	% of Inv	Construction Ratio
2030	133,077,032	1,833,935	1.4%	1,704,408	1.3%	1.1
2029	131,243,097	1,838,658	1.4%	1,699,624	1.3%	1.1
2028	129,404,439	1,901,007	1.5%	1,772,236	1.4%	1.1
2027	127,503,432	2,422,244	1.9%	2,008,322	1.6%	1.2
2026	125,081,188	1,592,439	1.3%	1,411,597	1.1%	1.1
YTD	123,492,824	4,075	0%	(150,203)	-0.1%	-
2025	123,488,749	1,811,022	1.5%	1,414,098	1.1%	1.3
2024	121,677,727	1,504,072	1.3%	1,579,085	1.3%	1.0
2023	120,173,655	2,520,510	2.1%	2,486,965	2.1%	1.0
2022	117,653,145	597,885	0.5%	1,206,537	1.0%	0.5
2021	117,055,260	749,372	0.6%	1,658,252	1.4%	0.5
2020	116,305,888	1,991,817	1.7%	1,245,505	1.1%	1.6
2019	114,314,071	1,306,278	1.2%	1,154,149	1.0%	1.1
2018	113,007,793	2,434,369	2.2%	2,161,483	1.9%	1.1
2017	110,573,424	1,722,041	1.6%	1,623,994	1.5%	1.1
2016	108,851,383	1,019,210	0.9%	1,090,274	1.0%	0.9
2015	107,832,173	1,438,936	1.4%	2,617,206	2.4%	0.5
2014	106,393,237	1,345,802	1.3%	1,350,663	1.3%	1.0

MALLS SUPPLY & DEMAND

	Inventory			Net Absorption		
Year	SF	SF Growth	% Growth	SF	% of Inv	Construction Ratio
2030	6,269,237	(8,980)	-0.1%	(5,343)	-0.1%	-
2029	6,278,217	(10,661)	-0.2%	(17,420)	-0.3%	-
2028	6,288,878	(10,620)	-0.2%	(10,163)	-0.2%	-
2027	6,299,498	(10,605)	-0.2%	(16,170)	-0.3%	-
2026	6,310,103	(7,968)	-0.1%	(76,527)	-1.2%	-
YTD	6,318,071	0	0%	(7,982)	-0.1%	-
2025	6,318,071	153,659	2.5%	(38,816)	-0.6%	-
2024	6,164,412	82,106	1.3%	56,415	0.9%	1.5
2023	6,082,306	6,130	0.1%	148,802	2.4%	0
2022	6,076,176	0	0%	(127,819)	-2.1%	-
2021	6,076,176	0	0%	31,269	0.5%	0
2020	6,076,176	0	0%	(10,585)	-0.2%	-
2019	6,076,176	0	0%	87,044	1.4%	0
2018	6,076,176	0	0%	(66,075)	-1.1%	-
2017	6,076,176	0	0%	(4,148)	-0.1%	-
2016	6,076,176	0	0%	(6,297)	-0.1%	-
2015	6,076,176	9,472	0.2%	59,180	1.0%	0.2
2014	6,066,704	0	0%	6,533	0.1%	0

© 2026 CoStar Group - Licensed to Williamson Central Appraisal District - 1445675

POWER CENTER SUPPLY & DEMAND

	Inventory			Net Absorption		
Year	SF	SF Growth	% Growth	SF	% of Inv	Construction Ratio
2030	15,939,832	(27,096)	-0.2%	(48,946)	-0.3%	-
2029	15,966,928	(26,971)	-0.2%	(54,577)	-0.3%	-
2028	15,993,899	(26,895)	-0.2%	(45,616)	-0.3%	-
2027	16,020,794	(26,832)	-0.2%	(28,276)	-0.2%	-
2026	16,047,626	(20,100)	-0.1%	13,488	0.1%	-
YTD	16,067,726	0	0%	1,991	0%	0
2025	16,067,726	8,200	0.1%	51,973	0.3%	0.2
2024	16,059,526	17,933	0.1%	300,004	1.9%	0.1
2023	16,041,593	361,278	2.3%	240,640	1.5%	1.5
2022	15,680,315	92,635	0.6%	156,817	1.0%	0.6
2021	15,587,680	13,919	0.1%	40,174	0.3%	0.3
2020	15,573,761	13,039	0.1%	(29,205)	-0.2%	-
2019	15,560,722	80,378	0.5%	22,237	0.1%	3.6
2018	15,480,344	37,334	0.2%	(159,414)	-1.0%	-
2017	15,443,010	347,729	2.3%	547,230	3.5%	0.6
2016	15,095,281	168,928	1.1%	5,087	0%	33.2
2015	14,926,353	28,833	0.2%	212,947	1.4%	0.1
2014	14,897,520	252,966	1.7%	184,407	1.2%	1.4

NEIGHBORHOOD CENTER SUPPLY & DEMAND

	Inventory			Net Absorption		
Year	SF	SF Growth	% Growth	SF	% of Inv	Construction Ratio
2030	28,052,254	214,082	0.8%	169,164	0.6%	1.3
2029	27,838,172	201,869	0.7%	169,960	0.6%	1.2
2028	27,636,303	170,687	0.6%	178,730	0.6%	1.0
2027	27,465,616	96,610	0.4%	158,301	0.6%	0.6
2026	27,369,006	265,526	1.0%	295,892	1.1%	0.9
YTD	27,103,480	0	0%	(32,617)	-0.1%	-
2025	27,103,480	512,680	1.9%	455,918	1.7%	1.1
2024	26,590,800	297,459	1.1%	253,574	1.0%	1.2
2023	26,293,341	210,268	0.8%	176,119	0.7%	1.2
2022	26,083,073	(17,609)	-0.1%	369,835	1.4%	-
2021	26,100,682	198,849	0.8%	524,980	2.0%	0.4
2020	25,901,833	149,872	0.6%	(201,839)	-0.8%	-
2019	25,751,961	137,007	0.5%	138,136	0.5%	1.0
2018	25,614,954	219,955	0.9%	411,259	1.6%	0.5
2017	25,394,999	162,420	0.6%	(21,374)	-0.1%	-
2016	25,232,579	302,429	1.2%	404,329	1.6%	0.7
2015	24,930,150	446,499	1.8%	931,863	3.7%	0.5
2014	24,483,651	211,211	0.9%	354,599	1.4%	0.6

© 2026 CoStar Group - Licensed to Williamson Central Appraisal District - 1445675

STRIP CENTER SUPPLY & DEMAND

	Inventory			Net Absorption		
Year	SF	SF Growth	% Growth	SF	% of Inv	Construction Ratio
2030	9,848,456	198,079	2.1%	185,606	1.9%	1.1
2029	9,650,377	184,964	2.0%	162,337	1.7%	1.1
2028	9,465,413	165,823	1.8%	162,158	1.7%	1.0
2027	9,299,590	281,910	3.1%	238,187	2.6%	1.2
2026	9,017,680	283,167	3.2%	263,024	2.9%	1.1
YTD	8,734,513	0	0%	(5,850)	-0.1%	-
2025	8,734,513	251,195	3.0%	141,607	1.6%	1.8
2024	8,483,318	337,501	4.1%	224,502	2.6%	1.5
2023	8,145,817	135,929	1.7%	205,856	2.5%	0.7
2022	8,009,888	166,326	2.1%	237,442	3.0%	0.7
2021	7,843,562	56,257	0.7%	242,576	3.1%	0.2
2020	7,787,305	45,003	0.6%	(1,200)	0%	-
2019	7,742,302	259,444	3.5%	162,534	2.1%	1.6
2018	7,482,858	145,292	2.0%	183,265	2.4%	0.8
2017	7,337,566	139,735	1.9%	83,803	1.1%	1.7
2016	7,197,831	113,389	1.6%	222,838	3.1%	0.5
2015	7,084,442	148,672	2.1%	206,648	2.9%	0.7
2014	6,935,770	73,689	1.1%	77,483	1.1%	1.0

GENERAL RETAIL SUPPLY & DEMAND

	Inventory			Net Absorption		
Year	SF	SF Growth	% Growth	SF	% of Inv	Construction Ratio
2030	70,828,735	1,419,975	2.0%	1,356,255	1.9%	1.0
2029	69,408,760	1,454,842	2.1%	1,399,627	2.0%	1.0
2028	67,953,918	1,569,652	2.4%	1,461,135	2.2%	1.1
2027	66,384,266	2,054,861	3.2%	1,653,479	2.5%	1.2
2026	64,329,405	1,074,372	1.7%	941,808	1.5%	1.1
YTD	63,259,108	4,075	0%	(105,745)	-0.2%	-
2025	63,255,033	885,288	1.4%	864,536	1.4%	1.0
2024	62,369,745	757,873	1.2%	733,390	1.2%	1.0
2023	61,611,872	1,798,069	3.0%	1,690,103	2.7%	1.1
2022	59,813,803	356,533	0.6%	571,055	1.0%	0.6
2021	59,457,270	474,047	0.8%	799,274	1.3%	0.6
2020	58,983,223	1,759,064	3.1%	1,495,767	2.5%	1.2
2019	57,224,159	803,449	1.4%	716,636	1.3%	1.1
2018	56,420,710	1,856,849	3.4%	1,619,071	2.9%	1.1
2017	54,563,861	1,072,157	2.0%	1,018,483	1.9%	1.1
2016	53,491,704	428,405	0.8%	453,789	0.8%	0.9
2015	53,063,299	805,460	1.5%	1,206,568	2.3%	0.7
2014	52,257,839	807,936	1.6%	727,641	1.4%	1.1

© 2026 CoStar Group - Licensed to Williamson Central Appraisal District - 1445675

OTHER SUPPLY & DEMAND

	Inventory			Net Absorption		
Year	SF	SF Growth	% Growth	SF	% of Inv	Construction Ratio
2030	2,138,518	37,875	1.8%	47,672	2.2%	0.8
2029	2,100,643	34,615	1.7%	39,697	1.9%	0.9
2028	2,066,028	32,360	1.6%	25,992	1.3%	1.2
2027	2,033,668	26,300	1.3%	2,801	0.1%	9.4
2026	2,007,368	(2,558)	-0.1%	(26,088)	-1.3%	-
YTD	2,009,926	0	0%	-	-	-
2025	2,009,926	0	0%	(61,120)	-3.0%	-
2024	2,009,926	11,200	0.6%	11,200	0.6%	1.0
2023	1,998,726	8,836	0.4%	25,445	1.3%	0.3
2022	1,989,890	0	0%	(793)	0%	-
2021	1,989,890	6,300	0.3%	19,979	1.0%	0.3
2020	1,983,590	24,839	1.3%	(7,433)	-0.4%	-
2019	1,958,751	26,000	1.3%	27,562	1.4%	0.9
2018	1,932,751	174,939	10.0%	173,377	9.0%	1.0
2017	1,757,812	0	0%	-	-	-
2016	1,757,812	6,059	0.3%	10,528	0.6%	0.6
2015	1,751,753	0	0%	-	-	-
2014	1,751,753	0	0%	-	-	-

© 2026 CoStar Group - Licensed to Williamson Central Appraisal District - 1445675

OVERALL RENT & VACANCY

	Market Asking Rent				Vacancy		
Year	Per SF	Index	% Growth	Vs Hist Peak	SF	Percent	Ppts Chg
2030	$36.24	189	2.3%	14.7%	4,990,262	3.7%	0%
2029	$35.41	185	2.5%	12.1%	4,880,176	3.7%	0%
2028	$34.53	180	3.6%	9.3%	4,760,492	3.7%	0%
2027	$33.34	174	3.2%	5.5%	4,651,608	3.6%	0.3%
2026	$32.31	169	2.3%	2.3%	4,246,719	3.4%	0.2%
YTD	$31.59	165	2.5%	0%	4,076,197	3.3%	0.1%
2025	$31.59	165	2.5%	0%	3,921,919	3.2%	0.3%
2024	$30.83	161	3.9%	-2.4%	3,524,995	2.9%	-0.1%
2023	$29.68	155	5.7%	-6.0%	3,600,008	3.0%	0%
2022	$28.07	146	5.0%	-11.1%	3,566,041	3.0%	-0.5%
2021	$26.74	140	4.3%	-15.4%	4,174,693	3.6%	-0.8%
2020	$25.65	134	2.6%	-18.8%	5,049,675	4.3%	0.5%
2019	$25	130	2.0%	-20.9%	4,338,037	3.8%	0.1%
2018	$24.52	128	2.5%	-22.4%	4,203,334	3.7%	0.2%
2017	$23.92	125	3.3%	-24.3%	3,929,252	3.6%	0%
2016	$23.15	121	3.3%	-26.7%	3,836,525	3.5%	-0.1%
2015	$22.42	117	4.4%	-29.0%	3,909,869	3.6%	-1.2%
2014	$21.48	112	5.0%	-32.0%	5,094,543	4.8%	-0.1%

MALLS RENT & VACANCY

	Market Asking Rent				Vacancy		
Year	Per SF	Index	% Growth	Vs Hist Peak	SF	Percent	Ppts Chg
2030	$43.82	171	2.4%	10.9%	332,509	5.3%	0%
2029	$42.81	167	2.5%	8.3%	335,942	5.4%	0.1%
2028	$41.75	163	3.3%	5.7%	328,996	5.2%	0%
2027	$40.42	158	2.1%	2.3%	329,252	5.2%	0.1%
2026	$39.60	154	0.2%	0.2%	323,480	5.1%	1.1%
YTD	$39.50	154	2.2%	0%	262,771	4.2%	0.1%
2025	$39.51	154	2.2%	0%	254,789	4.0%	3.0%
2024	$38.66	151	4.7%	-2.2%	62,314	1.0%	0.4%
2023	$36.92	144	6.3%	-6.6%	36,623	0.6%	-2.3%
2022	$34.74	135	4.0%	-12.1%	179,295	3.0%	2.1%
2021	$33.41	130	4.0%	-15.4%	51,476	0.8%	-0.5%
2020	$32.14	125	0.1%	-18.7%	82,745	1.4%	0.2%
2019	$32.10	125	-0.3%	-18.8%	72,160	1.2%	-1.4%
2018	$32.19	126	2.7%	-18.5%	159,204	2.6%	1.1%
2017	$31.35	122	3.3%	-20.7%	93,129	1.5%	0.1%
2016	$30.34	118	2.5%	-23.2%	88,981	1.5%	0.1%
2015	$29.61	115	4.8%	-25.1%	82,684	1.4%	-0.8%
2014	$28.26	110	5.0%	-28.5%	132,392	2.2%	-0.1%

© 2026 CoStar Group - Licensed to Williamson Central Appraisal District - 1445675

POWER CENTER RENT & VACANCY

	Market Asking Rent				Vacancy		
Year	Per SF	Index	% Growth	Vs Hist Peak	SF	Percent	Ppts Chg
2030	$37.43	180	2.1%	12.1%	438,489	2.8%	0.1%
2029	$36.67	176	2.2%	9.9%	415,811	2.6%	0.2%
2028	$35.89	173	3.1%	7.5%	387,372	2.4%	0.1%
2027	$34.80	167	2.7%	4.3%	367,800	2.3%	0%
2026	$33.90	163	1.6%	1.6%	365,606	2.3%	-0.2%
YTD	$33.37	161	2.6%	0%	396,673	2.5%	0%
2025	$33.38	161	2.6%	0%	398,664	2.5%	-0.3%
2024	$32.54	157	4.2%	-2.5%	442,437	2.8%	-1.8%
2023	$31.22	150	6.2%	-6.5%	724,508	4.5%	0.7%
2022	$29.41	141	4.6%	-11.9%	603,870	3.9%	-0.4%
2021	$28.11	135	4.2%	-15.8%	668,052	4.3%	-0.2%
2020	$26.97	130	1.1%	-19.2%	694,307	4.5%	0.3%
2019	$26.67	128	0.6%	-20.1%	652,063	4.2%	0.4%
2018	$26.51	128	2.7%	-20.6%	593,922	3.8%	1.3%
2017	$25.81	124	3.4%	-22.7%	397,174	2.6%	-1.4%
2016	$24.96	120	2.8%	-25.2%	596,675	4.0%	1.1%
2015	$24.27	117	4.5%	-27.3%	432,834	2.9%	-1.2%
2014	$23.24	112	5.2%	-30.4%	616,948	4.1%	0.4%

NEIGHBORHOOD CENTER RENT & VACANCY

	Market Asking Rent				Vacancy		
Year	Per SF	Index	% Growth	Vs Hist Peak	SF	Percent	Ppts Chg
2030	$36.43	191	2.4%	16.2%	1,229,931	4.4%	0.1%
2029	$35.57	186	2.7%	13.5%	1,186,885	4.3%	0.1%
2028	$34.65	181	3.8%	10.5%	1,156,874	4.2%	-0.1%
2027	$33.39	175	3.5%	6.5%	1,166,814	4.2%	-0.2%
2026	$32.25	169	2.9%	2.9%	1,228,488	4.5%	0.2%
YTD	$31.34	164	2.2%	0%	1,191,995	4.4%	0.1%
2025	$31.34	164	2.2%	0%	1,159,378	4.3%	0.1%
2024	$30.68	161	3.6%	-2.1%	1,102,616	4.1%	0.1%
2023	$29.61	155	6.0%	-5.5%	1,058,731	4.0%	0.1%
2022	$27.93	146	5.2%	-10.9%	1,024,582	3.9%	-1.5%
2021	$26.56	139	4.4%	-15.3%	1,412,026	5.4%	-1.3%
2020	$25.44	133	2.7%	-18.8%	1,738,157	6.7%	1.3%
2019	$24.77	130	2.2%	-21.0%	1,386,446	5.4%	0%
2018	$24.24	127	2.6%	-22.7%	1,387,575	5.4%	-0.8%
2017	$23.63	124	3.2%	-24.6%	1,578,879	6.2%	0.7%
2016	$22.88	120	3.4%	-27.0%	1,395,085	5.5%	-0.5%
2015	$22.12	116	4.6%	-29.4%	1,496,985	6.0%	-2.1%
2014	$21.15	111	4.9%	-32.5%	1,982,349	8.1%	-0.7%

© 2026 CoStar Group - Licensed to Williamson Central Appraisal District - 1445675

STRIP CENTER RENT & VACANCY

	Market Asking Rent				Vacancy		
Year	Per SF	Index	% Growth	Vs Hist Peak	SF	Percent	Ppts Chg
2030	$34.57	185	2.5%	15.4%	650,016	6.6%	0%
2029	$33.74	181	2.7%	12.7%	639,134	6.6%	0.1%
2028	$32.85	176	3.8%	9.7%	618,108	6.5%	-0.1%
2027	$31.66	169	3.3%	5.7%	616,015	6.6%	0.3%
2026	$30.65	164	2.3%	2.3%	573,865	6.4%	0.1%
YTD	$29.95	160	1.8%	0%	554,595	6.3%	0.1%
2025	$29.95	160	1.8%	0%	548,745	6.3%	1.1%
2024	$29.41	157	3.6%	-1.8%	439,157	5.2%	1.2%
2023	$28.39	152	5.3%	-5.2%	326,158	4.0%	-0.9%
2022	$26.95	144	5.0%	-10.0%	396,085	4.9%	-1.0%
2021	$25.67	137	4.5%	-14.3%	467,201	6.0%	-2.4%
2020	$24.56	131	3.0%	-18.0%	653,520	8.4%	0.5%
2019	$23.85	128	2.3%	-20.4%	607,317	7.8%	1.0%
2018	$23.31	125	2.1%	-22.2%	510,407	6.8%	-0.7%
2017	$22.84	122	3.0%	-23.8%	548,380	7.5%	0.6%
2016	$22.17	119	3.1%	-26.0%	492,448	6.8%	-1.7%
2015	$21.51	115	3.7%	-28.2%	601,897	8.5%	-1.1%
2014	$20.74	111	4.5%	-30.8%	666,277	9.6%	-0.2%

GENERAL RETAIL RENT & VACANCY

	Market Asking Rent				Vacancy		
Year	Per SF	Index	% Growth	Vs Hist Peak	SF	Percent	Ppts Chg
2030	$34.98	193	2.3%	15.2%	2,237,139	3.2%	0%
2029	$34.19	189	2.5%	12.6%	2,190,352	3.2%	0%
2028	$33.35	184	3.6%	9.8%	2,151,919	3.2%	0.1%
2027	$32.20	178	3.3%	6.0%	2,060,782	3.1%	0.5%
2026	$31.16	172	2.6%	2.6%	1,667,872	2.6%	0.2%
YTD	$30.37	168	2.7%	0%	1,606,266	2.5%	0.2%
2025	$30.37	168	2.7%	0%	1,496,446	2.4%	0%
2024	$29.58	164	3.8%	-2.6%	1,475,694	2.4%	0%
2023	$28.50	158	5.5%	-6.2%	1,451,211	2.4%	0.1%
2022	$27.02	149	5.0%	-11.0%	1,342,823	2.2%	-0.4%
2021	$25.73	142	4.3%	-15.3%	1,557,345	2.6%	-0.5%
2020	$24.68	136	3.1%	-18.8%	1,848,674	3.1%	0.3%
2019	$23.93	132	2.5%	-21.2%	1,620,051	2.8%	0.1%
2018	$23.34	129	2.5%	-23.1%	1,550,664	2.7%	0.3%
2017	$22.77	126	3.3%	-25.0%	1,311,690	2.4%	0%
2016	$22.04	122	3.4%	-27.4%	1,263,336	2.4%	-0.1%
2015	$21.32	118	4.3%	-29.8%	1,291,000	2.4%	-0.8%
2014	$20.44	113	5.1%	-32.7%	1,692,108	3.2%	0.1%

© 2026 CoStar Group - Licensed to Williamson Central Appraisal District - 1445675

OTHER RENT & VACANCY

	Market Asking Rent				Vacancy		
Year	Per SF	Index	% Growth	Vs Hist Peak	SF	Percent	Ppts Chg
2030	$48.47	200	3.1%	13.0%	102,178	4.8%	-0.6%
2029	$46.99	194	3.5%	9.5%	112,052	5.3%	-0.3%
2028	$45.41	188	4.3%	5.9%	117,223	5.7%	0.2%
2027	$43.55	180	2.5%	1.5%	110,945	5.5%	1.1%
2026	$42.49	176	-0.9%	-0.9%	87,408	4.4%	1.2%
YTD	$42.89	177	3.2%	0%	63,897	3.2%	0%
2025	$42.89	177	3.2%	0%	63,897	3.2%	3.0%
2024	$41.57	172	4.0%	-3.1%	2,777	0.1%	0%
2023	$39.99	165	6.5%	-6.8%	2,777	0.1%	-0.8%
2022	$37.55	155	6.6%	-12.5%	19,386	1.0%	0%
2021	$35.22	146	4.2%	-17.9%	18,593	0.9%	-0.7%
2020	$33.80	140	3.9%	-21.2%	32,272	1.6%	1.6%
2019	$32.55	134	1.9%	-24.1%	0	0%	-0.1%
2018	$31.93	132	1.6%	-25.6%	1,562	0.1%	0.1%
2017	$31.44	130	4.3%	-26.7%	0	0%	0%
2016	$30.13	124	4.1%	-29.8%	0	0%	-0.3%
2015	$28.93	120	4.3%	-32.5%	4,469	0.3%	0%
2014	$27.74	115	5.9%	-35.3%	4,469	0.3%	0%

© 2026 CoStar Group - Licensed to Williamson Central Appraisal District - 1445675

OVERALL SALES

	Completed Transactions (1)						Market Pricing Trends (2)		
Year	Deals	Volume	Turnover	Avg Price	Avg Price/SF	Avg Cap Rate	Price/SF	Price Index	Cap Rate
2030	-	-	-	-	-	-	$411.31	233	5.9%
2029	-	-	-	-	-	-	$399.28	226	6.0%
2028	-	-	-	-	-	-	$383.59	217	6.1%
2027	-	-	-	-	-	-	$363.89	206	6.2%
2026	-	-	-	-	-	-	$349.91	198	6.3%
YTD	0	-	-	-	-	-	$342.43	194	6.3%
2025	412	$456.7M	3.1%	$6,256,073	$332.11	6.4%	$342.10	194	6.3%
2024	341	$198.2M	2.2%	$3,359,156	$314.15	6.3%	$335.88	190	6.2%
2023	292	$170.6M	1.8%	$3,554,420	$377.06	5.4%	$329.36	187	6.1%
2022	496	$581.9M	5.3%	$4,581,635	$302.48	5.6%	$318.77	181	6.0%
2021	596	$376.2M	6.1%	$4,179,763	$309.10	6.0%	$294.08	167	6.2%
2020	413	$318.3M	2.8%	$3,151,696	$303.40	6.0%	$276.85	157	6.3%
2019	442	$439.7M	3.7%	$3,435,000	$248.54	6.4%	$265.79	151	6.5%
2018	480	$318.7M	3.5%	$2,896,840	$239.36	6.3%	$259.54	147	6.5%
2017	443	$293.7M	3.9%	$3,863,845	$340.16	6.5%	$270.02	153	6.2%
2016	452	$214M	5.4%	$2,853,725	$288.81	6.3%	$262.99	149	6.2%
2015	418	$402.4M	3.8%	$3,832,543	$284.92	6.7%	$261.32	148	6.1%

(1) Completed transaction data is based on actual arms-length sales transactions and levels are dependent on the mix of what happened to sell in the period.
(2) Market price trends data is based on the estimated price movement of all properties in the market, informed by actual transactions that have occurred. The price index is not smoothed.

MALLS SALES

	Completed Transactions (1)						Market Pricing Trends (2)		
Year	Deals	Volume	Turnover	Avg Price	Avg Price/SF	Avg Cap Rate	Price/SF	Price Index	Cap Rate
2030	-	-	-	-	-	-	$366.25	215	5.8%
2029	-	-	-	-	-	-	$355.16	209	5.9%
2028	-	-	-	-	-	-	$341.39	201	6.0%
2027	-	-	-	-	-	-	$325.49	191	6.1%
2026	-	-	-	-	-	-	$318.39	187	6.1%
YTD	-	-	-	-	-	-	$322.28	189	6.2%
2025	-	-	-	-	-	-	$322.29	189	6.2%
2024	4	$0	1.2%	-	-	-	$315.22	185	6.1%
2023	1	$0	0.2%	-	-	-	$310.10	182	6.0%
2022	2	$13.2M	2.4%	$13,200,000	$95.76	6.6%	$298.80	176	6.0%
2021	10	$0	6.3%	-	-	-	$255.64	150	6.4%
2020	1	$0	0.1%	-	-	-	$240.33	141	6.5%
2019	3	$0	4.3%	-	-	-	$231.94	136	6.7%
2018	1	$5.2M	0.1%	$5,222,000	$1,411.35	5.5%	$229.64	135	6.6%
2017	6	$3.6M	2.4%	$3,600,000	$657.29	6.4%	$257.12	151	6.1%
2016	1	$0	0.1%	-	-	-	$250.40	147	6.1%
2015	7	$25M	4.0%	$8,339,155	$147.09	6.8%	$251.56	148	6.0%

(1) Completed transaction data is based on actual arms-length sales transactions and levels are dependent on the mix of what happened to sell in the period.
(2) Market price trends data is based on the estimated price movement of all properties in the market, informed by actual transactions that have occurred. The price index is not smoothed.

© 2026 CoStar Group - Licensed to Williamson Central Appraisal District - 1445675

POWER CENTER SALES

	Completed Transactions (1)						Market Pricing Trends (2)		
Year	Deals	Volume	Turnover	Avg Price	Avg Price/SF	Avg Cap Rate	Price/SF	Price Index	Cap Rate
2030	-	-	-	-	-	-	$352.48	205	6.1%
2029	-	-	-	-	-	-	$343.31	199	6.1%
2028	-	-	-	-	-	-	$331.29	193	6.2%
2027	-	-	-	-	-	-	$315.90	184	6.3%
2026	-	-	-	-	-	-	$305.57	178	6.4%
YTD	0	-	-	-	-	-	$300.69	175	6.4%
2025	16	$253.9M	5.3%	$25,391,304	$334.57	7.5%	$300.67	175	6.4%
2024	5	$3.3M	0.4%	$3,300,000	$607.40	5.4%	$295.39	172	6.4%
2023	8	$47.5M	1.8%	$9,500,000	$247.71	-	$289.69	168	6.3%
2022	63	$210.6M	14.9%	$7,261,868	$229.98	6.3%	$280.66	163	6.2%
2021	21	$26.8M	5.4%	$8,929,731	$87.66	7.2%	$245.51	143	6.6%
2020	22	$98.9M	2.9%	$5,495,833	$240.20	5.5%	$230.55	134	6.7%
2019	23	$89.8M	4.0%	$5,282,176	$158.27	7.1%	$220.22	128	6.9%
2018	10	$13.2M	0.3%	$2,636,467	$597.24	6.0%	$217.72	127	6.8%
2017	31	$2.6M	5.9%	$2,618,182	$935.07	5.5%	$244.84	142	6.3%
2016	59	$14.9M	16.0%	$4,972,658	$89.63	6.8%	$238.02	138	6.3%
2015	21	$95.1M	3.6%	$5,595,203	$239.81	6.6%	$239.45	139	6.2%

(1) Completed transaction data is based on actual arms-length sales transactions and levels are dependent on the mix of what happened to sell in the period.
(2) Market price trends data is based on the estimated price movement of all properties in the market, informed by actual transactions that have occurred. The price index is not smoothed.

NEIGHBORHOOD CENTER SALES

	Completed Transactions (1)						Market Pricing Trends (2)		
Year	Deals	Volume	Turnover	Avg Price	Avg Price/SF	Avg Cap Rate	Price/SF	Price Index	Cap Rate
2030	-	-	-	-	-	-	$359.75	222	6.1%
2029	-	-	-	-	-	-	$348.73	215	6.1%
2028	-	-	-	-	-	-	$334.44	206	6.2%
2027	-	-	-	-	-	-	$316.44	195	6.3%
2026	-	-	-	-	-	-	$302.91	187	6.4%
YTD	0	-	-	-	-	-	$294.72	182	6.4%
2025	36	$92.1M	2.4%	$5,756,283	$412.14	7.2%	$294.53	182	6.4%
2024	56	$49.1M	3.2%	$4,459,314	$193.26	-	$290.37	179	6.3%
2023	39	$10M	1.3%	$5,000,000	$278.86	-	$285.37	176	6.2%
2022	44	$106.2M	3.8%	$5,897,741	$348.20	5.5%	$276.60	171	6.2%
2021	63	$113.6M	6.8%	$8,111,010	$331.98	5.3%	$250.02	154	6.4%
2020	27	$32.2M	1.6%	$4,603,222	$339.32	5.9%	$234.45	145	6.5%
2019	34	$113M	3.9%	$7,064,813	$243.32	6.0%	$225.79	139	6.7%
2018	36	$87.7M	4.0%	$6,744,109	$227.33	6.9%	$221.19	136	6.7%
2017	34	$135M	3.6%	$11,253,853	$408.59	7.5%	$240.40	148	6.3%
2016	49	$2.6M	4.6%	$2,550,000	$870.60	5.3%	$233.98	144	6.3%
2015	46	$135.9M	4.9%	$5,226,292	$312.61	6.0%	$234.65	145	6.2%

(1) Completed transaction data is based on actual arms-length sales transactions and levels are dependent on the mix of what happened to sell in the period.
(2) Market price trends data is based on the estimated price movement of all properties in the market, informed by actual transactions that have occurred. The price index is not smoothed.

© 2026 CoStar Group - Licensed to Williamson Central Appraisal District - 1445675

STRIP CENTER SALES

	Completed Transactions (1)						Market Pricing Trends (2)		
Year	Deals	Volume	Turnover	Avg Price	Avg Price/SF	Avg Cap Rate	Price/SF	Price Index	Cap Rate
2030	-	-	-	-	-	-	$421.58	247	5.8%
2029	-	-	-	-	-	-	$408	239	5.9%
2028	-	-	-	-	-	-	$390.64	229	6.0%
2027	-	-	-	-	-	-	$369.29	217	6.1%
2026	-	-	-	-	-	-	$354.42	208	6.2%
YTD	0	-	-	-	-	-	$347.57	204	6.2%
2025	29	$0	3.2%	-	-	5.4%	$345.85	203	6.2%
2024	23	$4.1M	2.7%	$4,100,000	$320.94	7.0%	$340.49	200	6.1%
2023	21	$19.2M	2.4%	$6,386,097	$466.01	5.8%	$334.31	196	6.0%
2022	28	$0	3.4%	-	-	5.3%	$322.07	189	6.0%
2021	32	$14.3M	3.9%	$3,586,348	$294.44	6.4%	$305.93	179	6.0%
2020	33	$13.6M	7.1%	$4,549,453	$159.52	6.8%	$288.82	169	6.1%
2019	18	$15.2M	2.9%	$2,171,714	$197.25	6.2%	$277.30	163	6.2%
2018	24	$32.6M	3.8%	$2,966,875	$193.75	6.1%	$270.12	158	6.3%
2017	18	$13.6M	2.2%	$2,716,926	$367.49	7.2%	$269.75	158	6.2%
2016	27	$23.7M	4.3%	$3,947,880	$311.92	6.9%	$262.90	154	6.2%
2015	34	$20.2M	4.9%	$2,881,932	$313.46	7.4%	$258.63	152	6.1%

(1) Completed transaction data is based on actual arms-length sales transactions and levels are dependent on the mix of what happened to sell in the period.
(2) Market price trends data is based on the estimated price movement of all properties in the market, informed by actual transactions that have occurred. The price index is not smoothed.

GENERAL RETAIL SALES

	Completed Transactions (1)						Market Pricing Trends (2)		
Year	Deals	Volume	Turnover	Avg Price	Avg Price/SF	Avg Cap Rate	Price/SF	Price Index	Cap Rate
2030	-	-	-	-	-	-	$452.73	244	5.9%
2029	-	-	-	-	-	-	$439.76	237	5.9%
2028	-	-	-	-	-	-	$422.67	228	6.0%
2027	-	-	-	-	-	-	$401.04	216	6.1%
2026	-	-	-	-	-	-	$385.28	208	6.2%
YTD	0	-	-	-	-	-	$375.87	203	6.2%
2025	329	$102.3M	3.2%	$2,272,884	$312.20	6.4%	$375.55	203	6.2%
2024	253	$141.7M	2.3%	$3,081,256	$394.98	6.3%	$368.06	199	6.1%
2023	222	$94M	2.0%	$2,472,470	$511.31	5.4%	$360.56	195	6.0%
2022	358	$251.9M	4.3%	$3,188,786	$445.67	5.6%	$348.93	188	6.0%
2021	470	$221.5M	6.4%	$3,209,999	$425.40	5.9%	$327.67	177	6.1%
2020	329	$170.1M	3.1%	$2,361,912	$380.62	6.0%	$308.92	167	6.2%
2019	362	$214.1M	3.7%	$2,489,140	$329.68	6.4%	$296.56	160	6.3%
2018	403	$179.9M	4.2%	$2,249,237	$239.47	6.4%	$288.24	156	6.3%
2017	354	$138.8M	4.0%	$2,435,143	$284.71	6.3%	$290.96	157	6.2%
2016	316	$172.9M	3.8%	$2,659,601	$348.71	6.2%	$283.47	153	6.2%
2015	310	$126.2M	3.3%	$2,427,384	$364.14	6.6%	$279.96	151	6.1%

(1) Completed transaction data is based on actual arms-length sales transactions and levels are dependent on the mix of what happened to sell in the period.
(2) Market price trends data is based on the estimated price movement of all properties in the market, informed by actual transactions that have occurred. The price index is not smoothed.

© 2026 CoStar Group - Licensed to Williamson Central Appraisal District - 1445675

OTHER SALES

	Completed Transactions (1)						Market Pricing Trends (2)		
Year	Deals	Volume	Turnover	Avg Price	Avg Price/SF	Avg Cap Rate	Price/SF	Price Index	Cap Rate
2030	-	-	-	-	-	-	$339.93	203	6.1%
2029	-	-	-	-	-	-	$325.76	195	6.2%
2028	-	-	-	-	-	-	$308.35	184	6.2%
2027	-	-	-	-	-	-	$289.08	173	6.4%
2026	-	-	-	-	-	-	$279.88	167	6.4%
YTD	-	-	-	-	-	-	$285.25	170	6.4%
2025	2	$8.4M	3.2%	$4,200,000	$128.99	6.1%	$285.34	170	6.4%
2024	-	-	-	-	-	-	$283.69	169	6.3%
2023	1	$0	1.2%	-	-	-	$275.14	164	6.3%
2022	1	$0	0.3%	-	-	-	$270.60	162	6.1%
2021	-	-	-	-	-	-	$263.73	158	6.1%
2020	1	$3.5M	0.5%	$3,467,723	$345.74	-	$248.14	148	6.2%
2019	2	$7.6M	0.5%	$3,789,000	$706.64	5.3%	$234.54	140	6.4%
2018	6	$0	8.5%	-	-	5.0%	$234.22	140	6.3%
2017	-	-	-	-	-	-	$240.05	143	6.2%
2016	-	-	-	-	-	-	$235.45	141	6.1%
2015	-	-	-	-	-	-	$239.33	143	6.0%

(1) Completed transaction data is based on actual arms-length sales transactions and levels are dependent on the mix of what happened to sell in the period.
(2) Market price trends data is based on the estimated price movement of all properties in the market, informed by actual transactions that have occurred. The price index is not smoothed.

© 2026 CoStar Group - Licensed to Williamson Central Appraisal District - 1445675