Retail Market Report

Corpus Christi - TX USA

PREPARED BY

Zoe Ying Zhang

RETAIL MARKET REPORT

Market Key Statistics	1
Leasing	2
Rent	6
Construction	7
Under Construction Properties	8
Sales	10
Sales Past 12 Months	12
Economy	14
Market Submarkets	18
Supply & Demand Trends	21
Rent & Vacancy	25
Sale Trends	29

© 2026 CoStar Group - Licensed to Williamson Central Appraisal District - 1445675

Overview

12 Mo Deliveries in SF	12 Mo Net Absorption in SF	Vacancy Rate	Market Asking Rent Growth
93.5K	(19.5K)	3.7%	0.8%

The Corpus Christi retail market has a vacancy rate of 3.7% as of the first quarter of 2026. Over the past year, the market's vacancy rate has changed by 0.03%, a result of 12,000 SF of net delivered space and -19,000 SF of net absorption.

Corpus Christi's vacancy rate of 3.7% compares to the market's five-year average of 3.4% and the 10-year average of 3.3%. Overall market vacancy is forecast to end 2026 at 4.0%.

Among the retail subtypes, neighborhood center vacancy stands at 9.8%, power centers have no vacancy, strip center vacancy is 5.4%, mall vacancy is 0.9%, and general retail vacancy is 2.7%. The Corpus Christi retail market has roughly 1.3 million SF of space listed as available, for an availability rate of 4.2%.

As of the first quarter of 2026, there is 140,000 SF of retail space under construction in Corpus Christi. In comparison, the market has averaged 120,000 SF of under construction inventory over the past 10 years. The Corpus Christi retail market contains roughly 30.4 million SF of inventory. The market has approximately 4.2 million SF of neighborhood center inventory, 350,000 SF of power center inventory, 2.2 million SF of strip center inventory, 2.5 million SF of mall inventory, and 20.8 million SF of general retail.

Market rents in Corpus Christi are $17.40/SF. Rents have changed by 0.8% year over year in Corpus Christi, compared to a change of 2.0% nationally. Market rents have changed by 1.7% in neighborhood center properties year over year, 1.4% in power center properties, 0.9% in strip center properties, 2.0% in mall properties, and 0.4% in general retail properties. In Corpus Christi, five-year average annual rent growth is 3.3% and 10-year average annual rent growth is 2.8%. Overall annual rent growth in the Corpus Christi retail market is forecast to end 2026 at 0.7% compared to the national average of 2.1%.

KEY INDICATORS

Current Quarter	RBA	Vacancy Rate	Market Asking Rent	Availability Rate	Net Absorption SF	Deliveries SF	Under Construction
Malls	2,540,868	0.9%	$21.26	0.5%	7,696	0	0
Power Center	348,328	0%	$17.70	0%	0	0	0
Neighborhood Center	4,171,179	9.8%	$19.22	9.2%	(32,099)	0	0
Strip Center	2,228,014	5.4%	$17.86	6.0%	(8,850)	0	0
General Retail	20,774,800	2.7%	$16.52	3.5%	(7,227)	4,996	136,483
Other	293,978	3.6%	$17.35	6.3%	0	0	0
Market	**30,357,167**	**3.7%**	**$17.40**	**4.2%**	**(40,480)**	**4,996**	**136,483**

Annual Trends	12 Month	Historical Average	Forecast Average	Peak	When	Trough	When
Vacancy	0% (YOY)	4.6%	4.0%	7.6%	2007 Q2	2.5%	2019 Q2
Net Absorption SF	(19.5K)	260,070	2,622	1,094,278	2008 Q2	(494,975)	2020 Q4
Deliveries SF	93.5K	267,911	68,090	797,217	2011 Q4	88,801	2023 Q2
Market Asking Rent Growth	0.8%	1.7%	1.8%	4.5%	2022 Q2	-2.6%	2010 Q1
Sales Volume	$22.3M	$38M	N/A	$128.3M	2008 Q3	$2.9M	2010 Q3

© 2026 CoStar Group - Licensed to Williamson Central Appraisal District - 1445675

NET ABSORPTION, NET DELIVERIES & VACANCY

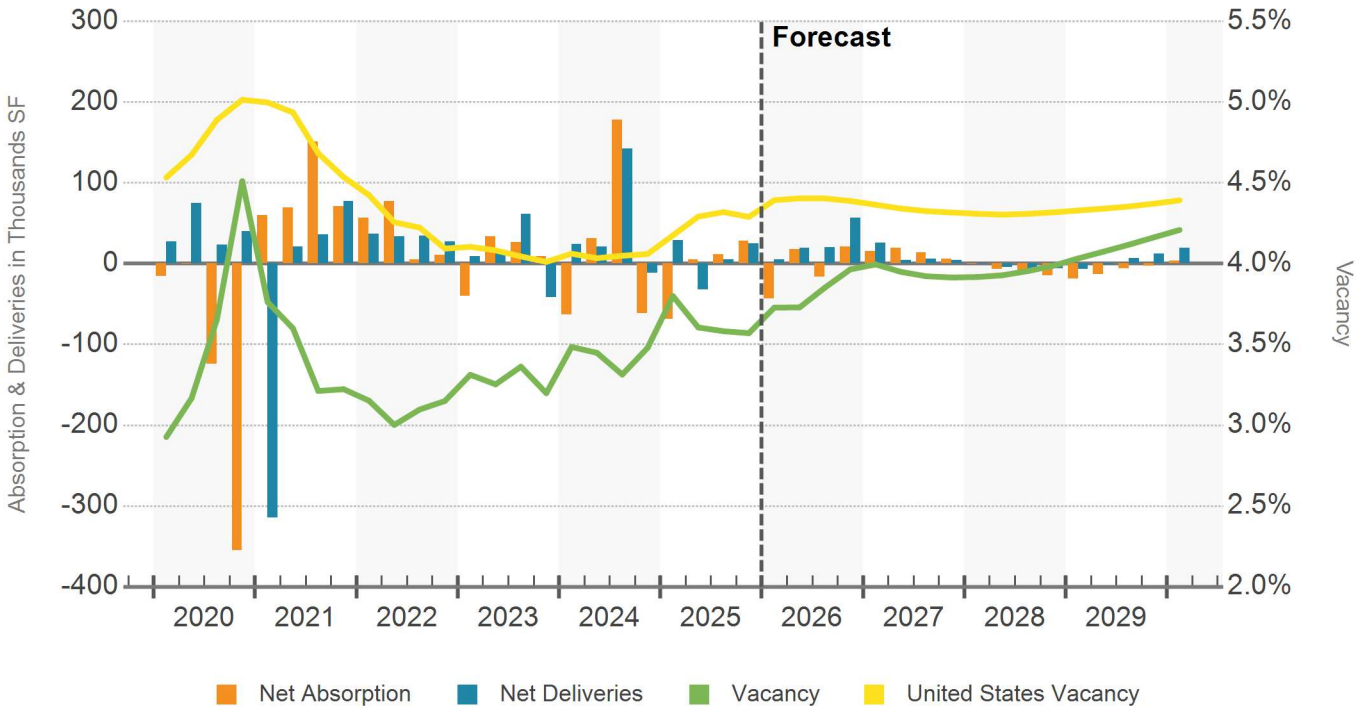

VACANCY RATE

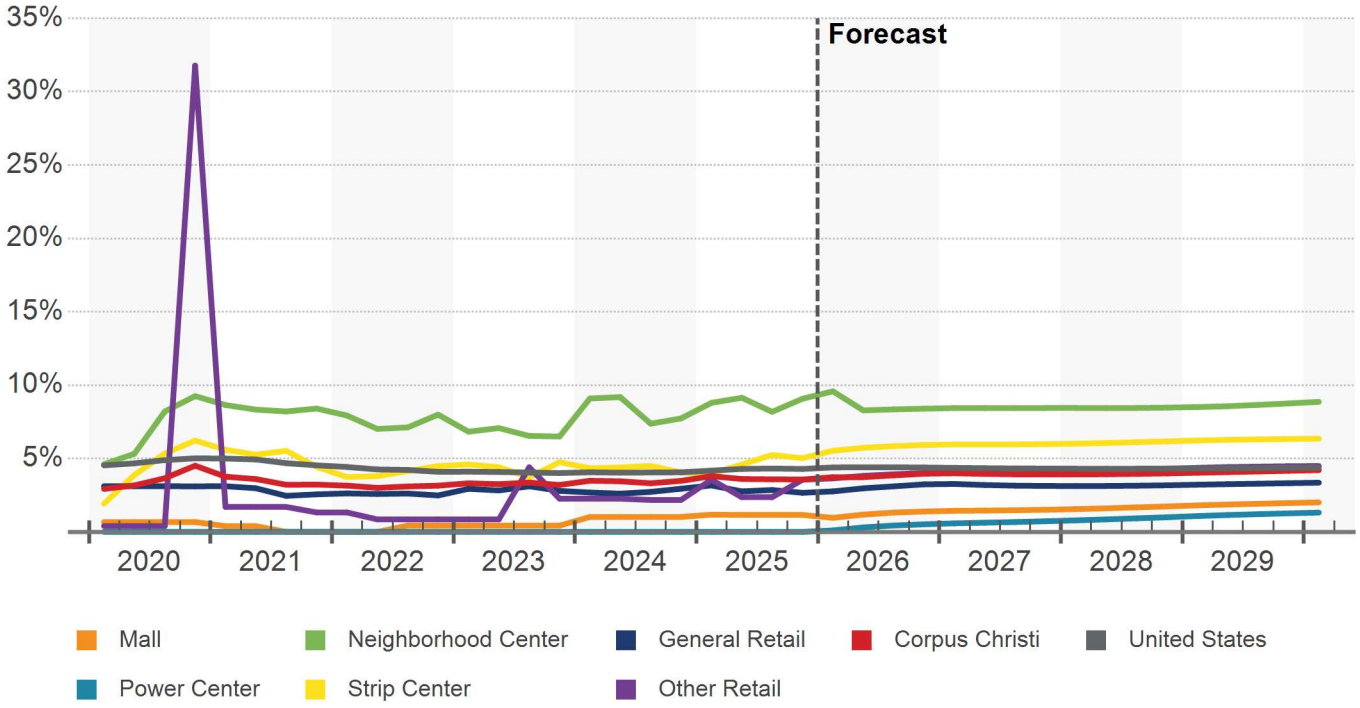

© 2026 CoStar Group - Licensed to Williamson Central Appraisal District - 1445675

AVAILABILITY RATE

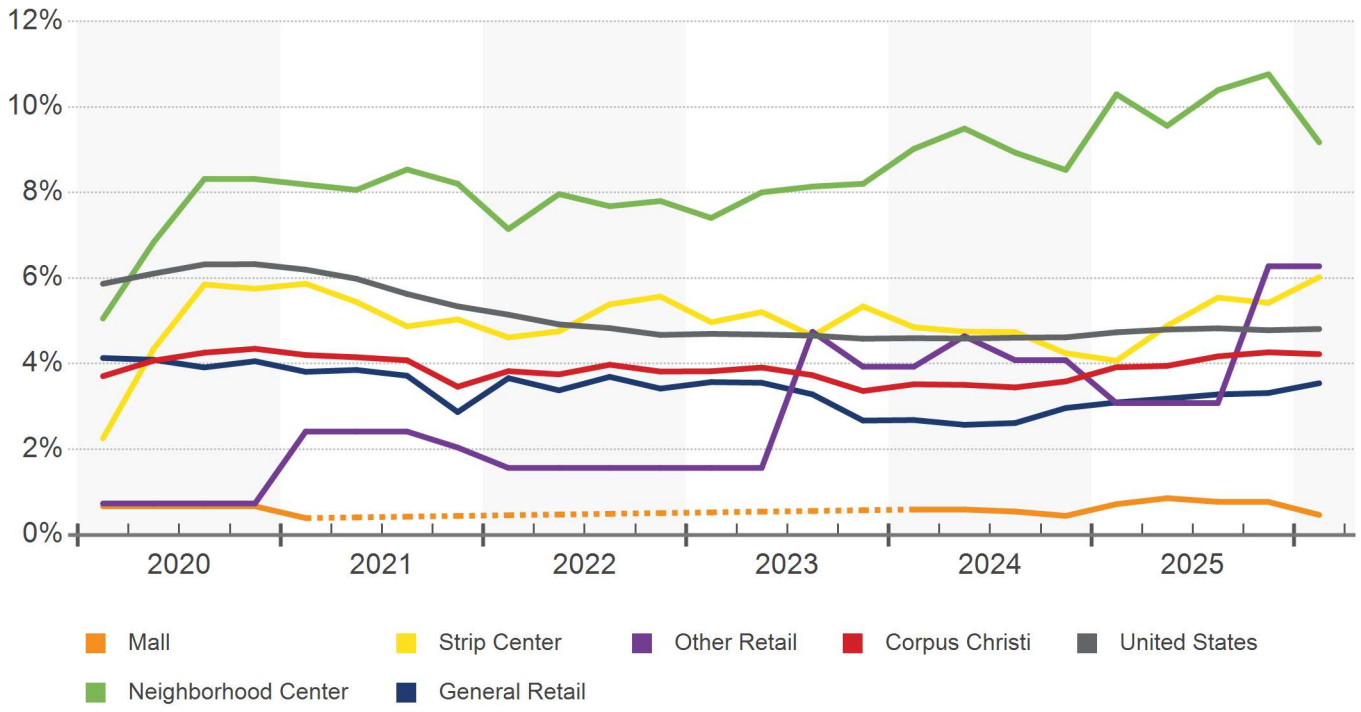

12 MONTH NET ABSORPTION SF IN SELECTED BUILDINGS

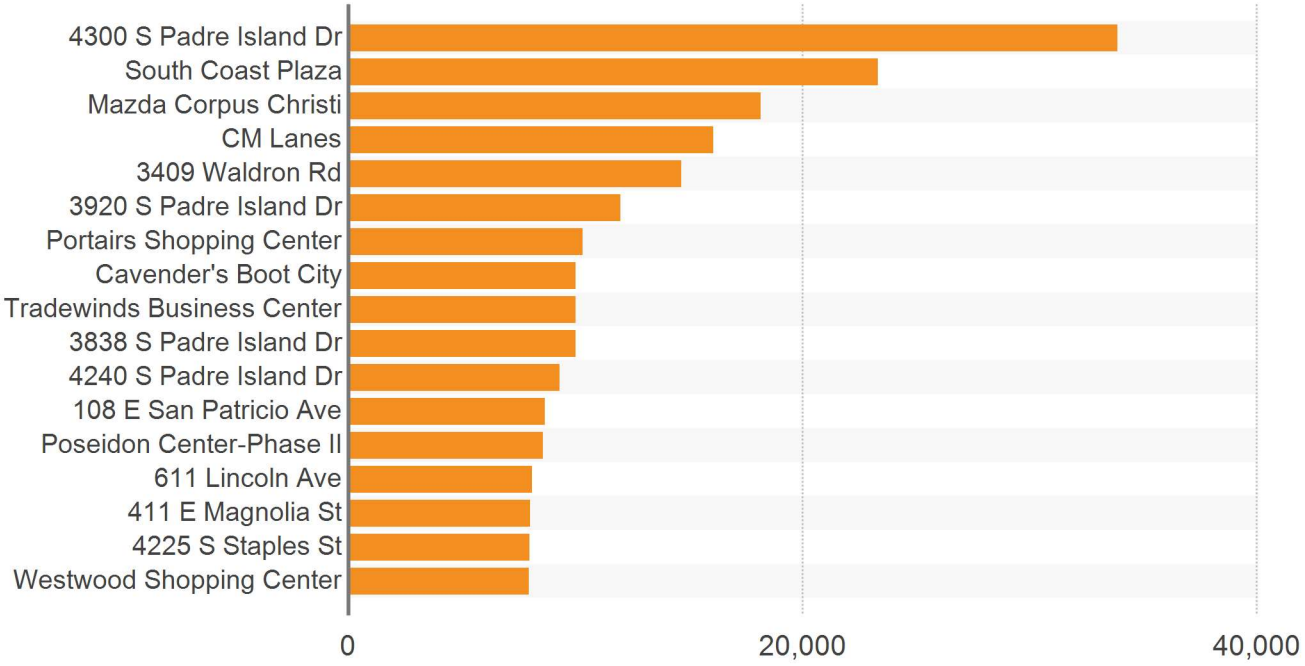

Building Name/Address	Submarket	Bldg SF	Vacant SF	Net Absorption SF				
				1st Qtr	2nd Qtr	3rd Qtr	4th Qtr	12 Month
4300 S Padre Island Dr	Mid-City	70,910	15,044	29,842	0	0	0	33,867
South Coast Plaza	West Side	98,357	12,564	0	0	0	0	23,337
Mazda Corpus Christi	Mid-City	18,166	0	0	0	0	0	18,166
CM Lanes	Portland/Ingleside	16,075	0	16,075	0	0	0	16,075
3409 Waldron Rd	Flour Bluff/Padre Island	35,200	0	0	0	0	0	14,667
3920 S Padre Island Dr	Mid-City	12,000	0	0	0	0	0	12,000
Portairs Shopping Center	Mid-City	158,842	5,205	4,095	0	0	0	10,312
Cavender's Boot City	Mid-City	52,750	0	10,001	0	0	0	10,001
Tradewinds Business Center	Flour Bluff/Padre Island	11,080	0	10,000	0	0	0	10,000
3838 S Padre Island Dr	Mid-City	10,000	0	0	0	0	0	10,000
4240 S Padre Island Dr	Mid-City	9,315	0	0	0	0	0	9,315
108 E San Patricio Ave	West San Patricio Cnty	13,000	0	0	0	0	0	8,667
Poseidon Center-Phase II	Portland/Ingleside	9,980	0	0	0	0	0	8,580
611 Lincoln Ave	Northwest	8,098	0	8,098	0	0	0	8,098
411 E Magnolia St	West San Patricio Cnty	11,524	0	0	0	0	0	8,000
4225 S Staples St	Mid-City	23,942	0	0	0	0	0	7,981
Westwood Shopping Center	Northwest	55,591	17,191	2,279	0	0	0	7,963
Subtotal Primary Competitors		**614,830**	**50,004**	**80,390**	**0**	**0**	**0**	**217,027**
Remaining Corpus Christi Market		29,742,337	1,079,043	(120,870)	0	0	0	(236,491)
Total Corpus Christi Market		**30,357,167**	**1,129,047**	**(40,480)**	**0**	**0**	**0**	**(19,464)**

© 2026 CoStar Group - Licensed to Williamson Central Appraisal District - 1445675

TOP RETAIL LEASES PAST 12 MONTHS

Building Name/Address	Submarket	Leased SF	Qtr	Tenant Name	Tenant Rep Company	Leasing Rep Company
Cavender's Boot City	Mid-City	53,120	Q1 26	Mega Furniture	-	Cravey Real Estate Ser…
South Coast Plaza	West Side	23,000	Q2 25	AutoZone	-	Cravey Real Estate Ser…
Crossroads District	Northwest	12,406	Q2 25	Big Easy Saloon	-	Stonewater Properties Inc
2517 South Padre Island Dr	South Side	11,500	Q2 25	-	-	Sunwest Realty Texas I…
Star Plaza	Mid-City	10,028	Q3 25	BioLife Plasma Services	-	Cravey Real Estate Ser…
Cavender's Boot City	Mid-City	10,001	Q4 25	Cavender's	-	The Retail Connection
4240 S Padre Island Dr	Mid-City	9,315	Q4 25	-	-	Stonewater Properties Inc
Town & Country Shopping Center *	Mid-City	8,607	Q1 26	South Texas Music Mart	-	-
Town & Country Shopping Center *	Mid-City	7,122	Q1 26	Spec's	-	-
5805 Weber Rd *	South Side	7,056	Q1 25	-	-	Landlord Resources LLC
Crossroads District	Northwest	7,008	Q2 25	Wheelhouse Facility	-	Stonewater Properties Inc
Westwood Shopping Center	Northwest	6,419	Q2 25	-	-	TAO Interests
South Coast Plaza	West Side	6,150	Q3 25	Olive Garden	-	Cravey Real Estate Ser…
4153 IH-69 Access Rd	Northwest	6,000	Q1 26	2 Jewels Boutique	-	Cravey Real Estate Ser…
Kings Court Shopping Center	South Side	5,807	Q1 26	BAARE BBQ	-	Cravey Real Estate Ser…
Crossroads District	Northwest	5,800	Q2 25	Crossroads Event Center	-	Stonewater Properties Inc
Portairs Shopping Center	Mid-City	5,000	Q1 26	-	-	Boller Properties, LLC
Gulfway Center	South Side	5,000	Q3 25	Chic To Chic	-	-
Carmel Village	Mid-City	4,870	Q1 25	SpinXpress Laundry	-	Cravey Real Estate Ser…
Town & Country Shopping Center *	Mid-City	4,800	Q1 26	Town & Country Cafe	-	-
Palm Plaza	Portland/Ingleside	4,515	Q2 25	SpinXpress Laundry	-	Cravey Real Estate Ser…
4300 S Padre Island Dr	Mid-City	4,025	Q2 25	ProCare Injury Specialist	-	Stonewater Properties Inc
9906 S Padre Island Dr	Flour Bluff/Padre Island	3,500	Q3 25	-	-	Arnulfo De La Rosa
4141 Gollihar Rd	Mid-City	3,215	Q4 25	Sunrise and Sunset Child…	-	KM Premier Real Estate
Pueblo Park Mall	South Side	2,933	Q4 25	-	-	Owens Brothers Manag…
5800 Everhart Rd *	South Side	2,560	Q2 25	-	-	Landlord Resources LLC
Weber Square *	South Side	2,550	Q2 25	-	-	Landlord Resources LLC
3607 S Staples St	Mid-City	2,533	Q4 25	Daniel's Auto Sales	-	Garron Dean & Associa…
La Encantada Village	South Side	2,509	Q3 25	-	-	Owens Brothers Manag…
Pharaoh Plaza	Mid-City	2,500	Q3 25	-	-	Supertex Properties, A…
1300 S Staples Center	Mid-City	2,500	Q4 25	-	-	Landlord Resources LLC
Westwood Shopping Center	Northwest	2,447	Q4 25	-	-	TAO Interests
Bel-Aire Shopping Center	Mid-City	2,442	Q2 25	Total Wireless	-	Cravey Real Estate Ser…
Padre Commons	South Side	2,437	Q3 25	Lion of Judah Animal Res…	-	Cravey Real Estate Ser…
Five Points Station	Northwest	2,312	Q3 25	Anna's Nails	-	Cravey Real Estate Ser…
Westwood Shopping Center	Northwest	2,279	Q1 26	-	-	TAO Interests
Padre Commons	South Side	2,257	Q3 25	Dairy Burger	-	SDI Realty Advisors
Leopard Square	Northwest	2,244	Q1 26	-	-	Cravey Real Estate Ser…
336 S Commercial St	Portland/Ingleside	2,185	Q1 26	Leroy Mitchan	-	South Texas Realty, LL…
Westwood Shopping Center	Northwest	2,165	Q4 25	-	-	TAO Interests

*Renewal

© 2026 CoStar Group - Licensed to Williamson Central Appraisal District - 1445675

MARKET ASKING RENT GROWTH (YOY)

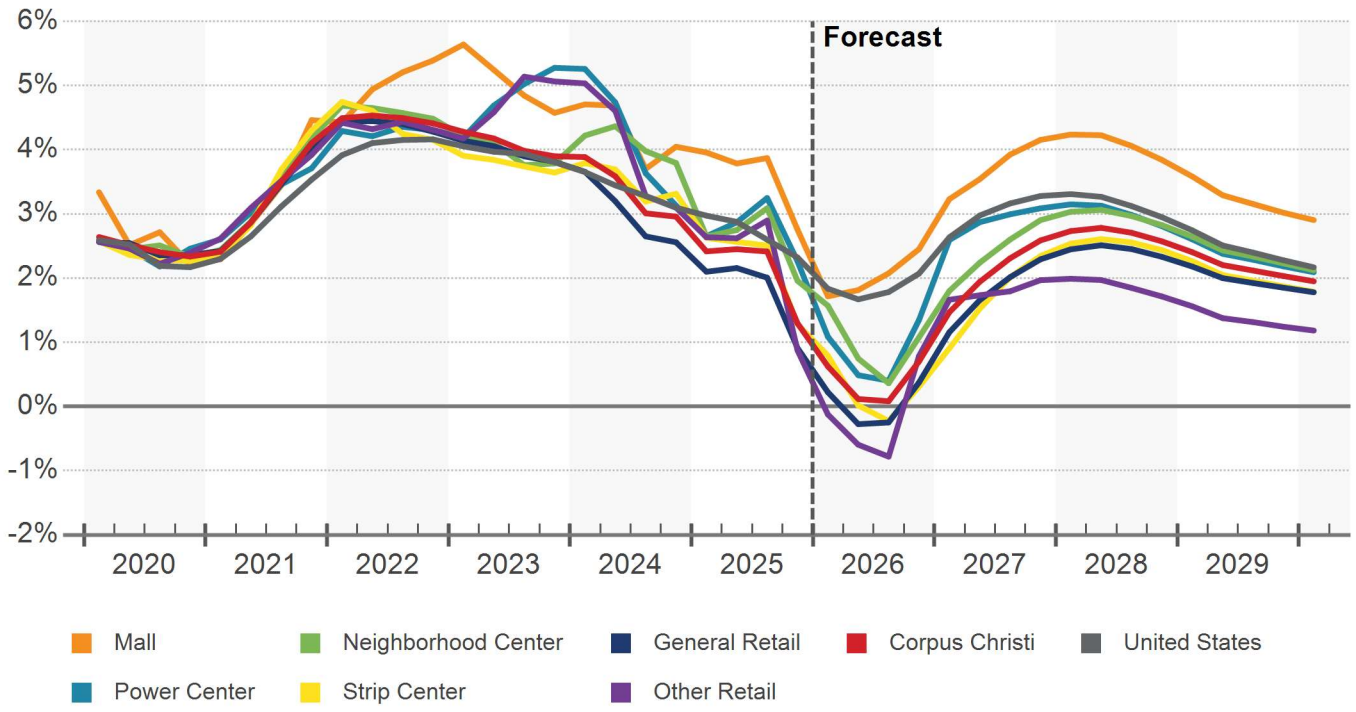

MARKET ASKING RENT PER SQUARE FEET

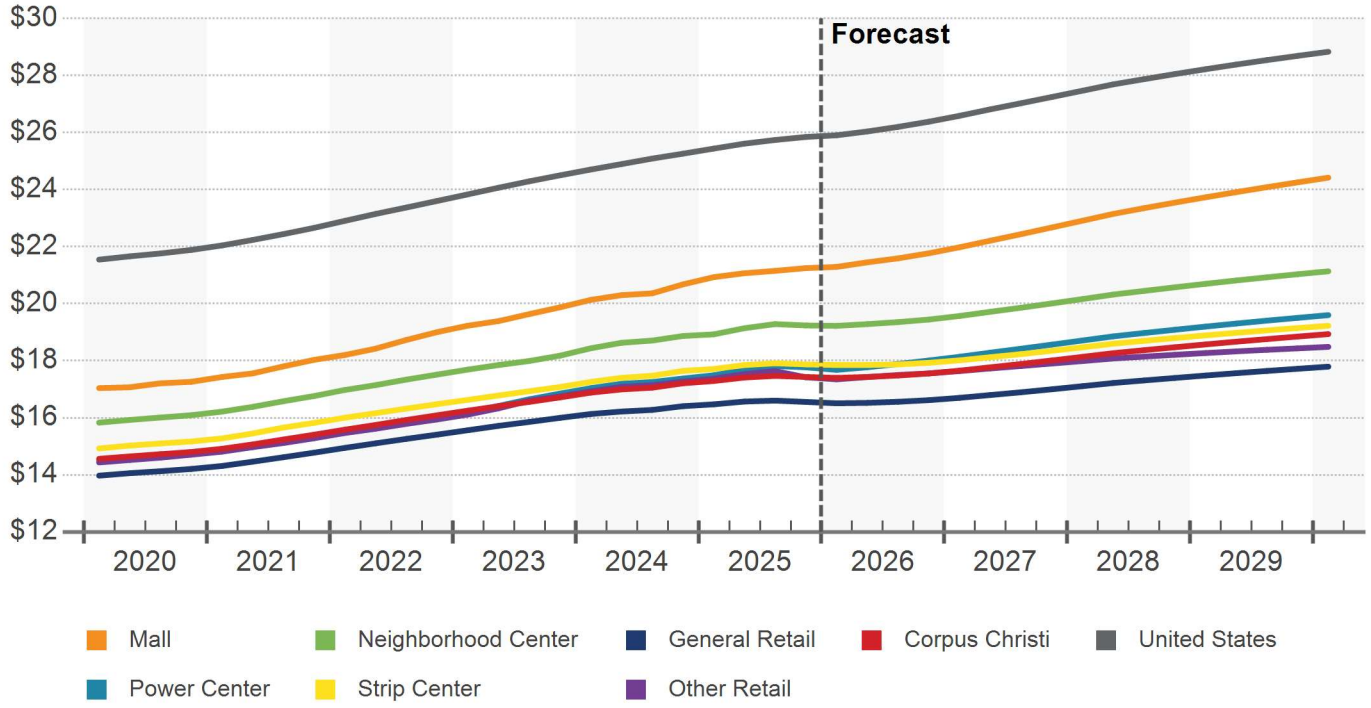

© 2026 CoStar Group - Licensed to Williamson Central Appraisal District - 1445675

DELIVERIES & DEMOLITIONS

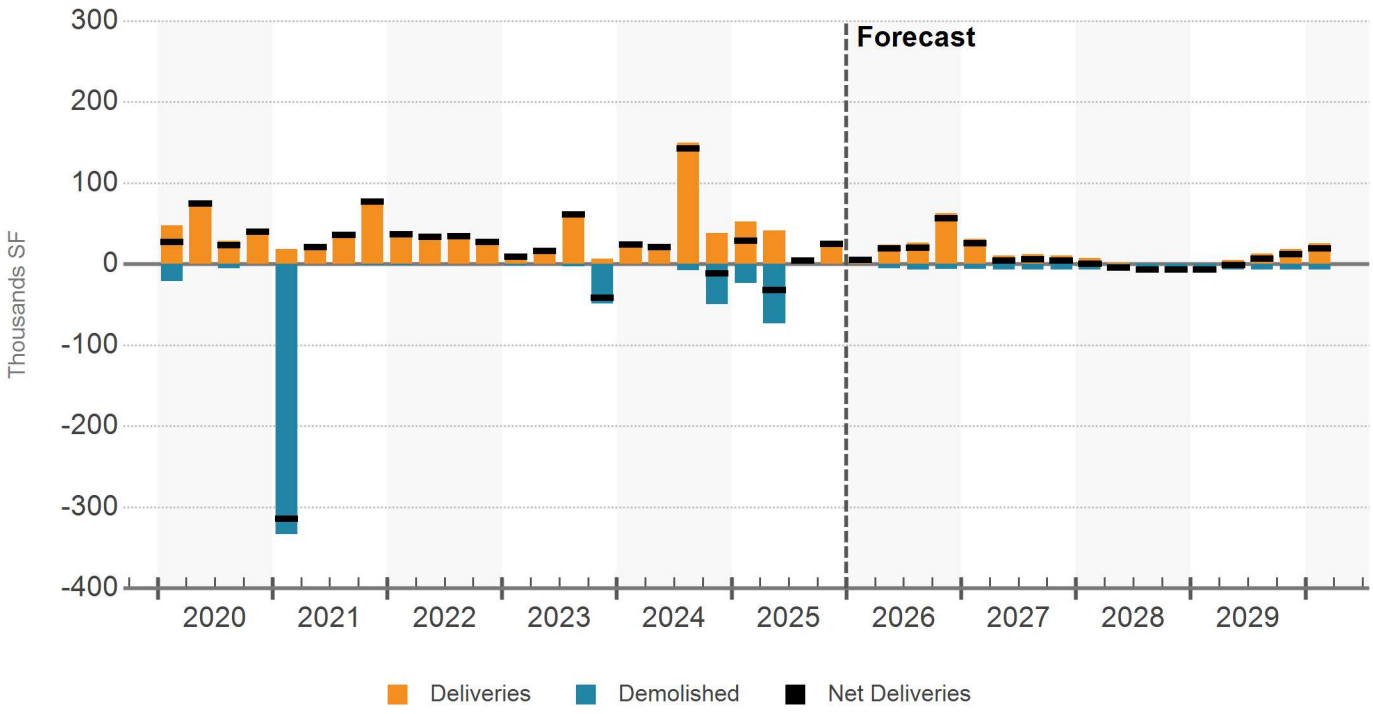

SUBMARKET CONSTRUCTION

		Under Construction Inventory					Average Building Size		
No.	Submarket	Bldgs	SF (000)	Pre-Leased SF (000)	Pre-Leased %	Rank	All Existing	Under Constr	Rank
1	South Side	3	46	23	49.4%	2	12,569	15,441	3
2	Northwest	4	40	10	25.1%	3	9,200	9,950	4
3	Portland/Ingleside	1	26	0	0%	4	8,727	26,360	1
4	Southwest	1	24	24	100%	1	11,024	24,000	2
5	CBD	0	0	0	-	-	7,248	-	-
6	Flour Bluff/Padre Island	0	0	0	-	-	6,871	-	-
7	Mid-City	0	0	0	-	-	15,063	-	-
8	Mustang Is/Port Aransas	0	0	0	-	-	5,454	-	-
9	North Beach	0	0	0	-	-	6,209	-	-
10	Port Area	0	0	0	-	-	9,886	-	-
	All Other	0	-	-	-		7,886	-	
Totals		**9**	**136**	**57**	**41.7%**		**10,038**	**15,165**	

© 2026 CoStar Group - Licensed to Williamson Central Appraisal District - 1445675

Under Construction Properties

Corpus Christi Retail

Properties	Square Feet	Percent of Inventory	Preleased
9	136,483	0.4%	41.7%

UNDER CONSTRUCTION PROPERTIES

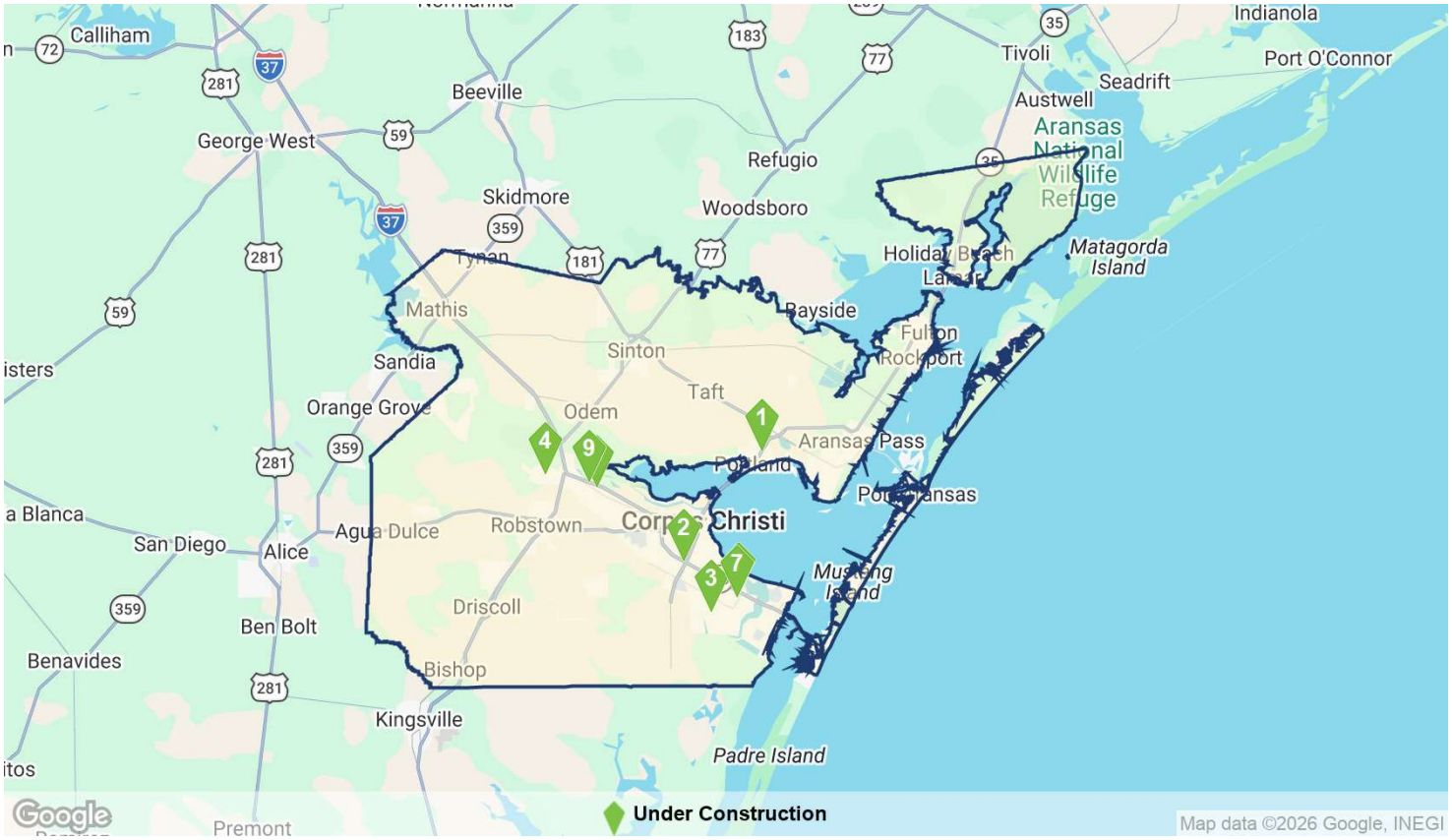

UNDER CONSTRUCTION

	Property Name/Address	Rating	Bldg SF	Stories	Start	Complete	Developer/Owner
1	Northshore Blvd	★★★☆☆	26,360	1	Mar 2025	Sep 2026	- -
2	5201 Crosstown Expy	★★★☆☆	24,000	2	Jan 2024	Apr 2026	- -
3	5902 Yorktown	★★★☆☆	22,000	1	Dec 2024	Apr 2026	- -
4	14702 Northwest Blvd	★★★★☆	14,750	1	Jan 2025	Apr 2026	- -
5	1801 Rodd Field Rd	★★★☆☆	13,756	1	Apr 2025	Apr 2026	- -
6	3117 McKinzie Rd	★★★☆☆	10,920	1	Oct 2024	Apr 2026	- -
7	TBD Holly Rd	★★★★★	10,566	1	Oct 2025	Apr 2026	- -

© 2026 CoStar Group - Licensed to Williamson Central Appraisal District - 1445675

UNDER CONSTRUCTION

	Property Name/Address	Rating	Bldg SF	Stories	Start	Complete	Developer/Owner
8	**4451 Violet Rd**	★★★☆☆	8,000	2	Jan 2025	Apr 2026	- -
9	**Building 2** 4451 Violet Rd	★★★☆☆	6,131	1	Jun 2025	Apr 2026	- -

© 2026 CoStar Group - Licensed to Williamson Central Appraisal District - 1445675

Over the past year, 145 retail properties traded in Corpus Christi, accounting for 1.5 million SF of inventory turnover. Average annual inventory turnover in Corpus Christi is 260,000 SF over the past five years and 280,000 SF over the past 10 years. Retail sales volume in Corpus Christi has totaled $22.3 million over the past year. Average annual sales volume over the past five years is $27.6 million and $39.1 million over the past 10 years.

Estimated retail market pricing in Corpus Christi is $220/SF compared to the national average of $247/SF. Average market pricing for Corpus Christi is estimated at $183/SF for neighborhood center properties, $210/SF for power center properties, $210/SF for strip center properties, $200/SF for mall properties, and $230/SF for general retail properties. The estimated market cap rate for Corpus Christi retail is 7.4% compared to the national average of 7.3%.

SALES VOLUME & MARKET SALE PRICE PER SF

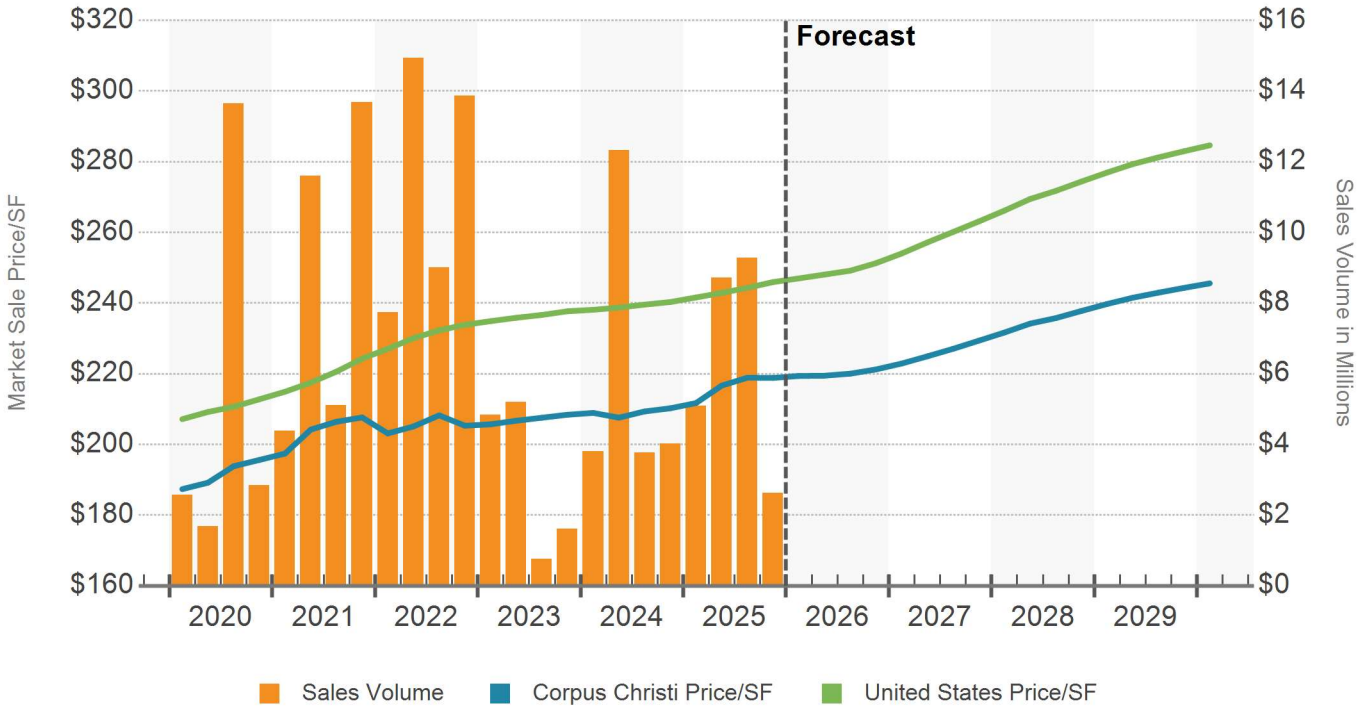

MARKET CAP RATE

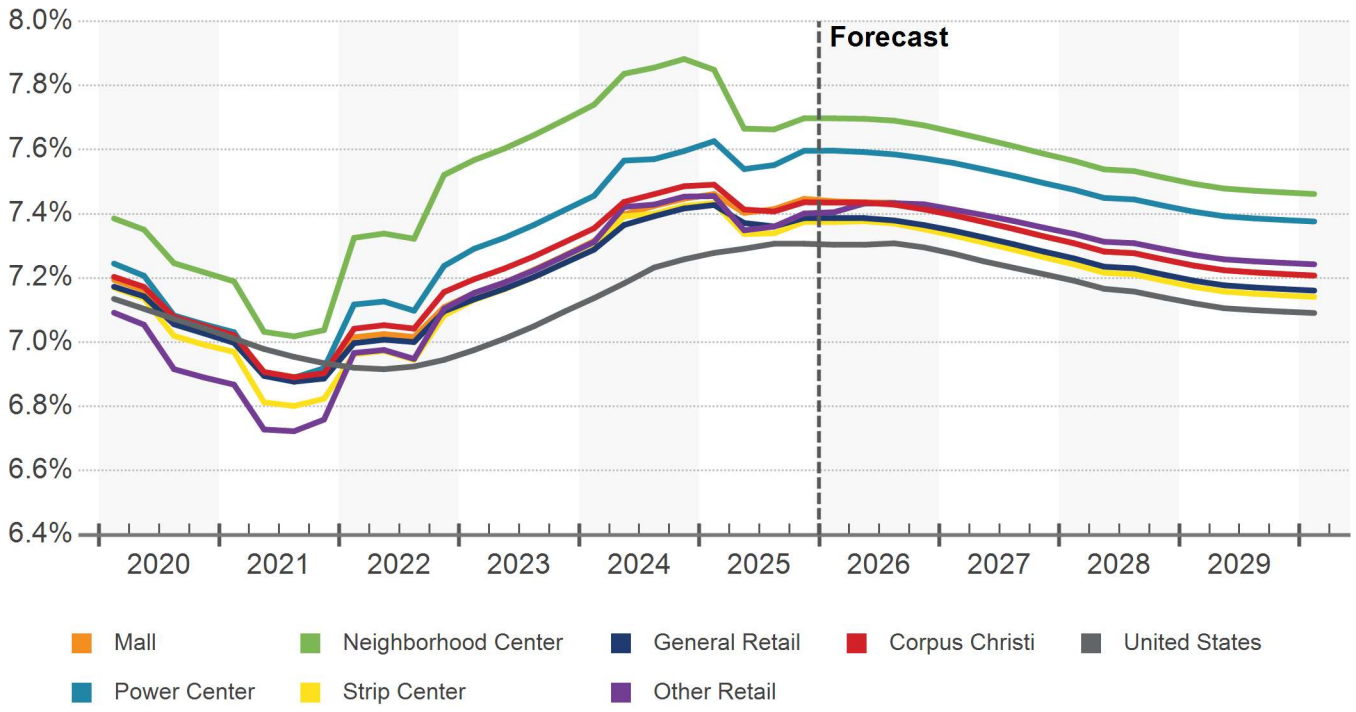

Sales Past 12 Months

Corpus Christi Retail

Sale Comparables	Avg. Cap Rate	Avg. Price/SF	Avg. Vacancy At Sale
150	6.8%	$185	5.4%

SALE COMPARABLE LOCATIONS

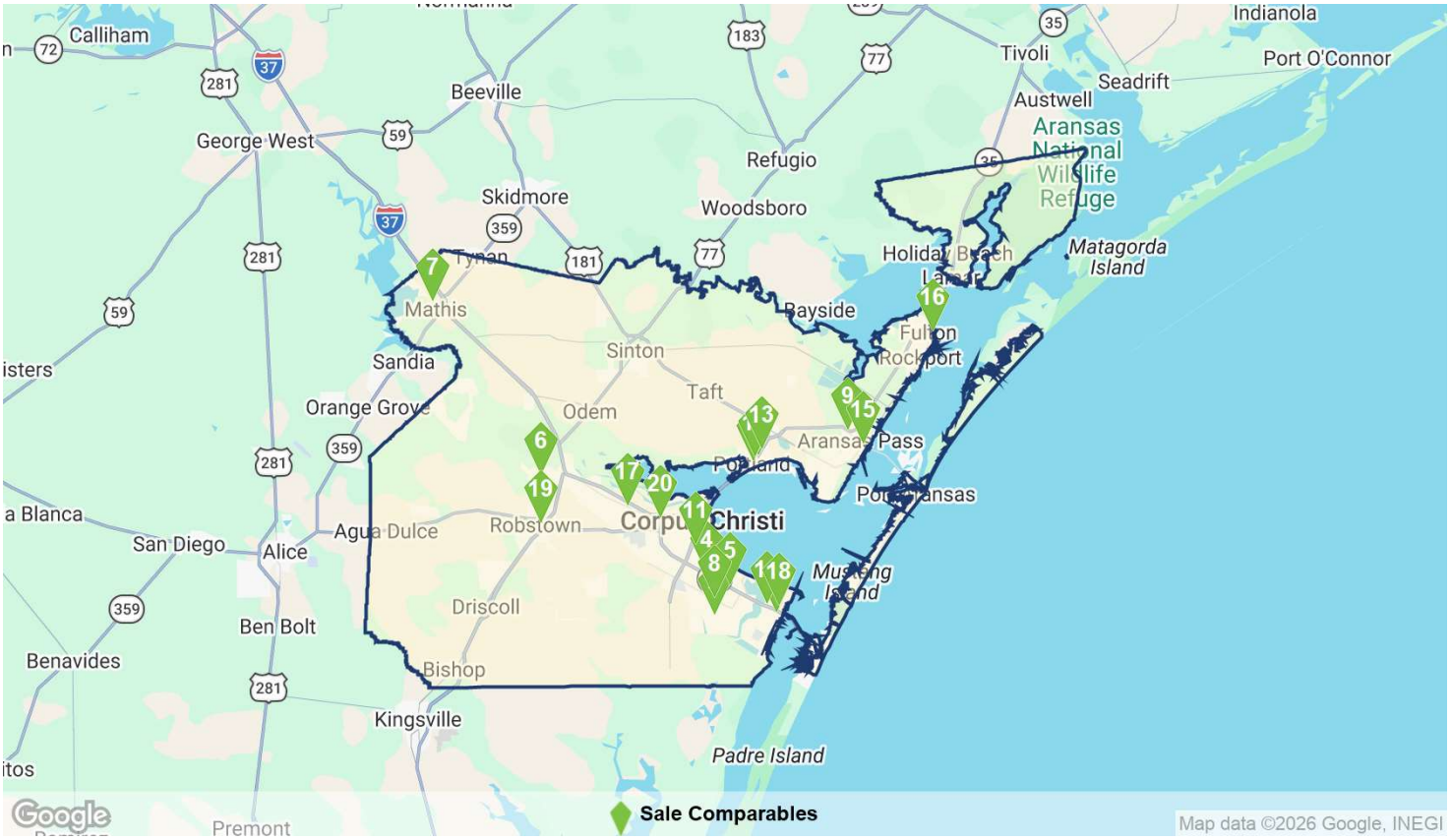

SALE COMPARABLES SUMMARY STATISTICS

Sales Attributes	Low	Average	Median	High
Sale Price	$100,000	$1,376,286	$948,500	$4,479,087
Price/SF	$18	$185	$236	$1,108
Cap Rate	5.1%	6.8%	6.4%	8.8%
Time Since Sale in Months	0.6	6.3	6.3	11.9
Property Attributes	**Low**	**Average**	**Median**	**High**
Building SF	323	9,891	3,990	240,944
Stories	1	1	1	2
Typical Floor SF	323	9,756	4,074	240,944
Vacancy Rate At Sale	0%	5.4%	0%	100%
Year Built	1924	1983	1983	2026
Star Rating	★☆☆☆☆	★★☆☆☆ 2.4	★★☆☆☆	★★★★☆

Sales Past 12 Months

RECENT SIGNIFICANT SALES

		Property				Sale			
	Property Name - Address	Rating	Yr Built	Bldg SF	Vacancy	Sale Date	Price	Price/SF	Cap Rate
1	**Olive Garden Italian Rest...** 1650 US Highway 181	★★★☆☆	2025	7,825	0%	9/9/2025	$4,479,087	$572	5.7%
2	**Colony Plaza** 6314 Yorktown Blvd	★★★☆☆	2008	17,445	0%	5/30/2025	$4,300,000	$246	5.9%
3	**Starbucks** 1337 Waldron Rd	★★★★☆	2024	2,129	0%	8/20/2025	$2,359,881	$1,108	5.9%
4	**Outback Steakhouse** 4221 S Padre Island Dr	★★★☆☆	1995	6,717	0%	7/1/2025	$1,730,956	$258	5.1%
5	**6226 S Padre Island Dr**	★★★☆☆	2003	7,073	0%	10/2/2025	$1,600,000	$226	8.5%
6	**15106 FM 624**	-	-	1,920	0%	5/15/2025	$1,575,000	$820	-
7	**Dollar General** 9620 FM 3377 Rd	★★☆☆☆	2023	10,566	0%	3/25/2025	$1,509,478	$143	6.9%
8	**KFC** 5633 Saratoga Blvd	★★★☆☆	1998	4,148	0%	4/30/2025	$1,341,941	$324	-
9	**2220 W Wheeler Ave**	★★★☆☆	1972	8,820	0%	6/9/2025	$1,000,000	$113	-
10	**916 Market St**	-	-	2,140	0%	2/11/2026	$897,000	$419	-
11	**3211 Ayers St**	★★☆☆☆	1952	44,128	0%	4/30/2025	$799,900	$18	-
12	**Starbuck's** 1304 Wildcat Dr	★★☆☆☆	1985	1,650	0%	12/31/2025	$793,688	$481	6.5%
13	**Long John Silver's/KFC** 220 Us Hwy 181	★★☆☆☆	2005	2,440	0%	4/30/2025	$758,059	$311	-
14	**Sterling Center** 9512 S Padre Island Dr	★★☆☆☆	2016	4,000	0%	7/24/2025	$598,500	$150	-
15	**Coastal Choice Media** 361 S Commercial St	★★☆☆☆	1960	6,000	0%	4/18/2025	$509,250	$85	-
16	**116 Fulton Beach Rd**	★★★☆☆	1946	3,518	0%	11/20/2025	$230,416	$65	-
17	**8101 Leopard St**	★★★☆☆	1995	1,440	0%	3/4/2025	$190,000	$132	-
18	**602 Nas Dr**	★★★☆☆	1994	1,938	0%	8/12/2025	$100,000	$52	-
19	**210 N Upshaw Blvd**	★★☆☆☆	2011	6,000	0%	5/30/2025	-	-	-
20	**5635 Leopard St**	★☆☆☆☆	1968	7,000	0%	6/1/2025	-	-	-

© 2026 CoStar Group - Licensed to Williamson Central Appraisal District - 1445675

CORPUS CHRISTI EMPLOYMENT BY INDUSTRY IN THOUSANDS

	CURRENT JOBS		CURRENT GROWTH		10 YR HISTORICAL		5 YR FORECAST	
Industry	**Jobs**	**LQ**	**Market**	**US**	**Market**	**US**	**Market**	**US**
Manufacturing	9	0.6	-0.59%	-0.28%	-0.27%	0.31%	-0.24%	0.21%
Trade, Transportation and Utilities	34	0.9	0.42%	-0.02%	-0.07%	0.75%	-0.30%	0.22%
Retail Trade	22	1.1	0.47%	0.30%	-0.16%	-0.05%	-0.29%	0.15%
Financial Activities	10	0.8	0.26%	-0.01%	2.00%	1.17%	0.39%	0.24%
Government	35	1.2	0.62%	-0.49%	0.34%	0.59%	0.11%	0.32%
Natural Resources, Mining and Construction	25	2.2	0.47%	-0.13%	0.21%	1.92%	0.34%	0.55%
Education and Health Services	34	1.0	2.35%	2.48%	1.29%	2.15%	0.36%	0.41%
Professional and Business Services	19	0.7	-1.18%	-0.35%	1.20%	1.17%	-0.12%	0.49%
Information	1	0.4	-1.44%	0.03%	-3.05%	0.59%	-0.57%	0.19%
Leisure and Hospitality	27	1.3	0.33%	0.78%	0.40%	1.01%	0.44%	0.84%
Other Services	6	0.8	-0.16%	0.78%	-1.08%	0.69%	0.12%	0.18%
Total Employment	**201**	**1.0**	**0.53%**	**0.38%**	**0.47%**	**1.09%**	**0.13%**	**0.39%**

Source: Oxford Economics
LQ = Location Quotient

JOB GROWTH (YOY)

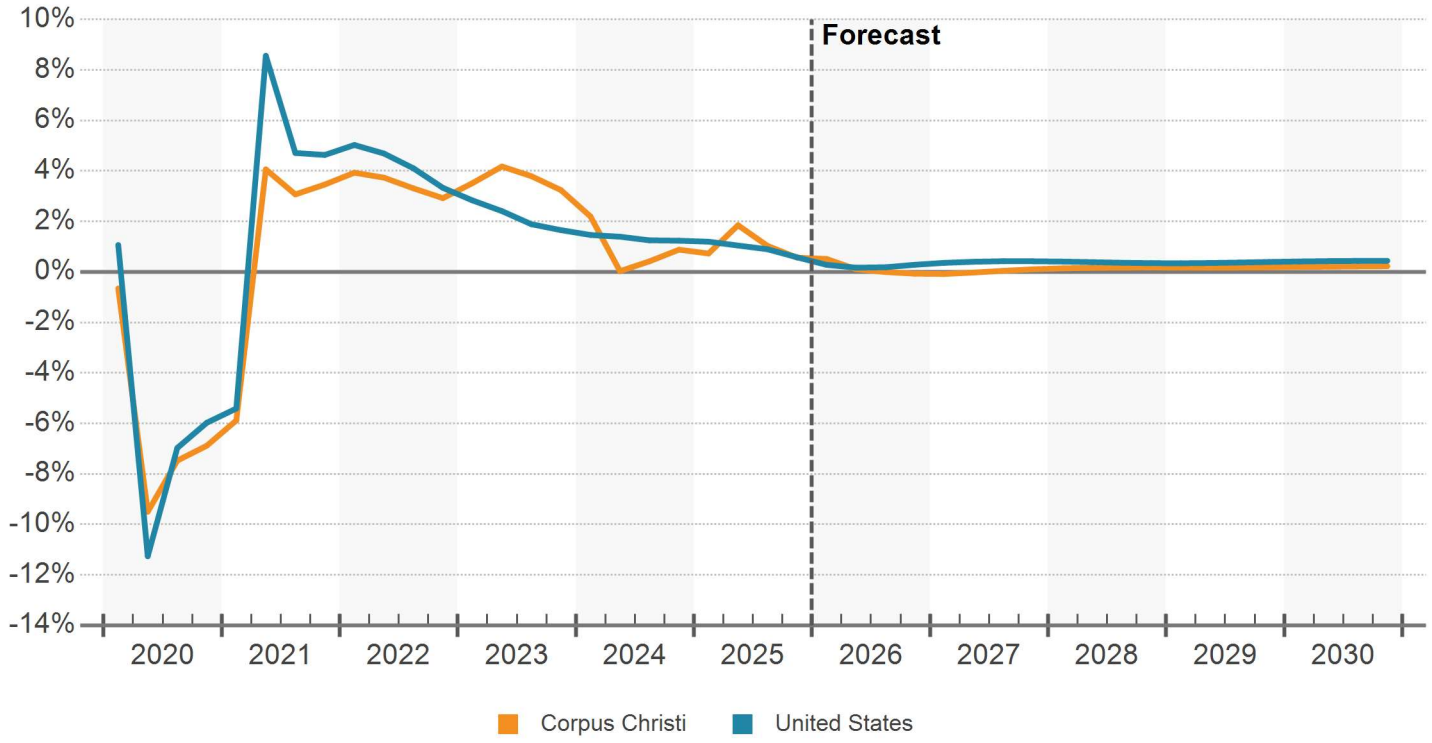

Source: Oxford Economics

UNEMPLOYMENT RATE (%)

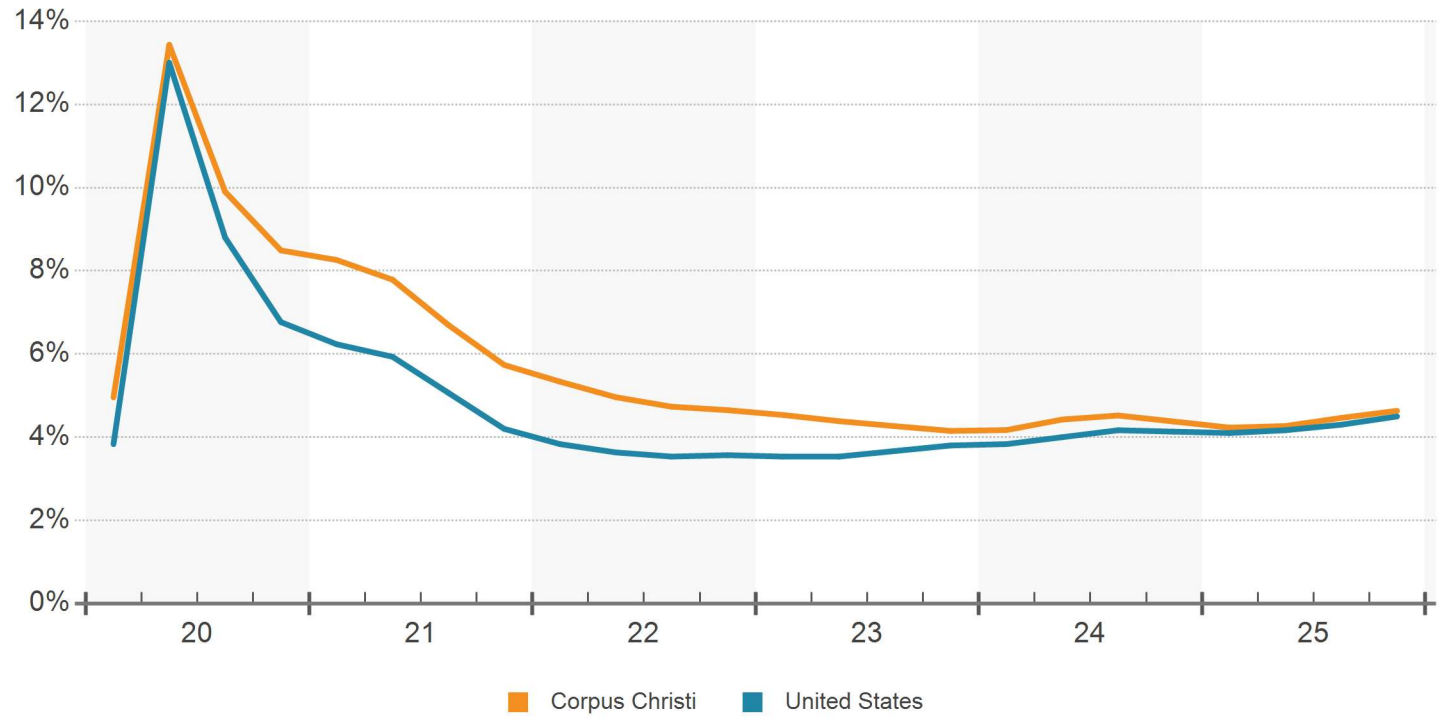

NET EMPLOYMENT CHANGE (YOY)

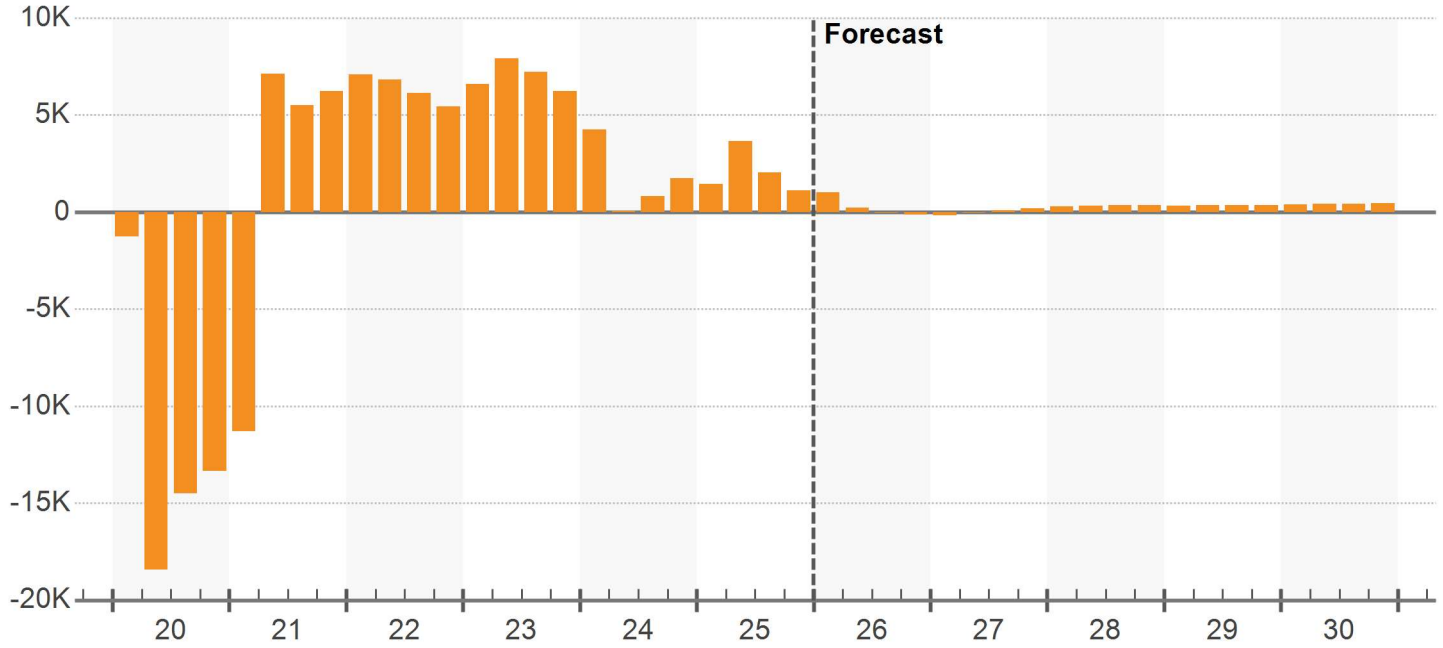

MEDIAN HOUSEHOLD INCOME

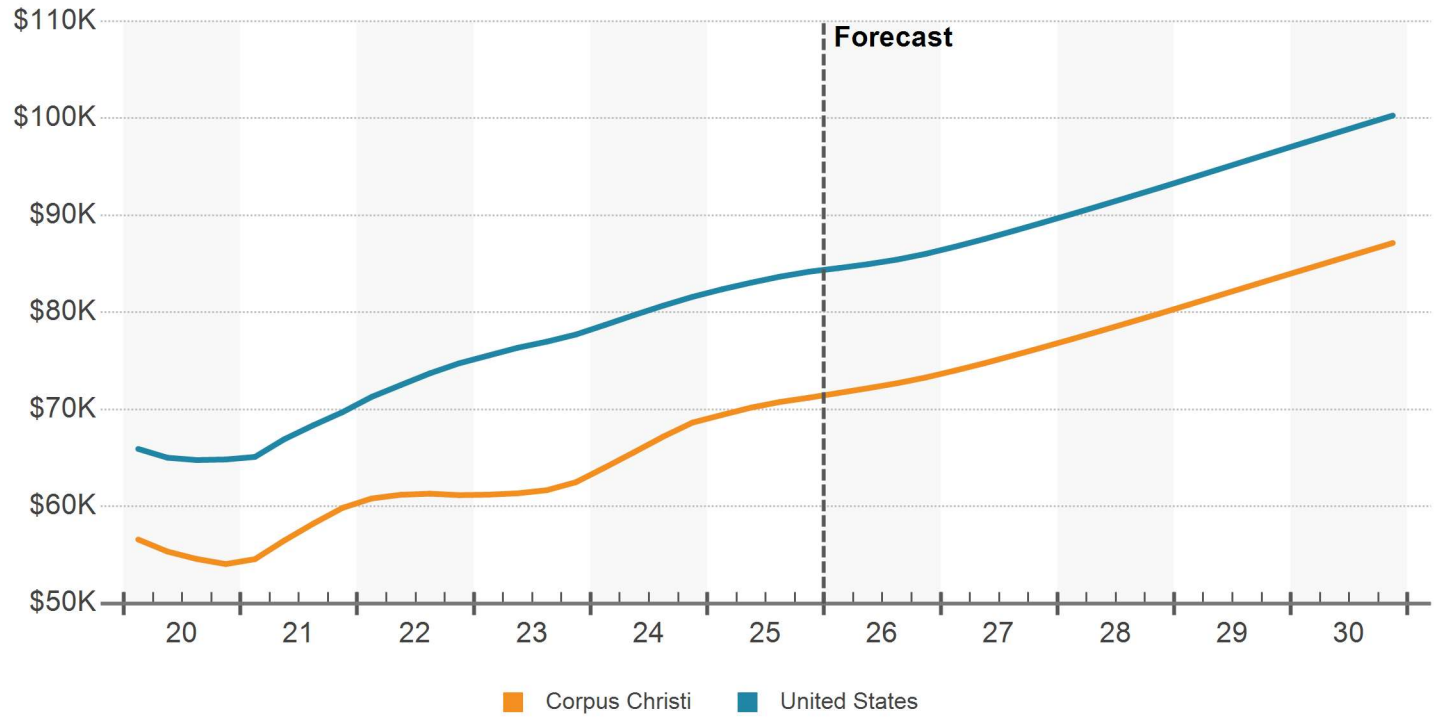

POPULATION GROWTH (YOY %)

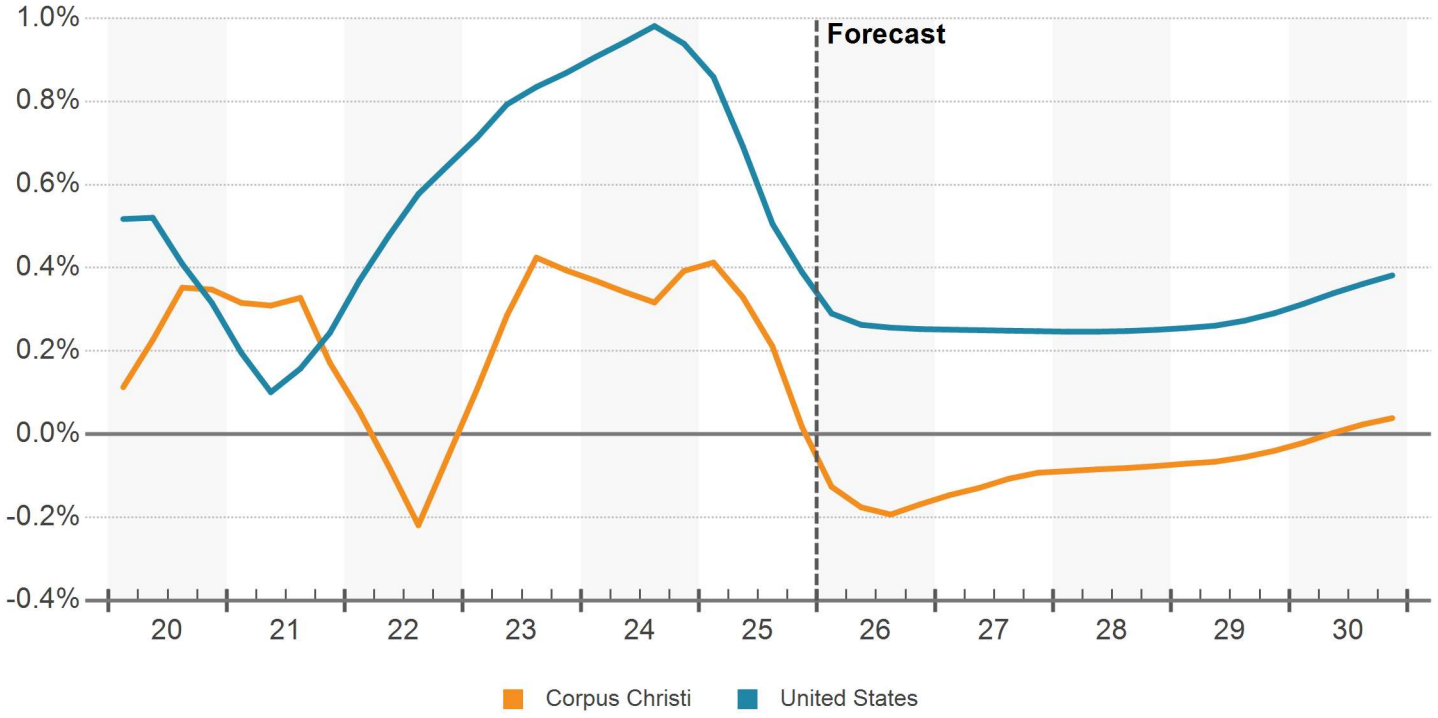

© 2026 CoStar Group - Licensed to Williamson Central Appraisal District - 1445675

NET POPULATION CHANGE (YOY)

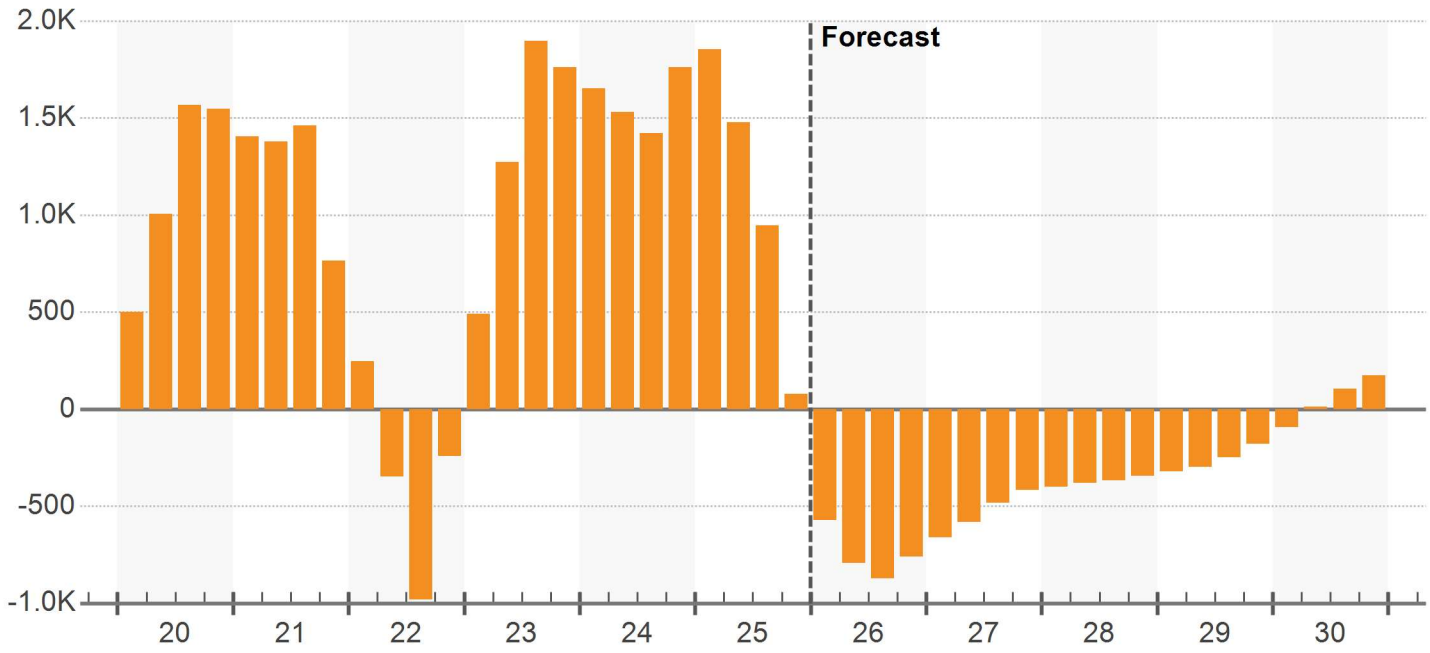

DEMOGRAPHIC TRENDS

	Current Level		12 Month Change		10 Year Change		5 Year Forecast	
Demographic Category	**Metro**	**US**	**Metro**	**US**	**Metro**	**US**	**Metro**	**US**
Population	450,722	342,200,344	-0.1%	0.3%	0%	0.6%	-0.1%	0.3%
Households	174,137	134,129,234	0.3%	0.7%	0.6%	1.0%	0.2%	0.6%
Median Household Income	$71,535	$84,442	3.4%	2.8%	3.5%	4.2%	4.2%	3.6%
Labor Force	213,067	170,954,672	1.0%	0.6%	0.4%	0.8%	0.2%	0.2%
Unemployment	4.6%	4.5%	0.4%	0.4%	-0.1%	0%	-	-

Source: Oxford Economics

POPULATION GROWTH

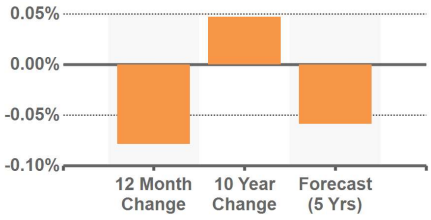

LABOR FORCE GROWTH

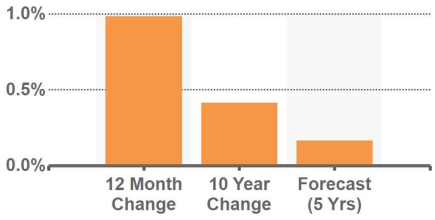

INCOME GROWTH

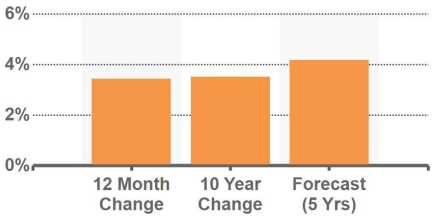

Source: Oxford Economics

© 2026 CoStar Group - Licensed to Williamson Central Appraisal District - 1445675

CORPUS CHRISTI SUBMARKETS

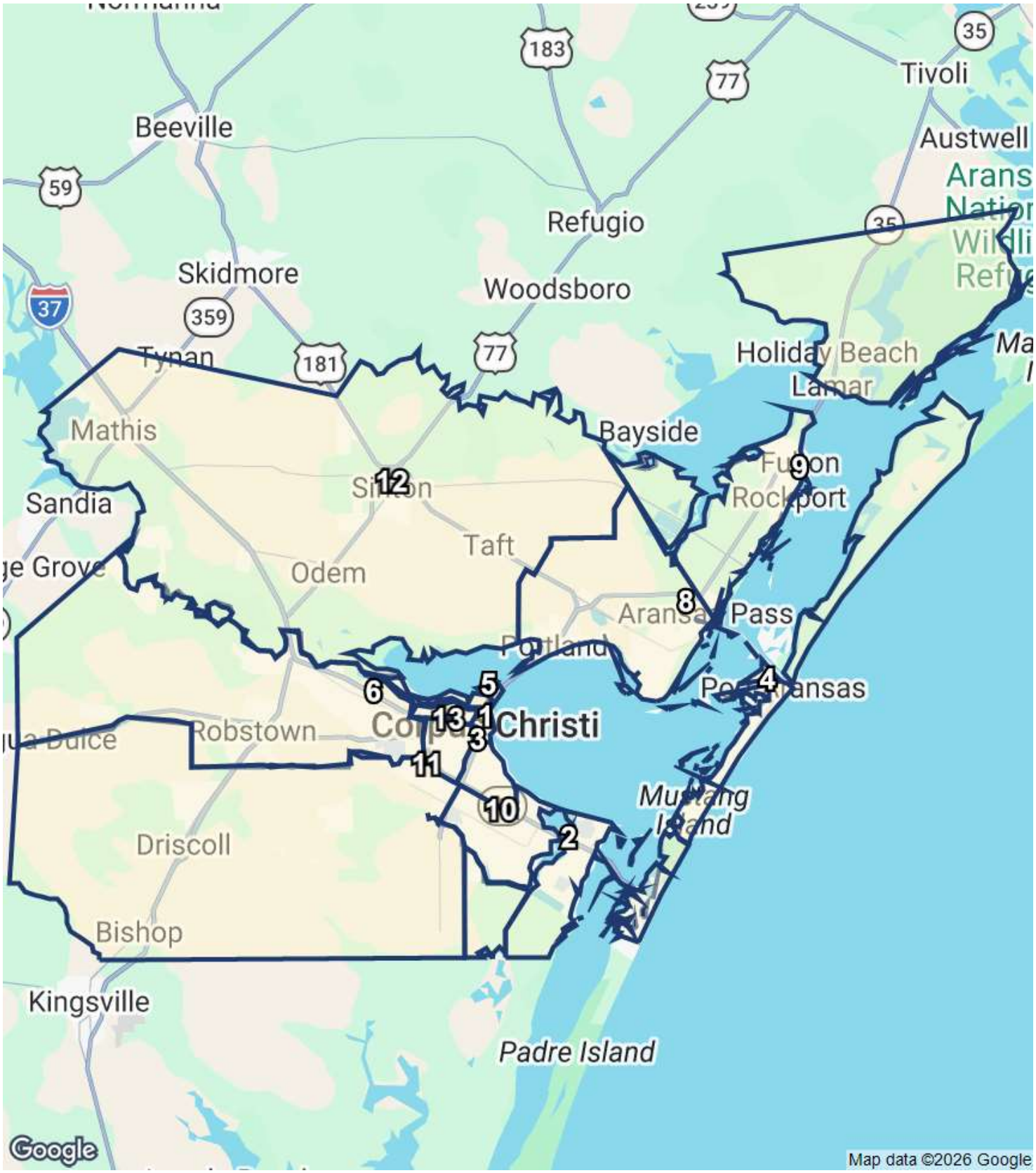

SUBMARKET INVENTORY

		Inventory				12 Month Deliveries				Under Construction			
No.	Submarket	Bldgs	SF (000)	% Market	Rank	Bldgs	SF (000)	Percent	Rank	Bldgs	SF (000)	Percent	Rank
1	CBD	188	1,363	4.5%	8	0	0	0%	-	0	0	0%	-
2	Flour Bluff/Padre Island	259	1,780	5.9%	7	0	0	0%	-	0	0	0%	-
3	Mid-City	502	7,562	24.9%	2	5	52	0.7%	1	0	0	0%	-
4	Mustang Is/Port Aransas	159	867	2.9%	9	0	0	0%	-	0	0	0%	-
5	North Beach	25	155	0.5%	12	0	0	0%	-	0	0	0%	-
6	Northwest	303	2,788	9.2%	3	1	13	0.5%	2	4	40	1.4%	2
7	Port Area	8	79	0.3%	13	0	0	0%	-	0	0	0%	-
8	Portland/Ingleside	303	2,644	8.7%	4	4	10	0.4%	4	1	26	1.0%	3
9	Rockport/N Aransas	234	1,865	6.1%	6	2	10	0.5%	3	0	0	0%	-
10	South Side	618	7,768	25.6%	1	1	7	0.1%	5	3	46	0.6%	1
11	Southwest	48	529	1.7%	11	1	2	0.3%	6	1	24	4.5%	4
12	West San Patricio Cnty	147	834	2.7%	10	0	0	0%	-	0	0	0%	-
13	West Side	229	2,111	7.0%	5	0	0	0%	-	0	0	0%	-

SUBMARKET RENT

		Market Asking Rent		12 Month Market Asking Rent		QTD Annualized Market Asking Rent	
No.	Submarket	Per SF	Rank	Growth	Rank	Growth	Rank
1	CBD	$12.55	11	0.1%	10	-0.8%	6
2	Flour Bluff/Padre Island	$16.32	4	0.5%	9	-0.8%	5
3	Mid-City	$17.22	3	1.2%	2	-0.2%	2
4	Mustang Is/Port Aransas	$15.86	7	0.1%	11	-1.2%	10
5	North Beach	$14.65	8	-0.3%	13	-1.8%	13
6	Northwest	$14.07	10	0.7%	7	-1.1%	9
7	Port Area	$14.49	9	1.2%	3	0.8%	1
8	Portland/Ingleside	$18.52	2	0.9%	4	-0.7%	4
9	Rockport/N Aransas	$16.18	5	0.6%	8	-1.4%	12
10	South Side	$22.41	1	0.7%	6	-1.4%	11
11	Southwest	$16.07	6	0.7%	5	-0.5%	3
12	West San Patricio Cnty	$11.44	12	0.1%	12	-1.1%	8
13	West Side	$11.37	13	1.7%	1	-0.9%	7

© 2026 CoStar Group - Licensed to Williamson Central Appraisal District - 1445675

SUBMARKET VACANCY & NET ABSORPTION

		Vacancy			12 Month Absorption			
No.	Submarket	SF	Percent	Rank	SF	% of Inv	Rank	Construc. Ratio
1	CBD	70,875	5.2%	8	314	0%	8	-
2	Flour Bluff/Padre Island	28,473	1.6%	2	26,214	1.5%	2	-
3	Mid-City	459,575	6.1%	9	84,140	1.1%	1	0.6
4	Mustang Is/Port Aransas	-	-	-	0	0%	-	-
5	North Beach	-	-	-	0	0%	-	-
6	Northwest	73,711	2.6%	4	17,335	0.6%	3	-
7	Port Area	-	-	-	0	0%	-	-
8	Portland/Ingleside	69,691	2.6%	3	12,543	0.5%	4	0.6
9	Rockport/N Aransas	21,557	1.2%	1	7,804	0.4%	5	1.3
10	South Side	314,106	4.0%	7	(154,886)	-2.0%	13	-
11	Southwest	-	-	-	3,625	0.7%	6	-
12	West San Patricio Cnty	27,562	3.3%	6	1,428	0.2%	7	-
13	West Side	63,497	3.0%	5	(17,980)	-0.9%	12	-

© 2026 CoStar Group - Licensed to Williamson Central Appraisal District - 1445675

Supply & Demand Trends

OVERALL SUPPLY & DEMAND

	Inventory			Net Absorption		
Year	SF	SF Growth	% Growth	SF	% of Inv	Construction Ratio
2030	30,598,031	111,244	0.4%	57,899	0.2%	1.9
2029	30,486,787	10,381	0%	(40,981)	-0.1%	-
2028	30,476,406	(16,747)	-0.1%	(34,956)	-0.1%	-
2027	30,493,153	40,426	0.1%	54,302	0.2%	0.7
2026	30,452,727	100,556	0.3%	(20,549)	-0.1%	-
YTD	30,357,167	4,996	0%	(40,480)	-0.1%	-
2025	30,352,171	26,716	0.1%	(24,977)	-0.1%	-
2024	30,325,455	175,225	0.6%	84,513	0.3%	2.1
2023	30,150,230	44,662	0.1%	28,691	0.1%	1.6
2022	30,105,568	131,417	0.4%	149,134	0.5%	0.9
2021	29,974,151	(180,196)	-0.6%	350,028	1.2%	-
2020	30,154,347	165,326	0.6%	(494,975)	-1.6%	-
2019	29,989,021	164,848	0.6%	192,949	0.6%	0.9
2018	29,824,173	117,638	0.4%	254,772	0.9%	0.5
2017	29,706,535	448,138	1.5%	372,678	1.3%	1.2
2016	29,258,397	185,916	0.6%	352,509	1.2%	0.5
2015	29,072,481	142,472	0.5%	563,447	1.9%	0.3
2014	28,930,009	279,259	1.0%	348,803	1.2%	0.8

MALLS SUPPLY & DEMAND

	Inventory			Net Absorption		
Year	SF	SF Growth	% Growth	SF	% of Inv	Construction Ratio
2030	2,528,588	(2,579)	-0.1%	(6,022)	-0.2%	-
2029	2,531,167	(2,587)	-0.1%	(8,326)	-0.3%	-
2028	2,533,754	(2,587)	-0.1%	(8,226)	-0.3%	-
2027	2,536,341	(2,592)	-0.1%	(5,533)	-0.2%	-
2026	2,538,933	(1,935)	-0.1%	(7,859)	-0.3%	-
YTD	2,540,868	0	0%	7,696	0.3%	0
2025	2,540,868	0	0%	(3,407)	-0.1%	-
2024	2,540,868	0	0%	(15,063)	-0.6%	-
2023	2,540,868	0	0%	-	-	-
2022	2,540,868	0	0%	(10,865)	-0.4%	-
2021	2,540,868	0	0%	17,000	0.7%	0
2020	2,540,868	0	0%	(10,000)	-0.4%	-
2019	2,540,868	0	0%	(7,000)	-0.3%	-
2018	2,540,868	0	0%	2,274	0.1%	0
2017	2,540,868	2,760	0.1%	64,366	2.5%	0
2016	2,538,108	0	0%	477	0%	0
2015	2,538,108	0	0%	7,238	0.3%	0
2014	2,538,108	0	0%	(3,645)	-0.1%	-

© 2026 CoStar Group - Licensed to Williamson Central Appraisal District - 1445675

POWER CENTER SUPPLY & DEMAND

	Inventory			Net Absorption		
Year	SF	SF Growth	% Growth	SF	% of Inv	Construction Ratio
2030	347,905	(91)	0%	(650)	-0.2%	-
2029	347,996	(88)	0%	(1,000)	-0.3%	-
2028	348,084	(91)	0%	(1,018)	-0.3%	-
2027	348,175	(90)	0%	(790)	-0.2%	-
2026	348,265	(63)	0%	(1,862)	-0.5%	-
YTD	348,328	0	0%	-	-	-
2025	348,328	0	0%	-	-	-
2024	348,328	0	0%	-	-	-
2023	348,328	0	0%	-	-	-
2022	348,328	0	0%	-	-	-
2021	348,328	0	0%	-	-	-
2020	348,328	0	0%	-	-	-
2019	348,328	0	0%	-	-	-
2018	348,328	0	0%	-	-	-
2017	348,328	0	0%	-	-	-
2016	348,328	0	0%	-	-	-
2015	348,328	0	0%	-	-	-
2014	348,328	0	0%	-	-	-

NEIGHBORHOOD CENTER SUPPLY & DEMAND

	Inventory			Net Absorption		
Year	SF	SF Growth	% Growth	SF	% of Inv	Construction Ratio
2030	4,268,207	69,837	1.7%	46,334	1.1%	1.5
2029	4,198,370	15,154	0.4%	1,843	0%	8.2
2028	4,183,216	650	0%	(621)	0%	-
2027	4,182,566	13,146	0.3%	9,990	0.2%	1.3
2026	4,169,420	(1,759)	0%	26,685	0.6%	-
YTD	4,171,179	0	0%	(32,099)	-0.8%	-
2025	4,171,179	0	0%	(56,006)	-1.3%	-
2024	4,171,179	143,908	3.6%	83,269	2.0%	1.7
2023	4,027,271	0	0%	59,950	1.5%	0
2022	4,027,271	0	0%	16,626	0.4%	0
2021	4,027,271	0	0%	34,252	0.9%	0
2020	4,027,271	0	0%	(174,197)	-4.3%	-
2019	4,027,271	0	0%	(52,088)	-1.3%	-
2018	4,027,271	0	0%	42,162	1.0%	0
2017	4,027,271	0	0%	26,873	0.7%	0
2016	4,027,271	11,100	0.3%	37,042	0.9%	0.3
2015	4,016,171	0	0%	71,767	1.8%	0
2014	4,016,171	5,362	0.1%	(373)	0%	-

© 2026 CoStar Group - Licensed to Williamson Central Appraisal District - 1445675

Supply & Demand Trends

Corpus Christi Retail

STRIP CENTER SUPPLY & DEMAND

	Inventory			Net Absorption		
Year	SF	SF Growth	% Growth	SF	% of Inv	Construction Ratio
2030	2,225,590	(526)	0%	(1,216)	-0.1%	-
2029	2,226,116	(529)	0%	(3,845)	-0.2%	-
2028	2,226,645	(522)	0%	(4,304)	-0.2%	-
2027	2,227,167	(533)	0%	(1,520)	-0.1%	-
2026	2,227,700	(314)	0%	(20,123)	-0.9%	-
YTD	2,228,014	0	0%	(8,850)	-0.4%	-
2025	2,228,014	0	0%	(21,666)	-1.0%	-
2024	2,228,014	0	0%	15,608	0.7%	0
2023	2,228,014	15,600	0.7%	9,044	0.4%	1.7
2022	2,212,414	0	0%	(1,241)	-0.1%	-
2021	2,212,414	0	0%	39,614	1.8%	0
2020	2,212,414	11,789	0.5%	(73,119)	-3.3%	-
2019	2,200,625	0	0%	38,271	1.7%	0
2018	2,200,625	0	0%	3,287	0.1%	0
2017	2,200,625	6,777	0.3%	(15,563)	-0.7%	-
2016	2,193,848	0	0%	5,295	0.2%	0
2015	2,193,848	0	0%	47,959	2.2%	0
2014	2,193,848	3,061	0.1%	26,071	1.2%	0.1

GENERAL RETAIL SUPPLY & DEMAND

	Inventory			Net Absorption		
Year	SF	SF Growth	% Growth	SF	% of Inv	Construction Ratio
2030	20,936,325	45,153	0.2%	19,991	0.1%	2.3
2029	20,891,172	(1,028)	0%	(28,660)	-0.1%	-
2028	20,892,200	(13,661)	-0.1%	(19,654)	-0.1%	-
2027	20,905,861	31,033	0.1%	52,822	0.3%	0.6
2026	20,874,828	105,024	0.5%	(15,692)	-0.1%	-
YTD	20,774,800	4,996	0%	(7,227)	0%	-
2025	20,769,804	26,716	0.1%	60,152	0.3%	0.4
2024	20,743,088	31,317	0.2%	449	0%	69.7
2023	20,711,771	29,062	0.1%	(36,153)	-0.2%	-
2022	20,682,709	131,417	0.6%	143,214	0.7%	0.9
2021	20,551,292	152,788	0.7%	260,562	1.3%	0.6
2020	20,398,504	153,537	0.8%	95,325	0.5%	1.6
2019	20,244,967	164,848	0.8%	214,866	1.1%	0.8
2018	20,080,119	117,638	0.6%	208,449	1.0%	0.6
2017	19,962,481	105,617	0.5%	(40,182)	-0.2%	-
2016	19,856,864	174,816	0.9%	308,295	1.6%	0.6
2015	19,682,048	142,472	0.7%	442,083	2.2%	0.3
2014	19,539,576	270,836	1.4%	326,750	1.7%	0.8

© 2026 CoStar Group - Licensed to Williamson Central Appraisal District - 1445675

OTHER SUPPLY & DEMAND

	Inventory			Net Absorption		
Year	SF	SF Growth	% Growth	SF	% of Inv	Construction Ratio
2030	291,416	(550)	-0.2%	(538)	-0.2%	-
2029	291,966	(541)	-0.2%	(993)	-0.3%	-
2028	292,507	(536)	-0.2%	(1,133)	-0.4%	-
2027	293,043	(538)	-0.2%	(667)	-0.2%	-
2026	293,581	(397)	-0.1%	(1,698)	-0.6%	-
YTD	293,978	0	0%	-	-	-
2025	293,978	0	0%	(4,050)	-1.4%	-
2024	293,978	0	0%	250	0.1%	0
2023	293,978	0	0%	(4,150)	-1.4%	-
2022	293,978	0	0%	1,400	0.5%	0
2021	293,978	(332,984)	-53.1%	(1,400)	-0.5%	-
2020	626,962	0	0%	(332,984)	-53.1%	-
2019	626,962	0	0%	(1,100)	-0.2%	-
2018	626,962	0	0%	(1,400)	-0.2%	-
2017	626,962	332,984	113.3%	337,184	53.8%	1.0
2016	293,978	0	0%	1,400	0.5%	0
2015	293,978	0	0%	(5,600)	-1.9%	-
2014	293,978	0	0%	-	-	-

© 2026 CoStar Group - Licensed to Williamson Central Appraisal District - 1445675

OVERALL RENT & VACANCY

	Market Asking Rent				Vacancy		
Year	Per SF	Index	% Growth	Vs Hist Peak	SF	Percent	Ppts Chg
2030	$19.19	147	1.8%	10.1%	1,320,492	4.3%	0.2%
2029	$18.85	145	2.0%	8.1%	1,269,267	4.2%	0.2%
2028	$18.47	142	2.6%	6.0%	1,214,939	4.0%	0.1%
2027	$18.01	138	2.6%	3.3%	1,193,645	3.9%	-0.1%
2026	$17.55	135	0.7%	0.7%	1,207,298	4.0%	0.4%
YTD	$17.40	134	0.8%	-0.2%	1,129,047	3.7%	0.1%
2025	$17.43	134	1.3%	0%	1,083,571	3.6%	0.1%
2024	$17.21	132	3.0%	-1.3%	1,055,134	3.5%	0.3%
2023	$16.71	128	3.9%	-4.1%	964,422	3.2%	0%
2022	$16.09	123	4.4%	-7.7%	948,451	3.2%	-0.1%
2021	$15.41	118	4.1%	-11.6%	966,168	3.2%	-1.3%
2020	$14.80	114	2.3%	-15.1%	1,360,134	4.5%	1.7%
2019	$14.46	111	2.5%	-17.0%	836,091	2.8%	-0.1%
2018	$14.11	108	1.8%	-19.1%	864,192	2.9%	-0.5%
2017	$13.86	106	2.1%	-20.5%	1,007,343	3.4%	0.2%
2016	$13.57	104	2.4%	-22.1%	940,535	3.2%	-0.6%
2015	$13.26	102	2.4%	-23.9%	1,119,978	3.9%	-1.5%
2014	$12.95	99	1.9%	-25.7%	1,554,155	5.4%	-0.3%

MALLS RENT & VACANCY

	Market Asking Rent				Vacancy		
Year	Per SF	Index	% Growth	Vs Hist Peak	SF	Percent	Ppts Chg
2030	$24.90	186	2.7%	17.2%	53,255	2.1%	0.1%
2029	$24.25	181	3.0%	14.1%	49,767	2.0%	0.2%
2028	$23.54	176	3.8%	10.8%	43,974	1.7%	0.2%
2027	$22.67	169	4.2%	6.7%	38,280	1.5%	0.1%
2026	$21.77	162	2.5%	2.5%	35,289	1.4%	0.2%
YTD	$21.26	159	2.0%	0.1%	21,639	0.9%	-0.3%
2025	$21.24	159	2.8%	0%	29,335	1.2%	0.1%
2024	$20.67	154	4.0%	-2.7%	25,928	1.0%	0.6%
2023	$19.87	148	4.6%	-6.5%	10,865	0.4%	0%
2022	$19	142	5.4%	-10.6%	10,865	0.4%	0.4%
2021	$18.03	135	4.5%	-15.1%	0	0%	-0.7%
2020	$17.26	129	2.2%	-18.8%	17,000	0.7%	0.4%
2019	$16.89	126	3.3%	-20.5%	7,000	0.3%	0.3%
2018	$16.34	122	4.4%	-23.1%	0	0%	-0.1%
2017	$15.66	117	4.8%	-26.3%	2,274	0.1%	-2.5%
2016	$14.94	112	3.4%	-29.7%	66,640	2.6%	0%
2015	$14.45	108	3.5%	-32.0%	67,117	2.6%	-0.3%
2014	$13.96	104	3.0%	-34.3%	74,355	2.9%	0.1%

© 2026 CoStar Group - Licensed to Williamson Central Appraisal District - 1445675

POWER CENTER RENT & VACANCY

	Market Asking Rent				Vacancy		
Year	Per SF	Index	% Growth	Vs Hist Peak	SF	Percent	Ppts Chg
2030	$19.88	157	1.9%	11.9%	4,978	1.4%	0.2%
2029	$19.50	154	2.2%	9.8%	4,400	1.3%	0.3%
2028	$19.08	151	2.8%	7.4%	3,472	1.0%	0.3%
2027	$18.56	146	3.1%	4.5%	2,526	0.7%	0.2%
2026	$18.01	142	1.3%	1.3%	1,808	0.5%	0.5%
YTD	$17.70	140	1.4%	-0.4%	0	0%	0%
2025	$17.77	140	2.3%	0%	0	0%	0%
2024	$17.38	137	3.1%	-2.2%	0	0%	0%
2023	$16.85	133	5.3%	-5.2%	0	0%	0%
2022	$16	126	4.3%	-9.9%	0	0%	0%
2021	$15.34	121	3.7%	-13.6%	0	0%	0%
2020	$14.79	117	2.5%	-16.7%	0	0%	0%
2019	$14.44	114	2.6%	-18.7%	0	0%	0%
2018	$14.08	111	2.0%	-20.8%	0	0%	0%
2017	$13.80	109	2.3%	-22.3%	0	0%	0%
2016	$13.48	106	2.9%	-24.1%	0	0%	0%
2015	$13.10	103	3.9%	-26.3%	0	0%	0%
2014	$12.62	100	2.0%	-29.0%	0	0%	0%

NEIGHBORHOOD CENTER RENT & VACANCY

	Market Asking Rent				Vacancy		
Year	Per SF	Index	% Growth	Vs Hist Peak	SF	Percent	Ppts Chg
2030	$21.43	154	1.9%	11.4%	390,753	9.2%	0.4%
2029	$21.03	151	2.2%	9.3%	367,454	8.8%	0.3%
2028	$20.57	148	2.8%	6.9%	354,271	8.5%	0%
2027	$20.01	144	2.9%	4.0%	353,171	8.4%	0%
2026	$19.44	140	1.1%	1.1%	350,142	8.4%	-0.7%
YTD	$19.22	138	1.7%	-0.1%	410,612	9.8%	0.8%
2025	$19.24	138	2.0%	0%	378,513	9.1%	1.3%
2024	$18.87	136	3.8%	-1.9%	322,507	7.7%	1.2%
2023	$18.18	131	3.8%	-5.5%	261,868	6.5%	-1.5%
2022	$17.51	126	4.5%	-9.0%	321,818	8.0%	-0.4%
2021	$16.76	120	4.2%	-12.9%	338,444	8.4%	-0.9%
2020	$16.09	116	2.3%	-16.4%	372,696	9.3%	4.3%
2019	$15.72	113	2.7%	-18.3%	198,499	4.9%	1.3%
2018	$15.31	110	2.3%	-20.4%	146,411	3.6%	-1.0%
2017	$14.96	107	2.0%	-22.2%	188,573	4.7%	-0.7%
2016	$14.67	105	2.6%	-23.8%	215,446	5.3%	-0.7%
2015	$14.30	103	3.1%	-25.7%	241,388	6.0%	-1.8%
2014	$13.86	100	1.3%	-27.9%	313,155	7.8%	0.1%

© 2026 CoStar Group - Licensed to Williamson Central Appraisal District - 1445675

STRIP CENTER RENT & VACANCY

	Market Asking Rent				Vacancy		
Year	Per SF	Index	% Growth	Vs Hist Peak	SF	Percent	Ppts Chg
2030	$19.47	139	1.7%	8.9%	141,957	6.4%	0%
2029	$19.14	137	1.9%	7.1%	140,957	6.3%	0.2%
2028	$18.79	134	2.4%	5.2%	137,328	6.2%	0.2%
2027	$18.35	131	2.3%	2.7%	133,228	6.0%	0.1%
2026	$17.93	128	0.3%	0.3%	131,909	5.9%	0.9%
YTD	$17.86	127	0.9%	-0.1%	120,781	5.4%	0.4%
2025	$17.87	128	1.3%	0%	111,931	5.0%	1.0%
2024	$17.64	126	3.3%	-1.3%	90,265	4.1%	-0.7%
2023	$17.08	122	3.6%	-4.4%	105,873	4.8%	0.3%
2022	$16.48	118	4.2%	-7.8%	99,317	4.5%	0.1%
2021	$15.82	113	4.3%	-11.5%	98,076	4.4%	-1.8%
2020	$15.17	108	2.3%	-15.1%	137,690	6.2%	3.8%
2019	$14.83	106	2.5%	-17.0%	52,782	2.4%	-1.7%
2018	$14.48	103	-3.7%	-19.0%	91,053	4.1%	-0.1%
2017	$15.04	107	3.7%	-15.8%	94,340	4.3%	1.0%
2016	$14.51	104	2.0%	-18.8%	72,000	3.3%	-0.2%
2015	$14.22	102	2.1%	-20.4%	77,295	3.5%	-2.2%
2014	$13.93	99	1.9%	-22.1%	125,254	5.7%	-1.1%

GENERAL RETAIL RENT & VACANCY

	Market Asking Rent				Vacancy		
Year	Per SF	Index	% Growth	Vs Hist Peak	SF	Percent	Ppts Chg
2030	$18.01	142	1.7%	8.8%	716,464	3.4%	0.1%
2029	$17.72	139	1.9%	7.0%	693,628	3.3%	0.1%
2028	$17.39	137	2.3%	5.1%	663,324	3.2%	0%
2027	$17	134	2.3%	2.7%	654,501	3.1%	-0.1%
2026	$16.62	131	0.4%	0.4%	676,377	3.2%	0.6%
YTD	$16.52	130	0.4%	-0.2%	565,565	2.7%	0.1%
2025	$16.56	130	0.9%	0%	553,342	2.7%	-0.3%
2024	$16.41	129	2.6%	-0.9%	610,034	2.9%	0.1%
2023	$16	126	3.8%	-3.4%	579,166	2.8%	0.3%
2022	$15.41	121	4.3%	-6.9%	513,951	2.5%	-0.1%
2021	$14.78	116	4.0%	-10.7%	525,748	2.6%	-0.5%
2020	$14.21	112	2.4%	-14.2%	633,522	3.1%	0.3%
2019	$13.88	109	2.4%	-16.2%	575,310	2.8%	-0.3%
2018	$13.56	107	1.9%	-18.1%	625,328	3.1%	-0.5%
2017	$13.30	105	1.6%	-19.7%	722,156	3.6%	0.7%
2016	$13.09	103	2.2%	-20.9%	582,249	2.9%	-0.8%
2015	$12.81	101	2.1%	-22.6%	728,578	3.7%	-1.6%
2014	$12.55	99	1.8%	-24.2%	1,041,391	5.3%	-0.4%

© 2026 CoStar Group - Licensed to Williamson Central Appraisal District - 1445675

OTHER RENT & VACANCY

	Market Asking Rent				Vacancy		
Year	Per SF	Index	% Growth	Vs Hist Peak	SF	Percent	Ppts Chg
2030	$18.63	146	1.1%	7.0%	13,085	4.5%	0%
2029	$18.43	144	1.2%	5.8%	13,061	4.5%	0.2%
2028	$18.21	142	1.7%	4.5%	12,570	4.3%	0.2%
2027	$17.90	140	2.0%	2.8%	11,939	4.1%	0.1%
2026	$17.55	137	0.8%	0.8%	11,773	4.0%	0.5%
YTD	$17.35	136	0.1%	-0.4%	10,450	3.6%	0%
2025	$17.42	136	0.9%	0%	10,450	3.6%	1.4%
2024	$17.27	135	3.1%	-0.9%	6,400	2.2%	-0.1%
2023	$16.75	131	5.1%	-3.8%	6,650	2.3%	1.4%
2022	$15.94	125	4.3%	-8.5%	2,500	0.9%	-0.5%
2021	$15.28	119	3.9%	-12.3%	3,900	1.3%	-30.4%
2020	$14.71	115	2.4%	-15.6%	199,226	31.8%	31.4%
2019	$14.36	112	2.6%	-17.5%	2,500	0.4%	0.2%
2018	$14	109	2.1%	-19.6%	1,400	0.2%	0.2%
2017	$13.71	107	2.0%	-21.3%	0	0%	-1.4%
2016	$13.45	105	2.4%	-22.8%	4,200	1.4%	-0.5%
2015	$13.13	103	3.2%	-24.6%	5,600	1.9%	1.9%
2014	$12.72	99	1.9%	-27.0%	0	0%	0%

© 2026 CoStar Group - Licensed to Williamson Central Appraisal District - 1445675

OVERALL SALES

	Completed Transactions (1)						Market Pricing Trends (2)		
Year	Deals	Volume	Turnover	Avg Price	Avg Price/SF	Avg Cap Rate	Price/SF	Price Index	Cap Rate
2030	-	-	-	-	-	-	$249.19	234	7.2%
2029	-	-	-	-	-	-	$244.29	230	7.2%
2028	-	-	-	-	-	-	$237.77	223	7.3%
2027	-	-	-	-	-	-	$229.34	216	7.3%
2026	-	-	-	-	-	-	$221.22	208	7.4%
YTD	13	-	0.4%	-	-	-	$219.54	206	7.4%
2025	144	$25.7M	4.7%	$1,427,009	$171.34	6.9%	$218.83	206	7.4%
2024	77	$23.9M	2.5%	$1,706,921	$165.44	5.6%	$210.24	198	7.5%
2023	100	$12.4M	2.4%	$1,239,241	$230.19	6.6%	$208.42	196	7.3%
2022	151	$45.5M	4.2%	$2,070,165	$238.65	5.6%	$205.31	193	7.2%
2021	154	$34.8M	3.5%	$1,511,432	$178.11	6.4%	$207.65	195	6.9%
2020	111	$20.7M	2.4%	$1,382,762	$152.55	6.0%	$195.62	184	7.1%
2019	129	$77.4M	4.6%	$1,886,716	$144.73	7.5%	$186.88	176	7.2%
2018	178	$123.6M	6.3%	$3,861,564	$151.13	7.3%	$182.93	172	7.2%
2017	108	$15.7M	3.0%	$1,430,672	$222.12	6.4%	$179.56	169	7.2%
2016	125	$25M	4.7%	$2,504,877	$260.65	6.6%	$176.41	166	7.2%
2015	112	$17M	3.3%	$2,122,325	$133.06	6.9%	$172.68	162	7.2%

(1) Completed transaction data is based on actual arms-length sales transactions and levels are dependent on the mix of what happened to sell in the period.
(2) Market price trends data is based on the estimated price movement of all properties in the market, informed by actual transactions that have occurred. The price index is not smoothed.

MALLS SALES

	Completed Transactions (1)						Market Pricing Trends (2)		
Year	Deals	Volume	Turnover	Avg Price	Avg Price/SF	Avg Cap Rate	Price/SF	Price Index	Cap Rate
2030	-	-	-	-	-	-	$242.51	244	7.2%
2029	-	-	-	-	-	-	$235.46	237	7.2%
2028	-	-	-	-	-	-	$226.69	228	7.3%
2027	-	-	-	-	-	-	$215.68	217	7.3%
2026	-	-	-	-	-	-	$204.52	206	7.4%
YTD	0	-	-	-	-	-	$199.99	201	7.4%
2025	6	$0	14.7%	-	-	-	$199.12	200	7.4%
2024	-	-	-	-	-	-	$192.60	194	7.4%
2023	-	-	-	-	-	-	$191.26	192	7.3%
2022	-	-	-	-	-	-	$188.91	190	7.1%
2021	4	$0	3.1%	-	-	-	$190.83	192	6.9%
2020	1	$0	0.1%	-	-	-	$180.06	181	7.0%
2019	1	$624.7K	3.3%	$624,672	$7.50	-	$171.94	173	7.2%
2018	6	$75M	14.7%	$12,500,000	$200.54	8.0%	$169.13	170	7.2%
2017	1	$3.8M	0.5%	$3,800,000	$274.88	-	$165.74	167	7.2%
2016	3	$4.9M	21.7%	$4,854,180	$351.14	-	$162.80	164	7.2%
2015	-	-	-	-	-	-	$161.01	162	7.1%

(1) Completed transaction data is based on actual arms-length sales transactions and levels are dependent on the mix of what happened to sell in the period.
(2) Market price trends data is based on the estimated price movement of all properties in the market, informed by actual transactions that have occurred. The price index is not smoothed.

© 2026 CoStar Group - Licensed to Williamson Central Appraisal District - 1445675

POWER CENTER SALES

	Completed Transactions (1)						Market Pricing Trends (2)		
Year	Deals	Volume	Turnover	Avg Price	Avg Price/SF	Avg Cap Rate	Price/SF	Price Index	Cap Rate
2030	-	-	-	-	-	-	$244.86	253	7.4%
2029	-	-	-	-	-	-	$239.62	248	7.4%
2028	-	-	-	-	-	-	$232.70	241	7.4%
2027	-	-	-	-	-	-	$223.69	231	7.5%
2026	-	-	-	-	-	-	$214.18	222	7.6%
YTD	0	-	-	-	-	-	$210.39	218	7.6%
2025	-	-	-	-	-	-	$209.88	217	7.6%
2024	-	-	-	-	-	-	$203.11	210	7.6%
2023	-	-	-	-	-	-	$201.55	209	7.4%
2022	-	-	-	-	-	-	$198.97	206	7.2%
2021	-	-	-	-	-	-	$204.65	212	6.9%
2020	-	-	-	-	-	-	$192.81	199	7.1%
2019	-	-	-	-	-	-	$183.41	190	7.2%
2018	1	$0	2.1%	-	-	-	$181.99	188	7.2%
2017	-	-	-	-	-	-	$179.47	186	7.1%
2016	3	$0	6.3%	-	-	4.7%	$177.12	183	7.1%
2015	1	$3.2M	1.8%	$3,200,000	$519.06	7.2%	$175.20	181	7.0%

(1) Completed transaction data is based on actual arms-length sales transactions and levels are dependent on the mix of what happened to sell in the period.
(2) Market price trends data is based on the estimated price movement of all properties in the market, informed by actual transactions that have occurred. The price index is not smoothed.

NEIGHBORHOOD CENTER SALES

	Completed Transactions (1)						Market Pricing Trends (2)		
Year	Deals	Volume	Turnover	Avg Price	Avg Price/SF	Avg Cap Rate	Price/SF	Price Index	Cap Rate
2030	-	-	-	-	-	-	$210.92	257	7.5%
2029	-	-	-	-	-	-	$206.34	251	7.5%
2028	-	-	-	-	-	-	$200.19	244	7.5%
2027	-	-	-	-	-	-	$192.37	234	7.6%
2026	-	-	-	-	-	-	$184.79	225	7.7%
YTD	0	-	-	-	-	-	$182.59	222	7.7%
2025	5	$799.9K	5.5%	$799,900	$18.13	-	$181.95	222	7.7%
2024	3	$11M	2.3%	$5,500,000	$132.30	-	$169.21	206	7.9%
2023	1	$0	0.9%	-	-	7.8%	$168.12	205	7.7%
2022	8	$0	3.2%	-	-	-	$166.17	202	7.5%
2021	1	$0	0.3%	-	-	-	$178.67	218	7.0%
2020	1	$0	0.3%	-	-	-	$166.71	203	7.2%
2019	6	$16.6M	5.0%	$5,532,794	$110.58	-	$159.36	194	7.4%
2018	8	$17.4M	12.0%	$8,700,000	$109.21	13.3%	$155.63	190	7.4%
2017	6	$0	6.5%	-	-	-	$153.03	186	7.4%
2016	1	$0	0.9%	-	-	-	$150.13	183	7.4%
2015	2	$1.1M	1.8%	$1,100,000	$28.92	-	$146.20	178	7.4%

(1) Completed transaction data is based on actual arms-length sales transactions and levels are dependent on the mix of what happened to sell in the period.
(2) Market price trends data is based on the estimated price movement of all properties in the market, informed by actual transactions that have occurred. The price index is not smoothed.

© 2026 CoStar Group - Licensed to Williamson Central Appraisal District - 1445675

STRIP CENTER SALES

	Completed Transactions (1)						Market Pricing Trends (2)		
Year	Deals	Volume	Turnover	Avg Price	Avg Price/SF	Avg Cap Rate	Price/SF	Price Index	Cap Rate
2030	-	-	-	-	-	-	$238.47	246	7.1%
2029	-	-	-	-	-	-	$233.67	242	7.1%
2028	-	-	-	-	-	-	$227.36	235	7.2%
2027	-	-	-	-	-	-	$219.17	227	7.3%
2026	-	-	-	-	-	-	$211.59	219	7.4%
YTD	0	-	-	-	-	-	$210.50	218	7.4%
2025	11	$7.5M	6.8%	$3,750,000	$237.57	7.4%	$209.80	217	7.4%
2024	-	-	-	-	-	-	$202.13	209	7.4%
2023	4	$0	2.3%	-	-	-	$200.65	207	7.2%
2022	5	$0	4.8%	-	-	7.0%	$198.41	205	7.1%
2021	2	$0	0.8%	-	-	-	$201.91	209	6.8%
2020	1	$3M	1.8%	$3,000,000	$76.15	-	$189.15	196	7.0%
2019	5	$9.2M	3.3%	$3,071,833	$161.12	7.7%	$180.03	186	7.2%
2018	4	$300K	2.1%	$300,000	$58.39	-	$177.96	184	7.1%
2017	5	$1.9M	1.9%	$1,900,000	$195.53	-	$175.12	181	7.1%
2016	10	$2.1M	5.3%	$2,106,250	$120.74	8.3%	$171.79	178	7.1%
2015	8	$0	4.2%	-	-	10.0%	$165.22	171	7.1%

(1) Completed transaction data is based on actual arms-length sales transactions and levels are dependent on the mix of what happened to sell in the period.
(2) Market price trends data is based on the estimated price movement of all properties in the market, informed by actual transactions that have occurred. The price index is not smoothed.

GENERAL RETAIL SALES

	Completed Transactions (1)						Market Pricing Trends (2)		
Year	Deals	Volume	Turnover	Avg Price	Avg Price/SF	Avg Cap Rate	Price/SF	Price Index	Cap Rate
2030	-	-	-	-	-	-	$258.77	228	7.2%
2029	-	-	-	-	-	-	$254.05	224	7.2%
2028	-	-	-	-	-	-	$247.68	219	7.2%
2027	-	-	-	-	-	-	$239.40	211	7.3%
2026	-	-	-	-	-	-	$231.50	204	7.4%
YTD	13	-	0.6%	-	-	-	$230.27	203	7.4%
2025	122	$17.4M	3.3%	$1,159,084	$234.27	6.8%	$229.56	203	7.4%
2024	74	$12.9M	3.2%	$1,074,742	$210.39	5.6%	$221.45	196	7.4%
2023	95	$12.4M	3.1%	$1,239,241	$230.19	6.2%	$219.37	194	7.2%
2022	138	$45.5M	4.9%	$2,070,165	$238.65	5.5%	$215.84	191	7.1%
2021	147	$34.8M	4.6%	$1,511,432	$178.11	6.4%	$215.90	191	6.9%
2020	108	$17.7M	3.2%	$1,267,246	$183.72	6.0%	$203.79	180	7.0%
2019	117	$50.9M	5.0%	$1,497,553	$208.80	7.5%	$194.77	172	7.2%
2018	159	$30.9M	4.8%	$1,342,176	$110.58	6.0%	$190.36	168	7.2%
2017	96	$10M	2.8%	$1,115,266	$212.16	6.4%	$186.76	165	7.2%
2016	108	$18.1M	3.3%	$2,261,043	$279.01	6.7%	$183.52	162	7.2%
2015	101	$12.7M	4.0%	$2,113,100	$152.01	6.1%	$179.88	159	7.1%

(1) Completed transaction data is based on actual arms-length sales transactions and levels are dependent on the mix of what happened to sell in the period.
(2) Market price trends data is based on the estimated price movement of all properties in the market, informed by actual transactions that have occurred. The price index is not smoothed.

© 2026 CoStar Group - Licensed to Williamson Central Appraisal District - 1445675