Retail Market Report

Dallas-Fort Worth - TX USA

PREPARED BY

WCAD Williamson Central Appraisal District

Zoe Ying Zhang

CoStar™

RETAIL MARKET REPORT

Market Key Statistics	1
Leasing	3
Rent	8
Construction	10
Under Construction Properties	12
Sales	14
Sales Past 12 Months	16
Economy	18
Market Submarkets	23
Supply & Demand Trends	30
Rent & Vacancy	34
Sale Trends	38

© 2026 CoStar Group - Licensed to Williamson Central Appraisal District - 1445675

Overview

12 Mo Deliveries in SF	12 Mo Net Absorption in SF	Vacancy Rate	Market Asking Rent Growth
5.4M	3.1M	5.0%	3.0%

Dallas-Fort Worth continues to show strong resilience and a balanced set of fundamentals. Major bankruptcy-related closures by national retailers created rare opportunities in power centers across the market. These closures led to roughly a 100-bps increase in vacancies. According to local brokers, these openings have been short-lived. New large tenants have been quick to backfill the space, and existing retailers have moved to take advantage of new synergies created by improved co-tenancy.

Looking at the market as a whole, the increases in vacancy rates seen throughout the previous year are largely due to new supply. North Texas is a national leader in retail construction, with nearly twice the new supply as the next major player, Houston. These projects run the gamut, from major developments, like Fields West in Frisco, to grocery-anchored developments following new rooftops in outlying corners of the market. The latter serves as a catalyst for further development of parcels near major grocery stores, enabling the construction of traditional shopping centers and strip malls.

Even with a strong pipeline of new supply, the availability of these new buildings is limited to around 20% of the space currently under construction. This mirrors feedback from developers, who report that most projects will not break ground unless they are built-to-suit for a major, credited retailer or have achieved pre-leasing of at least 70%.

Exceptions to these rules do exist, mainly in new residential neighborhoods, where small-form shopping centers are often delivered during the initial phase of development. These also represent many of the rare vacancies in new inventory, as they face longer lease-up times while neighborhoods are built out and the customer base is established.

Asking rents for these new properties can also vary widely depending on where a property is and what type of retail it falls under. Grocery-anchored developments typically commanding the highest premiums outside of luxury spaces. The price of land is also a key determinant of the starting rents in a region. In areas like Collin County, starting rents are typically between $40/SF and $45/SF due to the premium on this land. Other parts of the market can handle a lower starting basis, ranging from $30/SF to $35/SF.

The balance of risks is weighed evenly in the new year. Market participants remain adamant that consumer spending remains a chief point of concern. Headline growth appears to be driven by higher prices and consumers trying to get ahead of perceived inflation, rather than by increased market confidence. On the upside, favorable demographic growth in both the state and the Dallas-Fort Worth area should remain a strong driver of retailer demand.

© 2026 CoStar Group - Licensed to Williamson Central Appraisal District - 1445675

KEY INDICATORS

Current Quarter	RBA	Vacancy Rate	Market Asking Rent	Availability Rate	Net Absorption SF	Deliveries SF	Under Construction
Malls	35,162,813	6.3%	$32.45	4.0%	(20,927)	0	89,135
Power Center	33,689,952	4.5%	$29.02	4.5%	19,829	0	118,089
Neighborhood Center	120,198,844	7.7%	$24.04	8.2%	257,330	171,480	584,208
Strip Center	32,179,380	7.4%	$23.98	8.6%	(8,915)	15,048	335,287
General Retail	243,929,772	3.3%	$24.31	3.9%	(295,375)	480,953	5,706,641
Other	3,610,694	3.2%	$26.72	4.3%	8,196	0	180,144
Market	**468,771,455**	**5.0%**	**$25.18**	**5.4%**	**(39,862)**	**667,481**	**7,013,504**

Annual Trends	12 Month	Historical Average	Forecast Average	Peak	When	Trough	When
Vacancy	0.3% (YOY)	6.0%	5.1%	8.6%	2010 Q2	3.8%	2000 Q1
Net Absorption SF	3.1M	6,310,066	1,572,273	15,254,671	2001 Q2	(2,214,849)	2020 Q4
Deliveries SF	5.4M	7,637,043	3,160,071	17,505,287	2001 Q2	2,896,536	2012 Q3
Market Asking Rent Growth	3.0%	2.1%	3.3%	5.2%	2024 Q3	-2.4%	2009 Q4
Sales Volume	$1.3B	$951.7M	N/A	$1.7B	2015 Q4	$255.1M	2002 Q1

© 2026 CoStar Group - Licensed to Williamson Central Appraisal District - 1445675

Despite surging amid headwinds from major national brand bankruptcies and store closures in late 2024 and early 2025, the Dallas-Fort Worth area has maintained positive tenant demand for 20 consecutive quarters. This wave of move-outs and the aggressive expansion of local grocery chains have served as a catalyst for new construction and tenant demand.

Supply additions continued to nudge availability higher over the past year, with the rate up about 40 basis points through the end of 2025. Much of the new space stems from speculative projects taking shape on the outer edges of the market. Developers report that lenders are reluctant to fully finance shopping center construction unless at least 70% to 80% of the space is pre-leased.

One major exception to this rule regarding pre-leasing is retail deliveries as part of a broader residential development. Here, full shopping centers are often built on speculation.

Examples include the Harvest Town Center in Northwest Fort Worth. This site, anchored by a Tom Thumb and tied to the adjacent 4,000-household residential development, includes nearly 45,000 SF of associated retail space around the grocer. Space that was not built-to-suit for national tenants like Chase or Chick-fil-A is fully speculative, with a current availability rate of around 80%.

National retailer pullbacks have also added to the increase. During 25Q1, more than 3.6 million SF came back to the market as Conn's, Party City, JOANN, and others closed stores. Tenant reps note that these big-box vacancies created rare opportunities for retailers seeking high-traffic locations. Many spaces have already been absorbed by fitness concepts and discount chains, often at higher rents or with more efficient layouts. Others have been replaced by opportunities to improve existing co-tenancy synergies, like Grapevine Towne Center, where a former Big Lots was replaced by Pottery Barn in early 2026.

Still, the current low-availability environment remains competitive. The time to lease for all retail assets has fallen considerably from the last peak, 23Q3, where the average property sat on the market for just over a year. Since then, that time has fallen by nearly 40%, with demand leaders like Northern Collin County seeing all-time lows of around five months. Local brokers point out the lack of new developments in established trade areas as a primary driver of this trend.

Grocery-anchored projects have become among the most sought-after retail assets for both developers and users, thanks to the foot traffic they generate. H-E-B has been the most prolific of these companies. Since 2021, the grocer has opened 18 stores across North Texas.

Initial growth focused on high-growth, affluent areas on the outer edges of the market's boundary. Current construction now includes interior markets like Irving and Euless, where their competitors are already well established. Retail properties within a quarter-mile of these stores are nearly full, with vacancies at just 1.7%. Brokers report that many retailers, including quick-service restaurants and banks, are prioritizing sites near new and existing H-E-B locations.

Vacancy rates are projected to break 5% in the first half of 2026. Stagnating consumer spending, which has grown by less than 2% over the past year, and slower population growth could weigh on demand in the near term. Following the current trend of new supply surpassing net absorption, 2026 is also expected to see deliveries drive vacancies higher.

© 2026 CoStar Group - Licensed to Williamson Central Appraisal District - 1445675

NET ABSORPTION, NET DELIVERIES & VACANCY

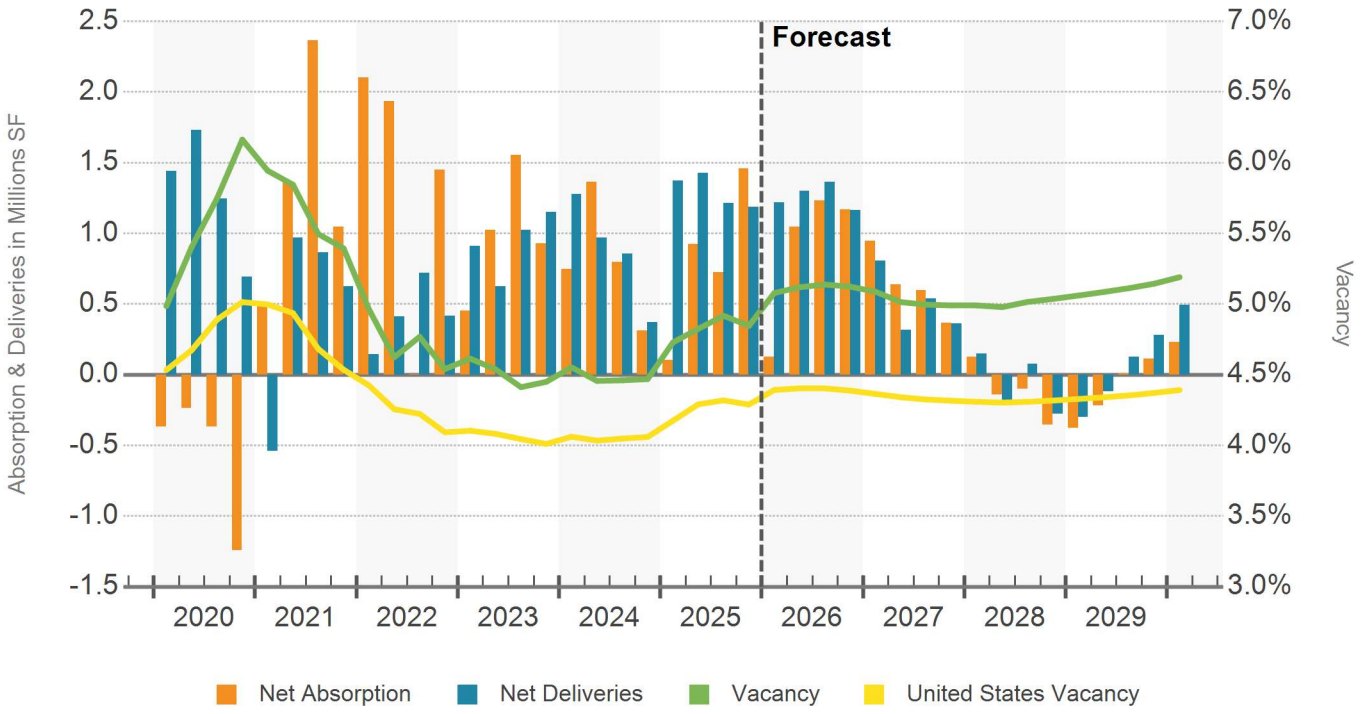

VACANCY RATE

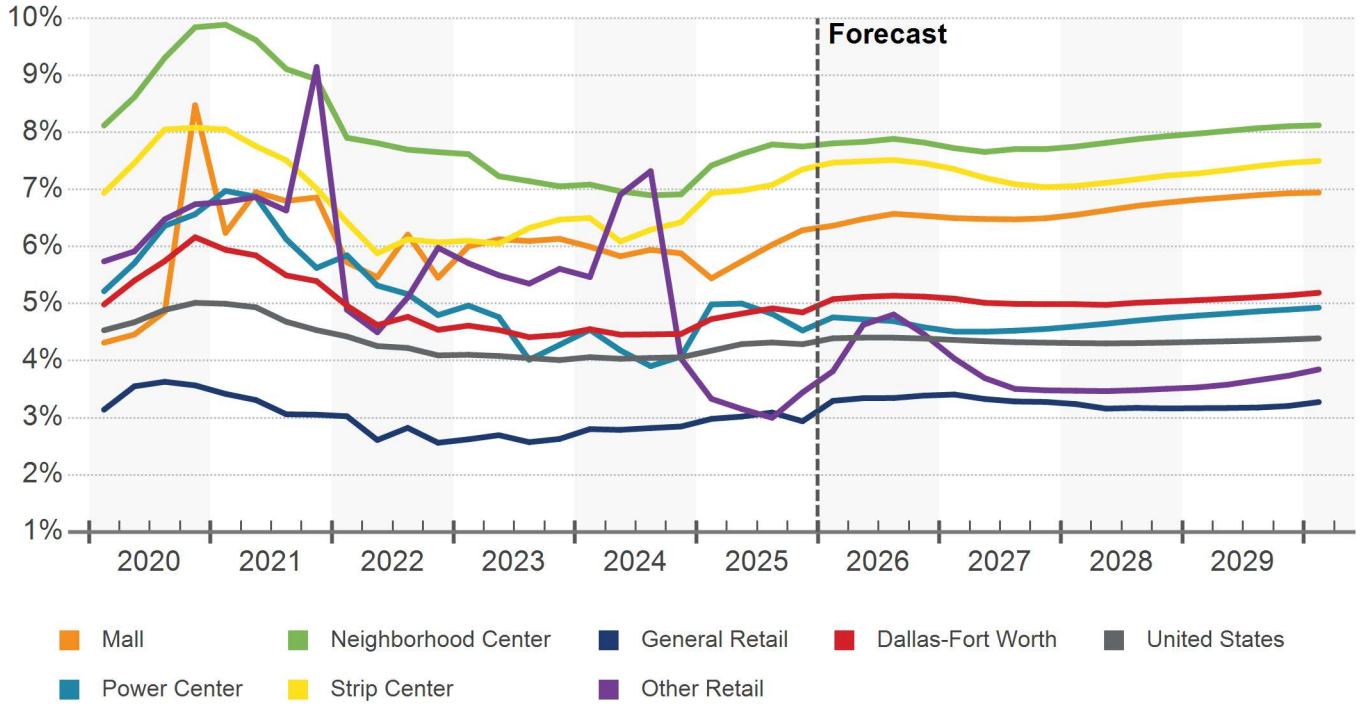

AVAILABILITY RATE

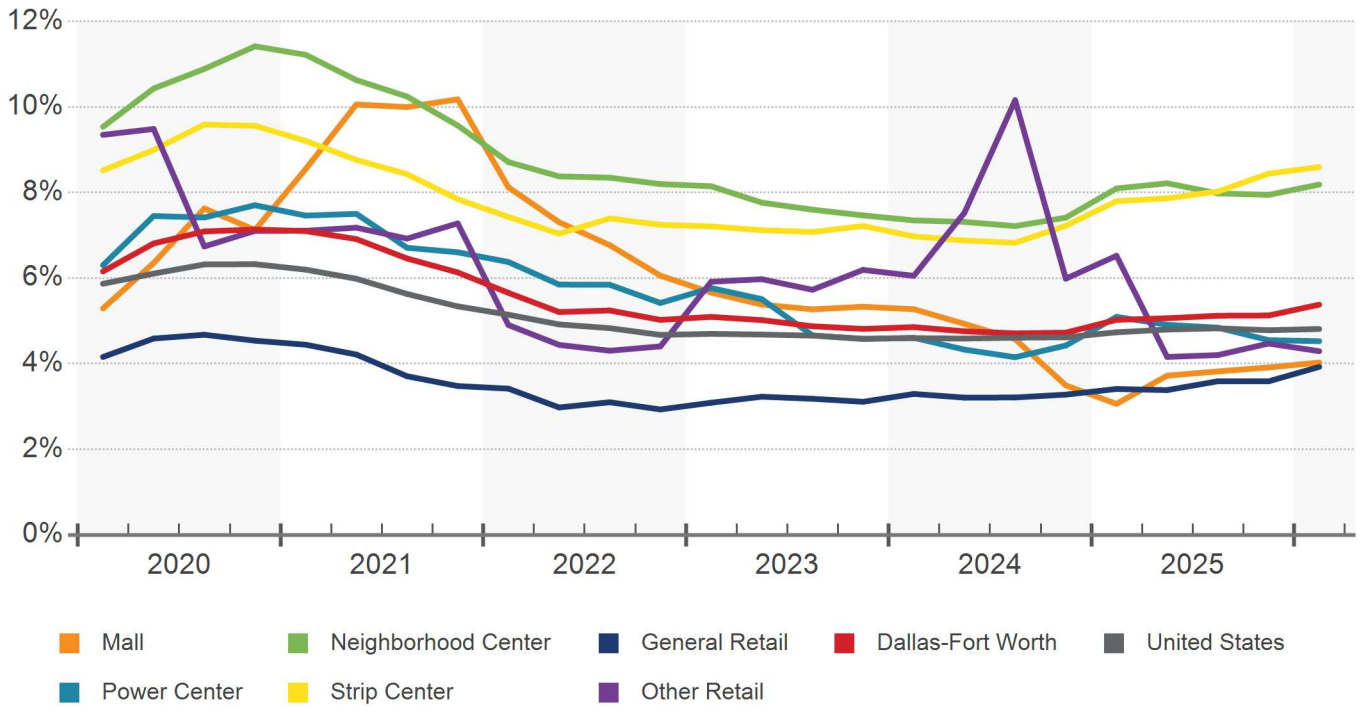

12 MONTH NET ABSORPTION SF IN SELECTED BUILDINGS

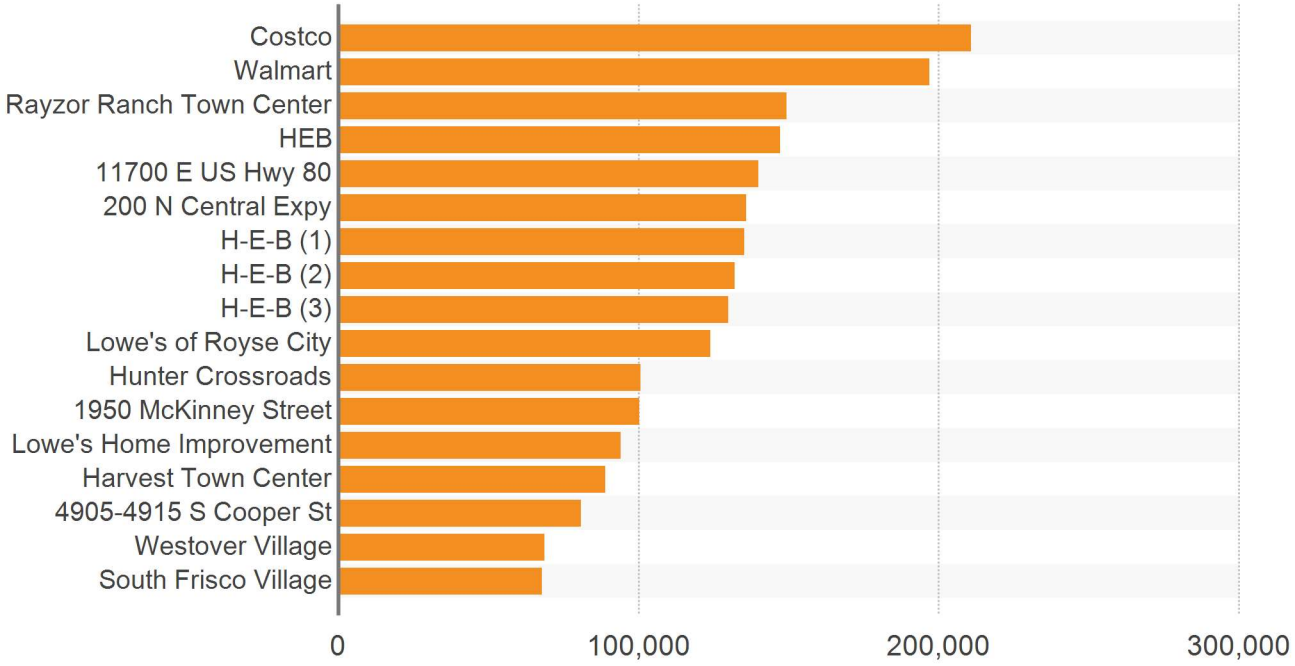

Building Name/Address	Submarket	Bldg SF	Vacant SF	Net Absorption SF				
				1st Qtr	2nd Qtr	3rd Qtr	4th Qtr	12 Month
Costco	Allen Ret	210,892	0	0	0	0	0	210,892
Walmart	West Frisco Ret	197,000	0	0	0	0	0	197,000
Rayzor Ranch Town Center	Denton Ret	149,293	0	0	0	0	0	149,293
HEB	McKinney Ret	147,239	0	0	0	0	0	147,239
11700 E US Hwy 80	East Dallas Outlying···	140,000	0	140,000	0	0	0	140,000
200 N Central Expy	N Collin Cty Outlying···	136,000	0	0	0	0	0	136,000
H-E-B (1)	Rockwall Ret	135,288	0	0	0	0	0	135,288
H-E-B (2)	N Collin Cty Outlying···	132,000	0	0	0	0	0	132,000
H-E-B (3)	West Frisco Ret	130,000	0	0	0	0	0	130,000
Lowe's of Royse City	East Dallas Outlying···	124,000	0	0	0	0	0	124,000
Hunter Crossroads	Northwest Fort Wort···	100,760	0	0	0	0	0	100,760
1950 McKinney Street	McKinney Ret	100,200	0	0	0	0	0	100,200
Lowe's Home Improvement	N Collin Cty Outlying···	94,000	0	94,000	0	0	0	94,000
Harvest Town Center	Northwest Fort Wort···	98,436	9,442	88,994	0	0	0	88,994
4905-4915 S Cooper St	South Arlington Ret	133,880	0	0	0	0	0	80,800
Westover Village	West Fort Worth Ret	74,301	0	36,500	0	0	0	68,593
South Frisco Village	Frisco Ret	227,041	0	0	0	0	0	67,746
Subtotal Primary Competitors		**2,330,330**	**9,442**	**359,494**	**0**	**0**	**0**	**2,102,805**
Remaining Dallas-Fort Worth Market		466,441,125	23,383,022	(399,356)	0	0	0	997,398
Total Dallas-Fort Worth Market		**468,771,455**	**23,392,464**	**(39,862)**	**0**	**0**	**0**	**3,100,203**

© 2026 CoStar Group - Licensed to Williamson Central Appraisal District - 1445675

TOP RETAIL LEASES PAST 12 MONTHS

Building Name/Address	Submarket	Leased SF	Qtr	Tenant Name	Tenant Rep Company	Leasing Rep Company
Costco	Parker County	160,000	Q1 25	Costco Wholesale Corpor···	-	-
Rosamond Corners	N Collin Cty Outlying	123,000	Q3 25	Kroger	-	-
Main Street Towne Crossing	Southwest Outlying	109,830	Q2 25	Lowe's Companies, Inc.	-	Davidson & Bogel Real···
Lake Worth Marketplace *	White Settlement	88,000	Q3 25	Kohl's	-	Vista Property Co.
601 Jim Wright Freeway	West Fort Worth	82,000	Q2 25	Toyota of Fort Worth	-	-
4905-4915 S Cooper St	South Arlington	80,800	Q1 25	The Picklr	-	Venture Commercial R···
The Offices at Park Lane	Upper Greenville	63,000	Q2 25	IKEA	Segovia Partners	Northwood Retail
Twin Creeks Village	Allen	62,000	Q3 25	Enson Market	-	EDGE Realty Partners
3524 Mckinney Ave	Uptown	60,000	Q3 25	Central Market	-	-
Clay Cooley Cadillac	Garland	59,571	Q4 25	Clay Cooley Cadillac	-	CBRE
NEC Walnut Grove Rd & FM 1387	Southwest Outlying	59,483	Q3 25	Tom Thumb	-	-
14th Street Market	Central Plano	59,480	Q4 25	Club4 Fitness	Airstream Realty	CBRE
3400 N Belt Line Rd	Town East	58,204	Q3 25	Tom Thumb	-	-
Shops at The Colony	West Frisco	51,909	Q4 25	-	-	Harkinson Dewan Man···
2200-2404 Airport Fwy	Hurst/Euless/Bedford	48,914	Q1 25	Look Dine-In Cinemas	-	Dunhill Partners, Inc.
Spring Creek Plaza	Central Plano	45,000	Q2 25	EoS Fitness	Segovia Partners	Rosebriar Properties
Town Center Colleyville	Grapevine/Colleyville	44,243	Q2 25	Slick City Action Park	-	Sterling Organization
Crunch	Southwest Fort Worth	43,347	Q2 25	Crunch Fitness	Crunch	-
Main Street Towne Crossing	Southwest Outlying	40,386	Q2 25	Home Zone Furniture, LLP	-	Davidson & Bogel Real···
Wheatland Towne Crossing	SW Dallas County	40,000	Q2 25	EoS Fitness	-	Segovia Partners
Rosamond Corners	N Collin Cty Outlying	40,000	Q3 25	EoS Fitness	Segovia Partners	SHOP Companies
Lakeview Crossing	Sachse/Rowlett	40,000	Q1 25	Crunch Fitness	-	-
6708 Lake Worth Blvd	White Settlement	38,160	Q3 25	Planet Fitness	Drexel Realty Partners	CBRE
Preston Ridge	Frisco	37,500	Q4 25	Belk	W Inc.	Brixmor Property Grou···
Cottonwood Creek Village	Allen	35,398	Q3 25	SuperLlama Inflatable Park	Pacific Century Realty	Structure Commercial
3125 NE Loop 820	Watauga/Keller/NRH	35,117	Q1 26	-	-	Transwestern Real Est···
South Frisco Village	Frisco	35,000	Q2 25	Absolute Recomp	Focus Real Estate A···	Vista Property Co.
Westgate Shopping Center	McKinney	32,248	Q2 25	-	-	William Roth Company
Pipeline Village	Richland Hills	31,964	Q4 25	-	-	Younger Partners Dalla···
Preston Park Village	Central Plano	31,080	Q1 25	Slick City	-	-
The Shops at Pinnacle Park *	SW Dallas County	30,187	Q3 25	Ross Dress for Less	-	Vista Property Co.
Lakepointe Towne Crossing	Lewisville	30,117	Q2 25	Absolute Recomp	Focus Real Estate A···	The Retail Connection
Vista Ridge Village *	Lewisville	30,100	Q3 25	Michaels	-	Vista Property Co.
Vista Ridge Village *	Lewisville	30,000	Q3 25	Marshalls	-	Vista Property Co.
The Highlands of Flower Mound	Lewisville	30,000	Q2 25	Nordstrom Rack	-	-
14086 Proton Rd	Metropolitan/Addison	30,000	Q2 25	Bafang Dumpling	-	-
Towne Square Shopping Center	Central Plano	29,460	Q2 25	Texas Family Fitness	-	-
College Park Shopping Center	Parker County	29,204	Q2 25	Spirit Halloween	-	Woodcrest Capital LLC
Market East Shopping Center	Town East	29,158	Q2 25	Ross Dress for Less	-	Fidelis Realty Partners
Woodmont Plaza	Southwest Fort Worth	29,128	Q2 25	USA Beauty Superstore	-	The Woodmont Company

*Renewal

© 2026 CoStar Group - Licensed to Williamson Central Appraisal District - 1445675

Retail rent growth has moderated significantly throughout 2025 and is poised to bottom out in the coming quarters. As of the first quarter, annual gains are growing at their slowest pace in over a decade at 3.0%. This is primarily the result of slower consumer spending, which rose only 2% from the year prior, and minimal available space. According to one market leader, long-term population and income growth are considered key drivers of future anticipated rent growth, as users are willing to pay a premium for access to this market, even during these temporary lulls. This momentum often lands Dallas-Fort Worth near the top of the rent growth rankings for major retail markets.

While no longer at peak levels, overall cumulative rent spreads remain high in this market. This continues to create “mark-to-market” opportunities for owners looking to backfill the bankruptcy-related vacancies from late 2024 and early 2025. Owners have been able to capture the 44.3% increase in rental rates generated over the past decade and improve the performance of existing users through enhanced co-tenancy opportunities.

For example, the Midlothian Towne Crossing saw a former JOANN relet by Cavender's in May. The fabric retailer had signed for the space in 2018 at a starting rate of $11/SF NNN. The space returned to the market in early 2025 at an asking rent of $21/NNN. This represents a nearly 90% increase in less than ten years. Cavender's has made similar moves across Dallas-Fort Worth, including at 380 Towne Crossing in McKinney, where they took over a former Party City at a rate of $22/NNN.

Local brokers report that users have become more open to higher rents. Newer spaces often command premiums that tenants are willing to pay. This shows up in new leases in first-generation properties, which average about $41/SF for deals of 5,000 SF or less in 2025. In comparison, properties built in or before 2019 averaged $27/SF, a nearly 50% difference.

Newer grocery-anchored developments can push starting rents even higher. Market participants note that average starting rents range from $45/SF to $55/SF, depending on the anchor tenant. This trend is most common in fast-growing submarkets outside the urban core, where strong population gains and higher household incomes support these elevated rates.

Demographics remain a key driver. Dallas-Fort Worth continues to add retail supply at one of the fastest rates in the country. Long-term household growth and rising incomes continue to support tenant demand. However, near-term risks such as weaker consumer spending and lower confidence could slow rent growth in 2026.

MARKET ASKING RENT GROWTH (YOY)

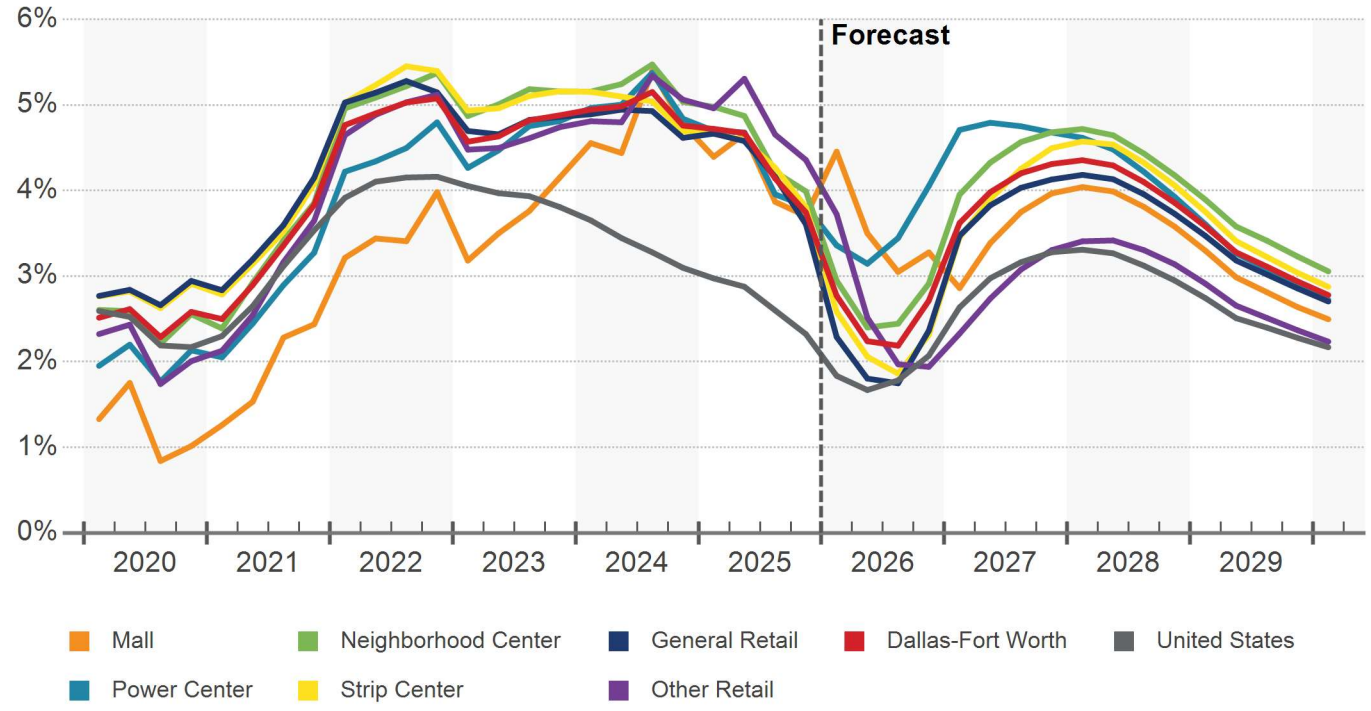

© 2026 CoStar Group - Licensed to Williamson Central Appraisal District - 1445675

MARKET ASKING RENT PER SQUARE FEET

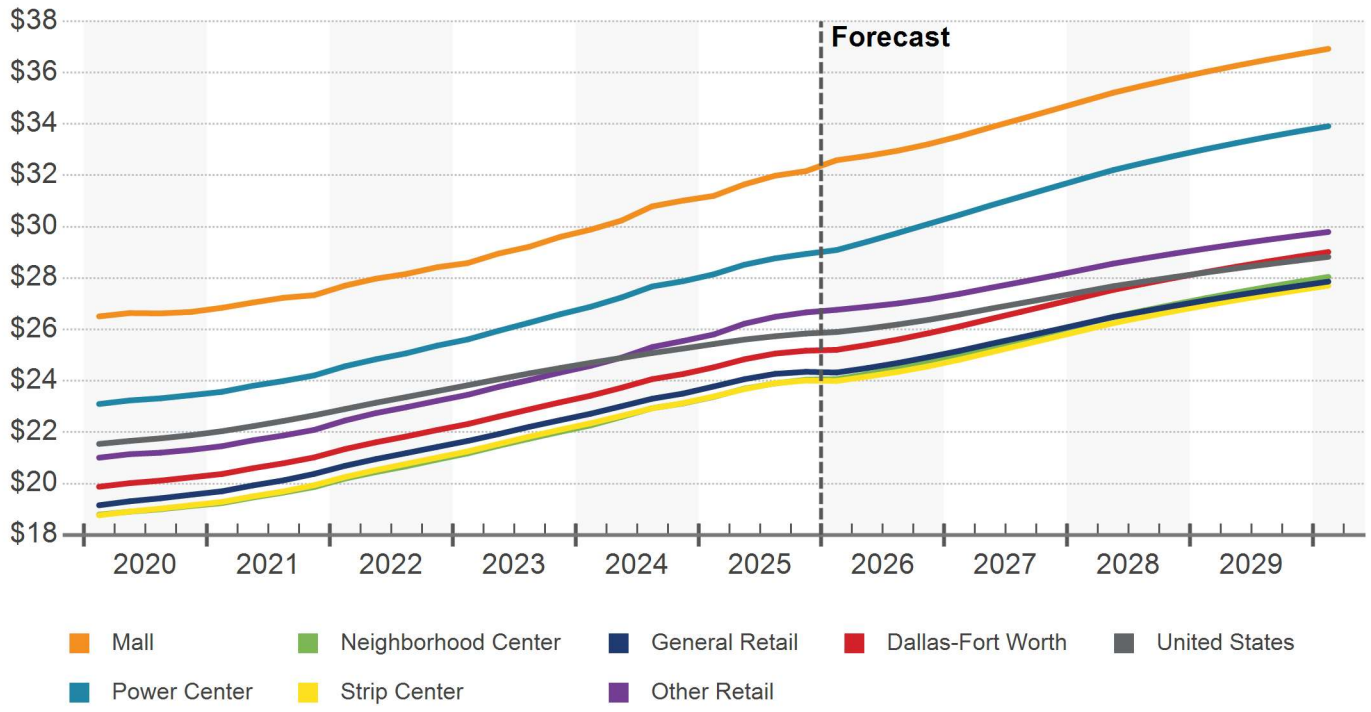

Dallas-Fort Worth is experiencing a major construction boom. At a time when national retail construction remained subdued, North Texas has experienced a surge in development over the past several years, driven by grocery store construction and large mixed-use developments.

As of the start of 2026, the total pipeline for new construction is 7.0 million, the highest level recorded since 2017. On an annualized basis, this market has delivered 18% of all net deliveries in the United States in 2025. In the new year, Dallas-Fort Worth is expected to maintain this momentum, accounting for an equivalent share of net deliveries. Developers credit this urge to build new space to long-term demographic drivers. Retailers are eager to expand into North Texas, as it is anticipated to overtake Chicago as the third-largest metropolitan area within the next decade.

Construction starts have held steady throughout 2025, averaging 1.5 million SF per quarter. Most of the pipeline consists of large-format stores for brands like Target and shopping centers in outer submarkets, where land is typically cheaper, and the customer base is rapidly growing.

Roughly 65% of current projects are in Denton and Collin Counties, while Dallas County accounts for 9%. These northern clusters, including Allen, McKinney, Frisco, and Prosper, are attracting developers due to their rapid population growth and high household incomes. Grocers and big-box retailers are leading the charge and following new rooftops in these suburbs. H-E-B entered the market here before expanding across Dallas-Fort Worth, and Costco has added two new locations in Allen and Prosper in 2025 alone.

Financing for speculative shopping centers has become more stringent, even in this positive building environment. To break ground, most projects need either a strong anchor tenant, a high pre-leasing threshold, or preferably both. Many other developments are built-to-suit for national or regional retailers, which limits supply-side risk. As of first quarter, about 80% of retail space under construction is already pre-leased, including projects for companies like Target.

Mixed-use projects also drive new construction. In Collin County, both The Farm in Allen and Frisco Fields have been driving the construction of new retail and residential spaces. Tenants attached to these projects tend to be selected to maximize “placemaking,” including experiential retailers like Chicken N Pickle and High 5 Entertainment, as well as unique luxury offerings, such as Texas's first Bloomie's store in Fields West.

Despite leading the country in construction, Dallas-Fort Worth will see minimal impact on vacancies. Availability for projects underway is below 20%, one of the lowest among major Texas markets. New announcements made by Hillwood for the construction of a 3,200-acre mixed-use development in Denton called Landmark could drive additional retail construction in the coming years.

© 2026 CoStar Group - Licensed to Williamson Central Appraisal District - 1445675

DELIVERIES & DEMOLITIONS

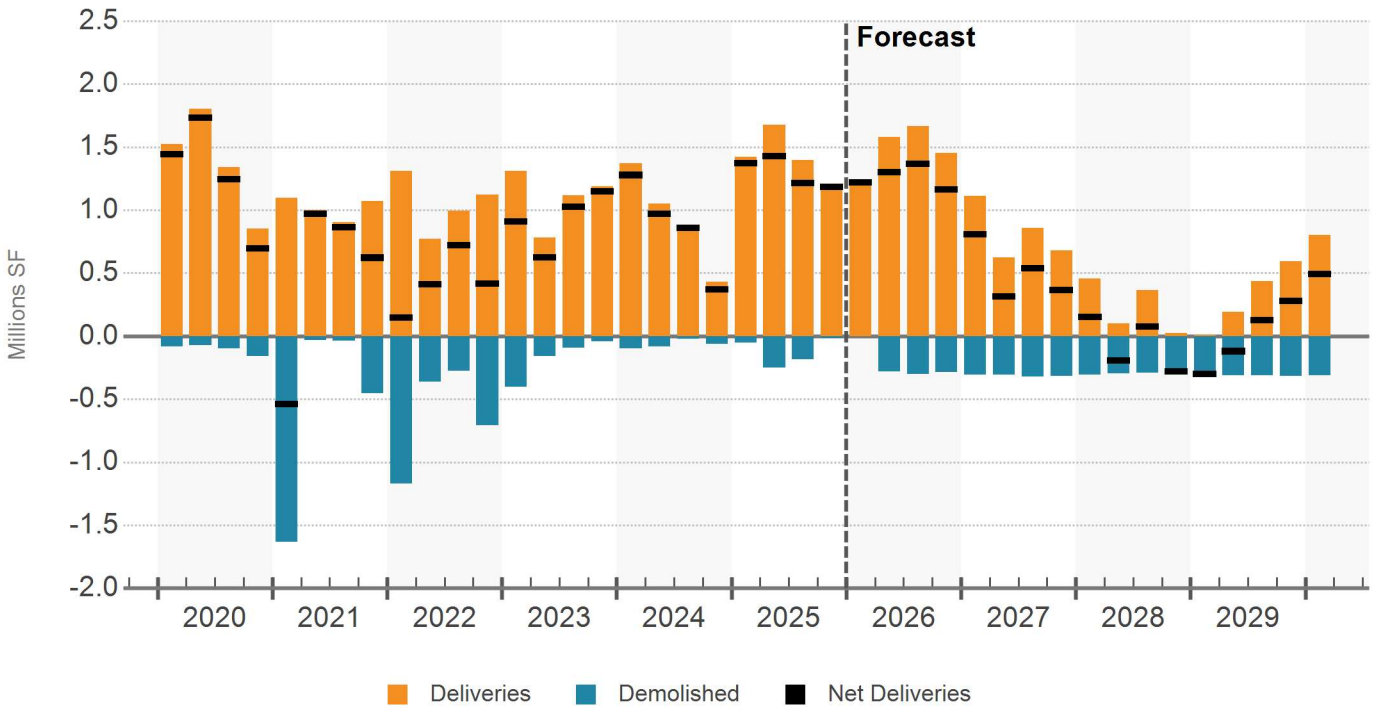

SUBMARKET CONSTRUCTION

		Under Construction Inventory					Average Building Size		
No.	Submarket	Bldgs	SF (000)	Pre-Leased SF (000)	Pre-Leased %	Rank	All Existing	Under Constr	Rank
1	N Collin Cty Outlying	25	795	699	87.9%	3	11,263	31,798	4
2	Northwest Fort Worth	23	744	652	87.6%	4	10,823	32,351	3
3	West Frisco	13	689	577	83.8%	6	15,850	53,011	2
4	McKinney	25	508	272	53.6%	9	13,214	20,305	9
5	Frisco	21	450	205	45.6%	10	18,351	21,431	7
6	Southwest Outlying	14	437	386	88.5%	2	8,322	31,180	5
7	Denton	4	432	412	95.3%	1	12,925	108,050	1
8	East Lewisville	9	248	213	85.9%	5	10,721	27,536	6
9	Hurst/Euless/Bedford	9	189	141	74.3%	7	16,023	21,031	8
10	East Dallas Outlying	17	176	129	73.1%	8	9,045	10,336	10
	All Other	99	2,346	1,853	79.0%		12,967	23,698	
Totals		**259**	**7,014**	**5,538**	**79.0%**		**12,700**	**27,079**	

© 2026 CoStar Group - Licensed to Williamson Central Appraisal District - 1445675

Under Construction Properties

Dallas-Fort Worth Retail

Properties	Square Feet	Percent of Inventory	Preleased
259	7,013,504	1.5%	79.0%

UNDER CONSTRUCTION PROPERTIES

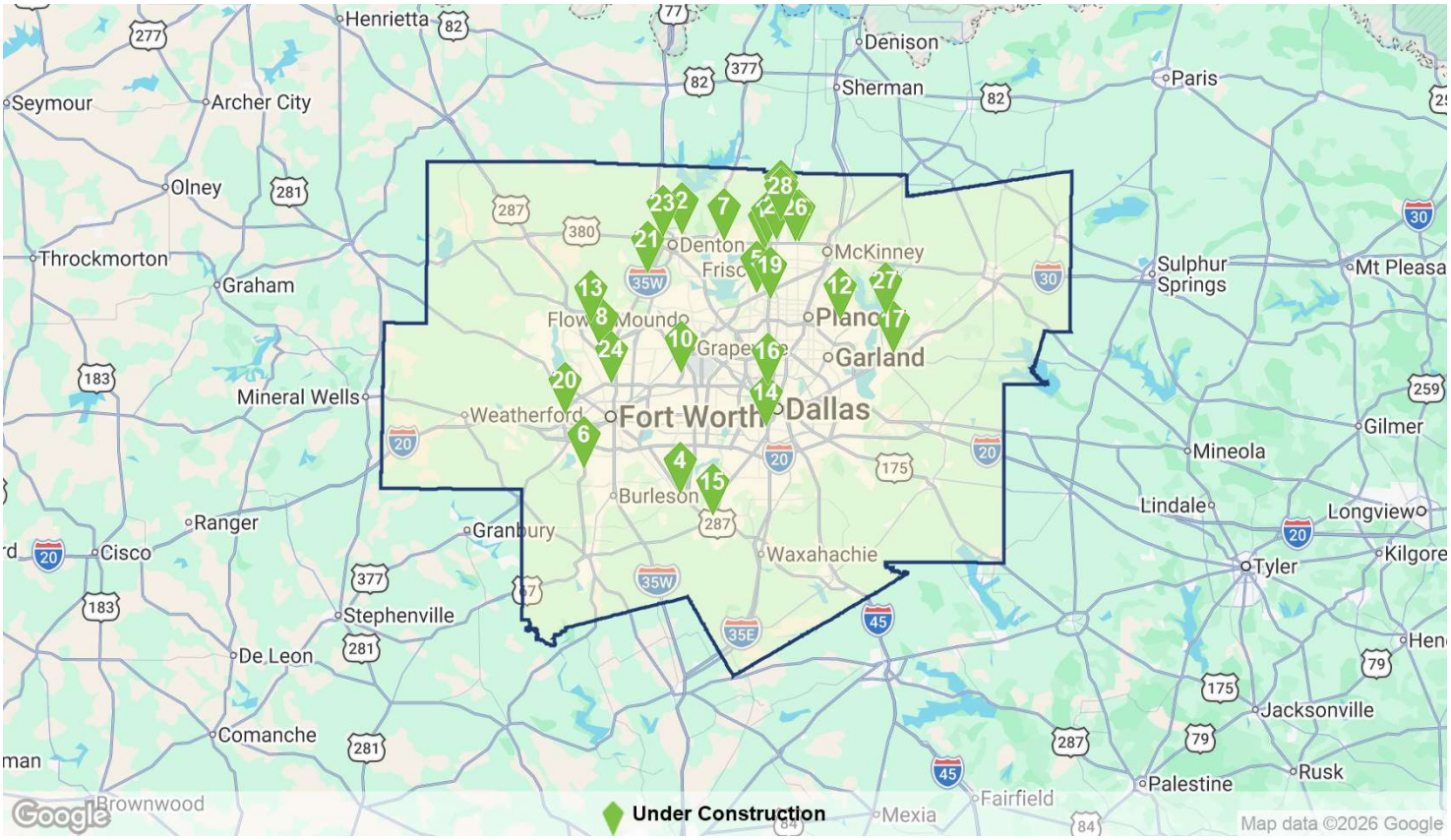

UNDER CONSTRUCTION

	Property Name/Address	Rating	Bldg SF	Stories	Start	Complete	Developer/Owner
1	**Fields West** Fields Pky	★★★★☆	350,000	2	May 2025	Aug 2028	The Karahan Companies, Inc. -
2	**2209 East University Drive**	★★★☆☆	340,000	1	Jan 2024	Apr 2026	- -
3	**Walmart Super Center** W Outer Loop Rd	★★★☆☆	197,965	1	Jul 2025	Apr 2026	Walmart Glendenning Rex Real Estate
4	**Costco** 1508 S Main St	★★★★☆	150,000	1	Dec 2025	Dec 2027	- -
5	**Building C** 5701-5733 S State Highway 1	★★★★☆	150,000	1	Aug 2025	Sep 2027	- Triangle Property Management, Inc
6	**Target** 2935 Chisholm Trail Pky	★★★☆☆	148,827	1	Jul 2025	Aug 2026	- Target Corporation
7	**Bates Towne Crossing - Tar** US HWY 380	★★★★☆	147,735	1	Jul 2025	Aug 2026	- Weber & Company

UNDER CONSTRUCTION

	Property Name/Address	Rating	Bldg SF	Stories	Start	Complete	Developer/Owner
8	**Bonds Ranch Marketplace** 149 E Bonds Ranch Rd	★★★☆☆	140,701	1	Mar 2025	Apr 2026	- -
9	**H-E-B** 1112 Huckleberry St	★★★☆☆	133,975	1	Apr 2025	Jun 2026	- H-E-B
10	**HEB** 2105 Rio Grande Blvd	★★★☆☆	126,000	1	Nov 2025	Aug 2026	- H-E-B
11	**Firefly Park Retail** 6146 Breezeway Blvd	★★★★☆	122,000	1	Apr 2024	Oct 2027	Wilks Development Wilks Development
12	**H-E-B** 722 E FM 544	★★★★☆	122,000	1	Aug 2025	Oct 2026	- -
13	**Kroger Marketplace** Sendera Ranch Blvd & Ranc	★★★★☆	118,337	1	Oct 2025	Aug 2026	- -
14	**Target** 655 W Illinois Ave	★★★★☆	111,000	1	Oct 2023	Apr 2026	Brixmor Property Group Inc. Brixmor Property Group Inc.
15	**2B** Main Street Towne Crossin	★★★★☆	109,830	1	Jul 2024	Apr 2026	- -
16	**Porsche Dealership** 6000 Lemmon Ave	★★★☆☆	109,144	1	Feb 2026	Jan 2027	Brinkmann Construction Park Place Dealerships
17	**IKEA** 1805 Interstate 30 Frontage R	★★★☆☆	108,875	1	Jun 2025	Apr 2026	- -
18	**Home Depot -Celina** 200 West Ownsby Pky	★★★★☆	105,000	1	Jan 2026	Dec 2026	- -
19	**Haggard Farms Developmer** 5679 Spring Creek Pky	★★★★☆	100,000	2	Dec 2025	Jan 2027	Stillwater Capital Investments Haggard Property Group, Ltd.
20	**601 Jim Wright Freeway**	★★★☆☆	82,000	1	Aug 2024	Apr 2026	Prim Construction, LLC Doherty Motors, Inc.
21	**HEB Landmark Project** 1144 Robson Ranch Rd	★★★★☆	75,000	1	Oct 2025	May 2026	- -
22	**West Grove Retail** 8701 W University Dr	★★★★☆	70,348	1	Nov 2024	Apr 2026	De La Vega Development De La Vega Development
23	**2405 West University Drive**	★★★☆☆	68,000	1	Sep 2024	Apr 2026	- -
24	**Premier Truck Group Expan** 1804 NE I-820	★★★☆☆	68,000	1	Dec 2024	Jun 2026	- Penske Corporation
25	**821 South Coleman Street**	★★★★☆	68,000	1	Jan 2024	Dec 2026	- -
26	**9436 Baron Way**	★★★★☆	68,000	3	Sep 2025	Nov 2026	- -
27	**820 Austin Ln**	★★★★☆	68,000	1	Dec 2025	Jul 2026	- -
28	**Academy Sports** 3525 S Preston Rd	★★★★☆	63,834	1	Sep 2025	Apr 2026	- -

© 2026 CoStar Group - Licensed to Williamson Central Appraisal District - 1445675

According to dealmakers, expectations for Dallas-Fort Worth's retail market are optimistic in 2026 and beyond. The prior year marked a significant milestone for the market, surpassing $1.3 billion in confirmed deal volume for the first time since 2021. This view of resurgent capital markets interest is further supported by additional metrics, including total inventory turnover. By total square footage, Dallas-Fort Worth is just behind Chicago in the prior year, with just under 22 million SF traded.

This mirrors a broader trend observed by market leaders, who say Dallas-Fort Worth is increasingly viewed as a primary destination for capital seeking retail opportunities outside the major coastal markets. Favorable long-term demographics and the potential for long-term rent gains are seen as the primary drivers behind this investor interest, with one expert comparing the growth potential in major Texas markets to the rapid population expansion that California saw in the latter half of the 20th century.

While private buyers continue to drive most deals in this market, institutional investors have taken on a larger share of activity. Excluding the largest transaction in 2025, institutional players accounted for 14% of all buyers, nearly double their share over the past five years. This includes Blackstone, which purchased several properties in North Texas as part of its broader acquisition of the Global Fund Investment retail portfolio in December 2025. Market participants expect this could shift in 2026, as major lenders, including life companies and community banks, have shown a willingness to finance retail deals in the Dallas-Fort Worth market due to its historically strong return on investment.

Nearly half of the 2025 sales volume can be attributed to a single transaction. In September, the Nasher-Haemisegger family acquired a 60% ownership over NorthPark Center from J.P. Morgan. The family, which was the original owner of the mall, paid an estimated $560 million for full control of the premier shopping space, which reports high occupancy and a high-end tenant mix.

For most other private investors, single-tenant net lease deals are common targets. Pricing on these deals can vary depending on the type of asset and tenants in place. For quick-service restaurants like Swig or Dutch Bro's, cap rates tend to be in the high-5% range. These have expanded by roughly 75 to 100 bps over the last few quarters, with users like Salad and Go closing over 40 locations in Dallas-Fort Worth by 26Q1.

Traditional fast-food restaurants have a wider spread, often falling between 6% and 8% depending on the tenant and the quality of the building, with some off-market deals reporting rates closer to those of QSRs.

Grocery-anchored neighborhood centers are also popular among investors in North Texas and are where the majority of transactions from other non-private buyers occur. Recent examples include the sale of Pioneer Plaza in Mesquite, which sold for an estimated $14.25 million. The buyer, a public REIT called Agree Realty, purchased the site in a broader portfolio acquisition that included four other grocery-anchored centers. Market participants note that these assets tend to trade on high-6% cap rates, while other assets like power centers typically strike deals around 7.5%. Rates on the latter could push higher depending on which anchor tenants are in place, with some having co-tenancy restrictions that make maximizing occupancy in a center difficult.

© 2026 CoStar Group - Licensed to Williamson Central Appraisal District - 1445675

SALES VOLUME & MARKET SALE PRICE PER SF

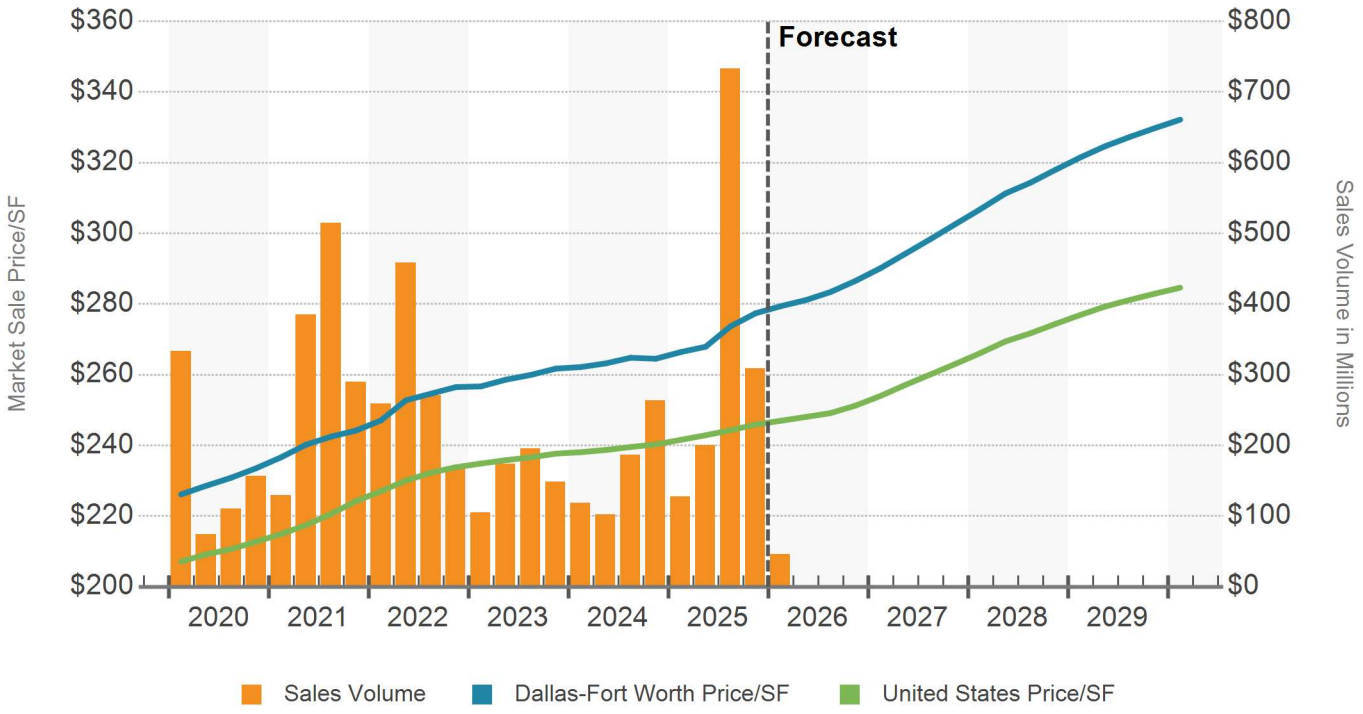

MARKET CAP RATE

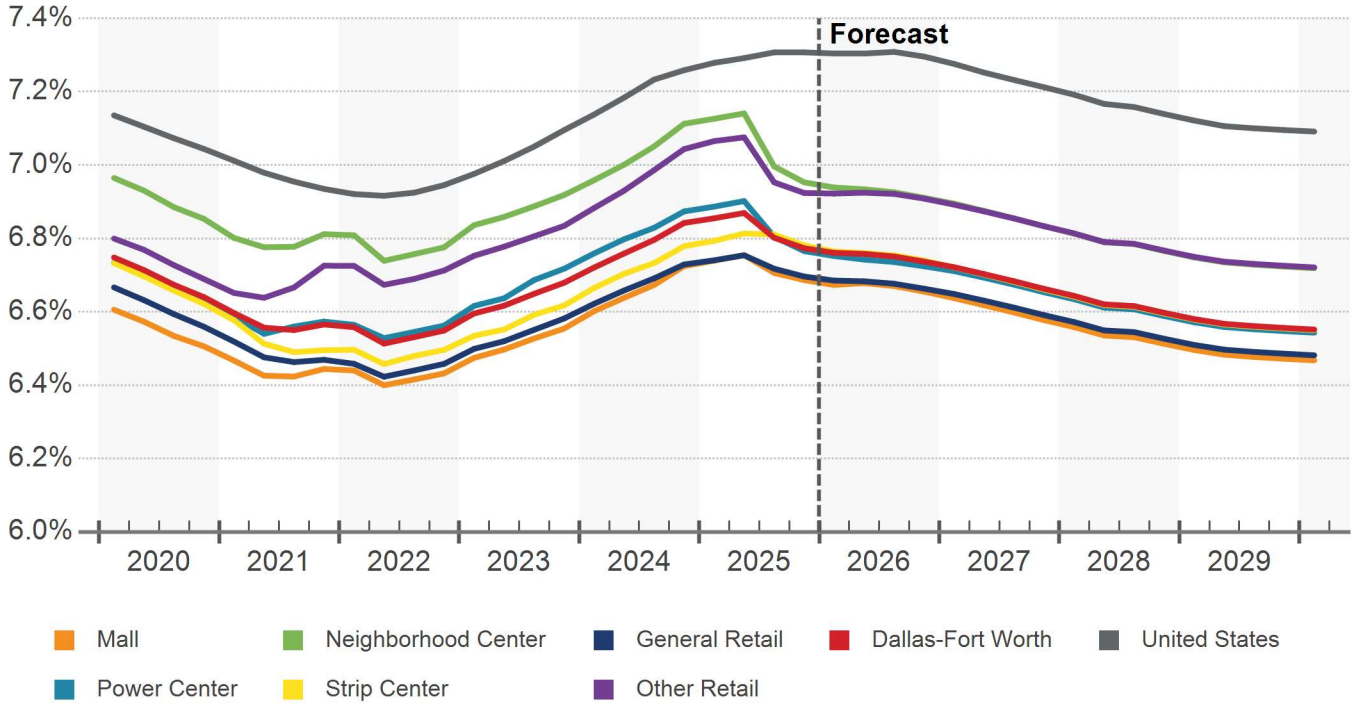

Sales Past 12 Months

Dallas-Fort Worth Retail

Sale Comparables	Avg. Cap Rate	Avg. Price/SF	Avg. Vacancy At Sale
1,984	6.5%	$365	5.9%

SALE COMPARABLE LOCATIONS

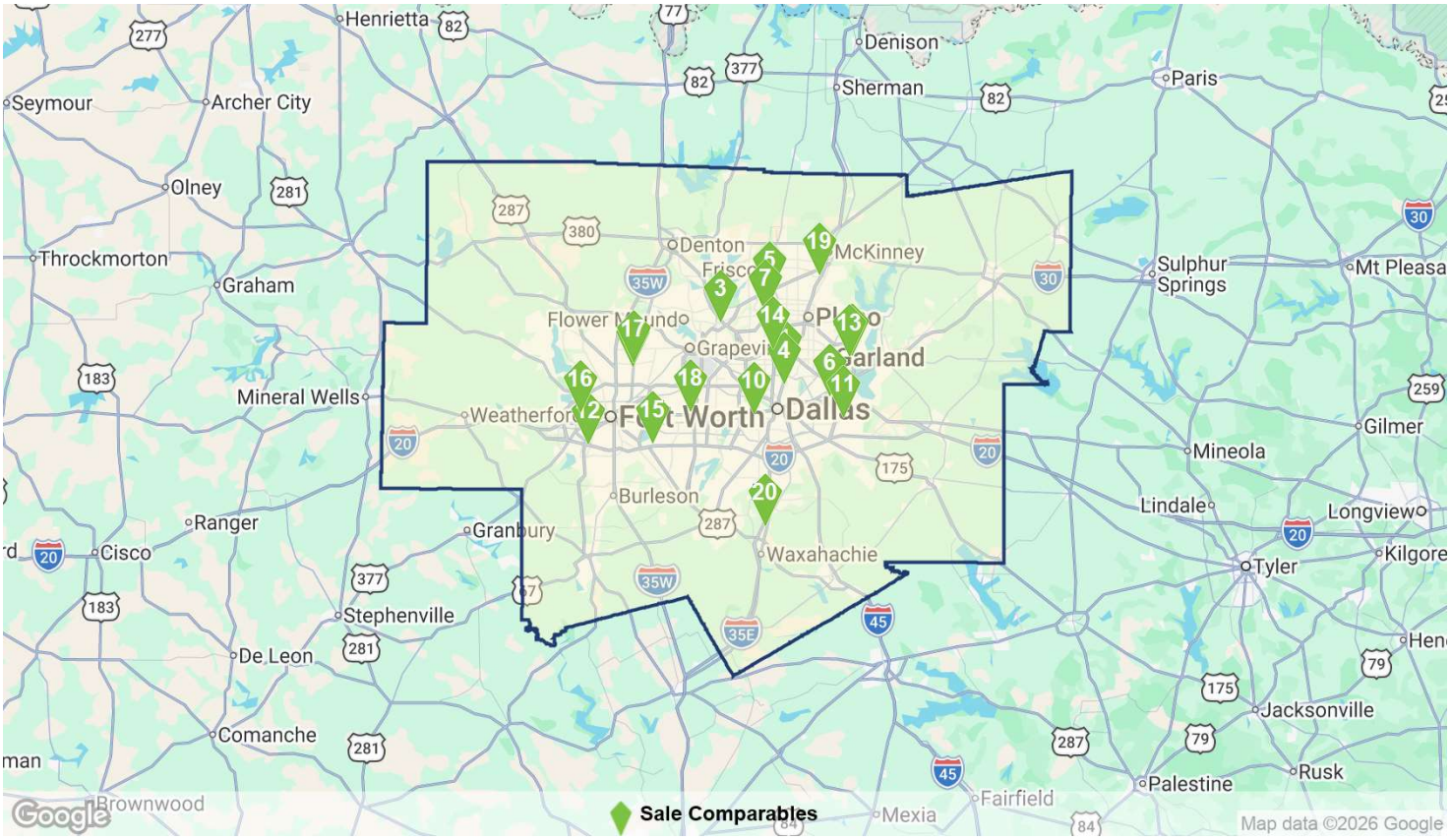

SALE COMPARABLES SUMMARY STATISTICS

Sales Attributes	Low	Average	Median	High
Sale Price	$19,271	$6,451,378	$2,513,700	$570,000,000
Price/SF	$8.57	$365	$371	$3,466
Cap Rate	3.7%	6.5%	6.3%	15.0%
Time Since Sale in Months	0.1	6.3	6.2	12.0
Property Attributes	**Low**	**Average**	**Median**	**High**
Building SF	19	11,593	4,292	1,900,000
Stories	1	1	1	3
Typical Floor SF	405	10,751	4,307	633,333
Vacancy Rate At Sale	0%	5.9%	0%	100%
Year Built	1880	1985	1986	2027
Star Rating	★☆☆☆☆	★★☆☆☆ 2.5	★★★☆☆	★★★★★

Sales Past 12 Months

RECENT SIGNIFICANT SALES

		Property				Sale			
	Property Name - Address	Rating	Yr Built	Bldg SF	Vacancy	Sale Date	Price	Price/SF	Cap Rate
1	**NorthPark Center** 8687 N Central Expy	★★★★★	1965	1,900,000	0%	9/26/2025	$570,000,000	$500	-
2	**Legacy North** 7300 Lone Star Dr	★★★★☆	2008	166,292	46.5%	12/19/2025	$38,081,139	$229	-
3	**Vista Ridge Plaza** 360-420 E Round Grove Rd	★★★☆☆	1997	200,223	1.0%	9/18/2025	$35,683,316	$178	8.0%
4	**Mockingbird Central Plaza** 5400 E Mockingbird Ln	★★★☆☆	1985	76,608	5.6%	7/25/2025	$34,643,127	$452	-
5	**7300 Dallas Pky**	★★★☆☆	2006	48,696	0%	12/19/2025	$20,213,425	$415	-
6	**2701-2709 N Mesquite Dr**	★★★☆☆	2002	94,096	0%	3/25/2025	$17,241,209	$183	-
7	**Shops at Park Place** 6400 W Plano Pky	★★★☆☆	2000	97,224	0%	12/8/2025	$15,254,933	$157	-
8	**Liberty Crossing** 5701-5709 Liberty Grove Rd	★★★☆☆	2007	86,913	0%	6/10/2025	$14,840,302	$171	-
9	**Watauga Pavilion** 7612-7620 Denton Hwy	★★★☆☆	2003	152,616	39.5%	12/8/2025	$14,503,391	$95	-
10	**Kessler Hills SC** 1050 N Westmoreland Rd	★★★☆☆	1989	101,500	1.4%	5/9/2025	$14,359,556	$141	-
11	**Tom Thumb** 1501 Pioneer Rd	★★★☆☆	1999	54,252	0%	6/21/2025	$14,162,006	$261	-
12	**Overton Ridge** 4911-4941 Overton Ridge···	★★★☆☆	1996	119,645	0%	11/10/2025	$14,040,462	$117	-
13	**3601 Lakeview Pky**	★★★☆☆	1994	52,354	0%	12/23/2025	$13,746,528	$263	7.0%
14	**Montfort Square** 13305-13331 Montfort Dr	★★★☆☆	1974	25,296	0%	5/28/2025	$11,250,000	$445	-
15	**Sprout Farmers Market** 5711 W Interstate 20	★★★☆☆	2014	27,652	0%	3/4/2025	$10,250,000	$371	-
16	**LA Fitness** 6500 Westworth Blvd	★★★★☆	2008	45,000	0%	10/10/2025	$9,523,809	$212	6.3%
17	**Fitness Connection** 8428 Denton Hwy	★★★☆☆	1998	61,110	0%	12/22/2025	$9,300,000	$152	8.0%
18	**2150 E Lamar Blvd**	★★★☆☆	2014	23,401	0%	7/24/2025	$8,880,316	$379	-
19	**Stacy Center** 840 W Stacy Rd	★★★☆☆	2020	12,003	0%	5/22/2025	$8,651,165	$721	-
20	**North Grove Center I** 2801 N Highway 77	★★★★☆	2019	17,670	0%	5/8/2025	$7,518,513	$425	6.8%

© 2026 CoStar Group - Licensed to Williamson Central Appraisal District - 1445675

The Dallas-Fort Worth economy ranks among the most dynamic in the nation, supported by a pro-business environment, a diverse industry base, and sustained population and employment growth. With 8.3 million residents across 13 counties, the metro is the country's fourth-largest market and continues to lead in domestic migration. Since 2010, the population has expanded by 27%, fueled by rapid growth in Collin and Denton Counties, where gains exceed 50%. Northern suburbs such as Frisco, Plano, Allen, and McKinney remain magnets for households seeking strong schools and relative affordability. While New York recently edged ahead in overall growth due to international migration, North Texas remains the top destination for domestic movers.

Low business costs and a highly skilled labor pool underpin corporate relocations and expansions across sectors including energy, real estate, healthcare and logistics. The region hosts 24 Fortune 500 headquarters, among them Texas Instruments, AT&T, American Airlines, Kimberly-Clark, Toyota and McKesson. Its profile as a financial hub is also rising, with major banking and wealth management firms expanding their footprint. Bank of America, JP Morgan, Fidelity, and Charles Schwab maintain significant operations, while Wells Fargo and Goldman Sachs have expanded their presence in the region with new campuses.

Fort Worth anchors Tarrant County's economy with strengths in logistics, transportation, defense and aerospace. Employers such as BNSF Railway, Lockheed Martin and Bell Textron reinforce the county's industrial base. The metro's central location and world-class infrastructure further enhance its role as a logistics and corporate hub. Dallas-Fort Worth International Airport connects the region to global markets in Europe, Asia and Latin America, serving as a critical gateway for both passengers and cargo.

Despite moderating growth and broader economic uncertainty, employment remains resilient. DFW leads the nation in post-pandemic job creation and is expected to maintain momentum thanks to its diversified economy and strong demographic trends.

DALLAS-FORT WORTH EMPLOYMENT BY INDUSTRY IN THOUSANDS

	CURRENT JOBS		CURRENT GROWTH		10 YR HISTORICAL		5 YR FORECAST	
Industry	**Jobs**	**LQ**	**Market**	**US**	**Market**	**US**	**Market**	**US**
Manufacturing	310	0.9	-0.27%	-0.28%	1.71%	0.31%	0.83%	0.21%
Trade, Transportation and Utilities	908	1.1	1.00%	-0.02%	2.24%	0.75%	0.81%	0.22%
Retail Trade	401	0.9	1.16%	0.30%	1.19%	-0.05%	0.61%	0.15%
Financial Activities	399	1.6	1.04%	-0.01%	3.64%	1.17%	1.14%	0.24%
Government	483	0.8	0.41%	-0.49%	1.57%	0.59%	0.84%	0.32%
Natural Resources, Mining and Construction	262	1.1	0.82%	-0.13%	2.79%	1.92%	0.89%	0.55%
Education and Health Services	528	0.7	2.59%	2.48%	2.33%	2.15%	0.84%	0.41%
Professional and Business Services	782	1.3	0.07%	-0.35%	3.13%	1.17%	1.20%	0.49%
Information	90	1.1	-0.63%	0.03%	1.11%	0.59%	0.22%	0.19%
Leisure and Hospitality	438	0.9	1.12%	0.78%	2.14%	1.01%	1.23%	0.84%
Other Services	140	0.8	0.20%	0.78%	1.68%	0.69%	0.60%	0.18%
Total Employment	**4,340**	**1.0**	**0.81%**	**0.38%**	**2.39%**	**1.09%**	**0.95%**	**0.39%**

Source: Oxford Economics

LQ = Location Quotient

© 2026 CoStar Group - Licensed to Williamson Central Appraisal District - 1445675

JOB GROWTH (YOY)

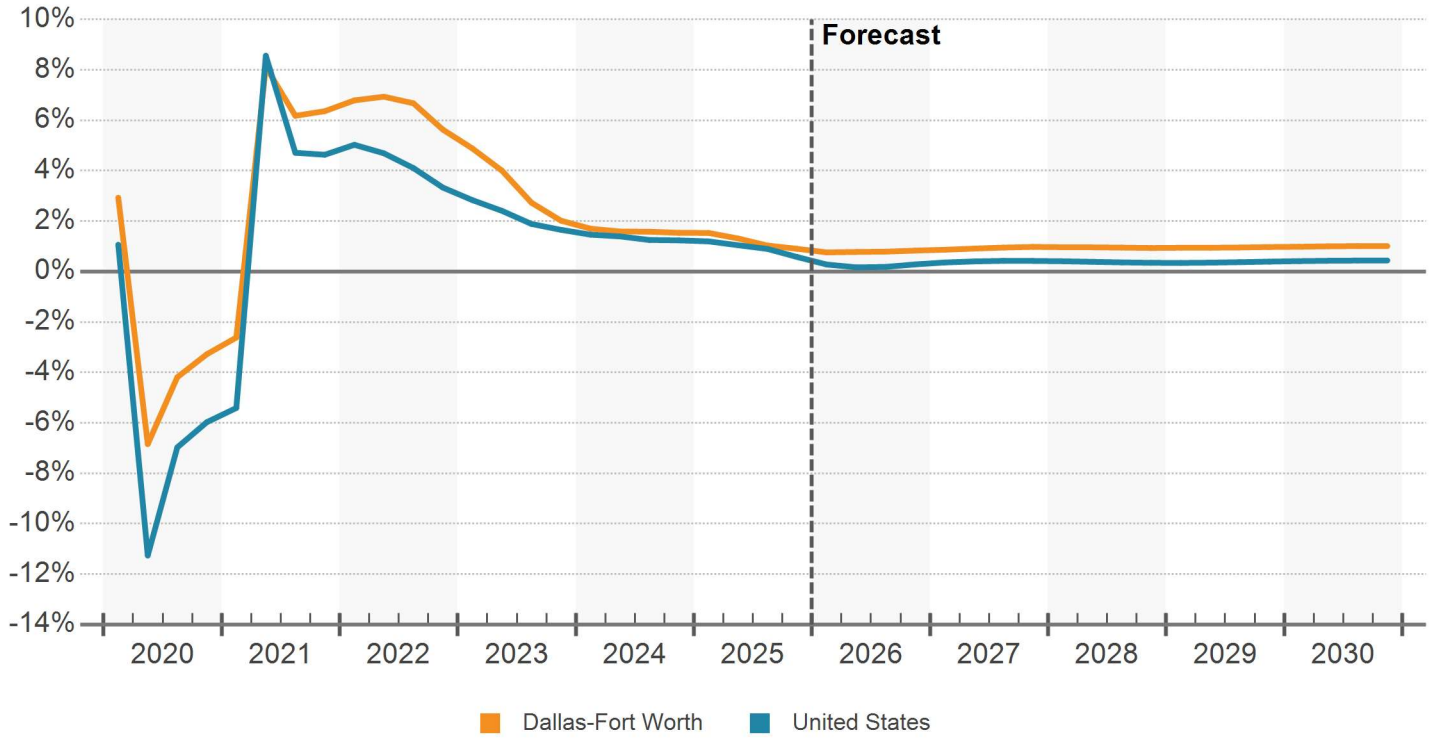

Source: Oxford Economics

UNEMPLOYMENT RATE (%)

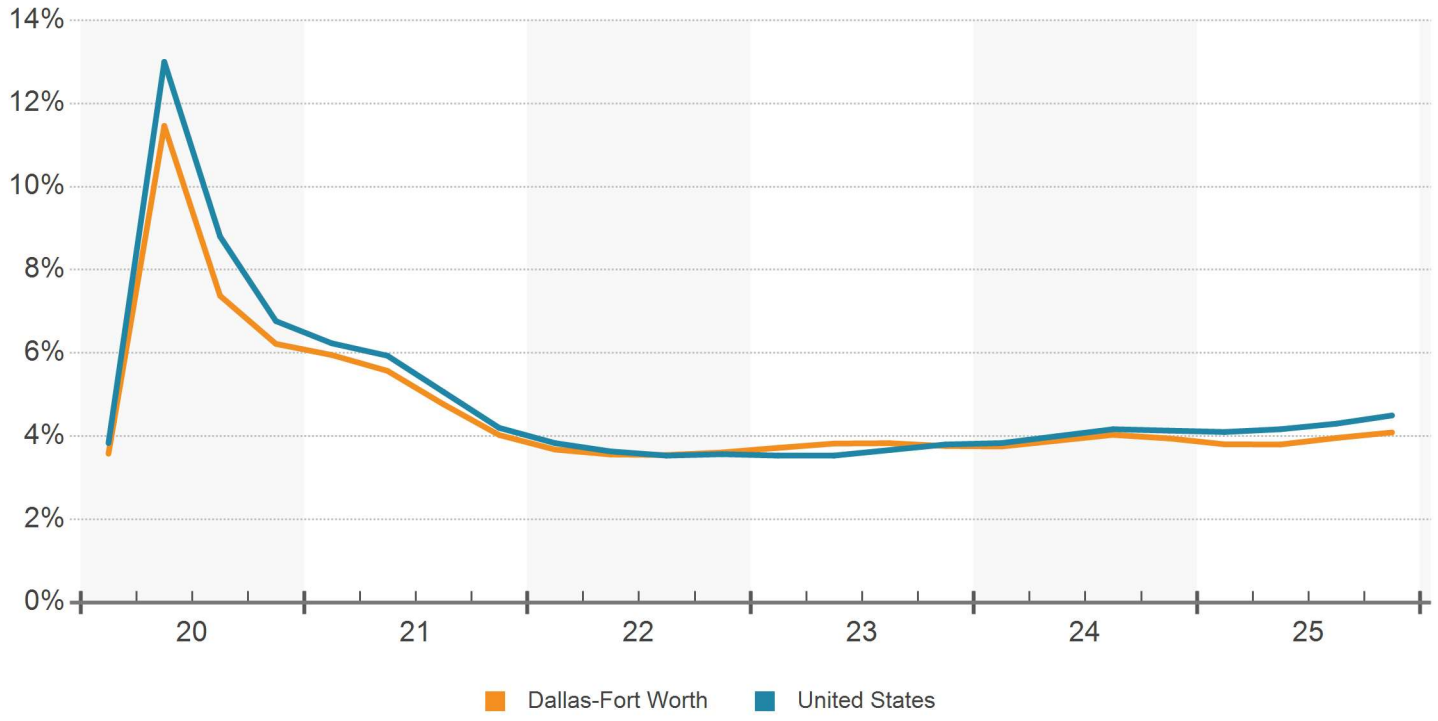

NET EMPLOYMENT CHANGE (YOY)

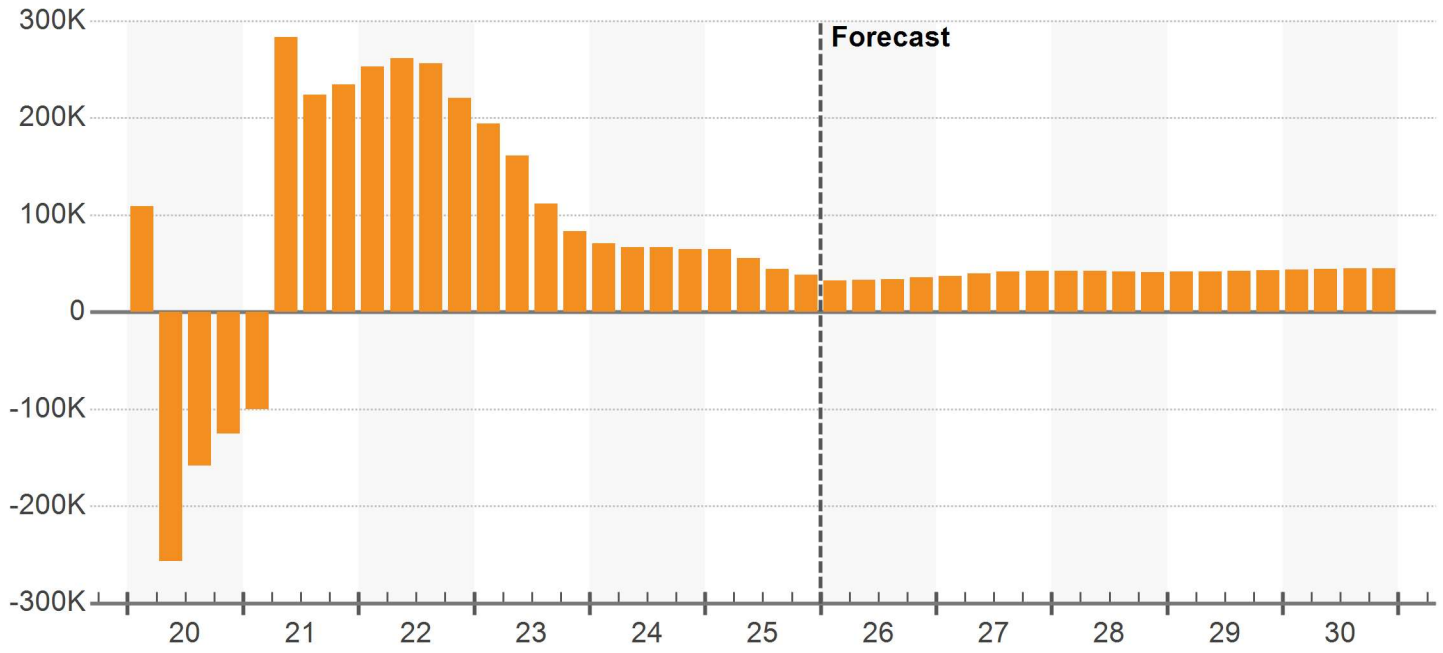

MEDIAN HOUSEHOLD INCOME

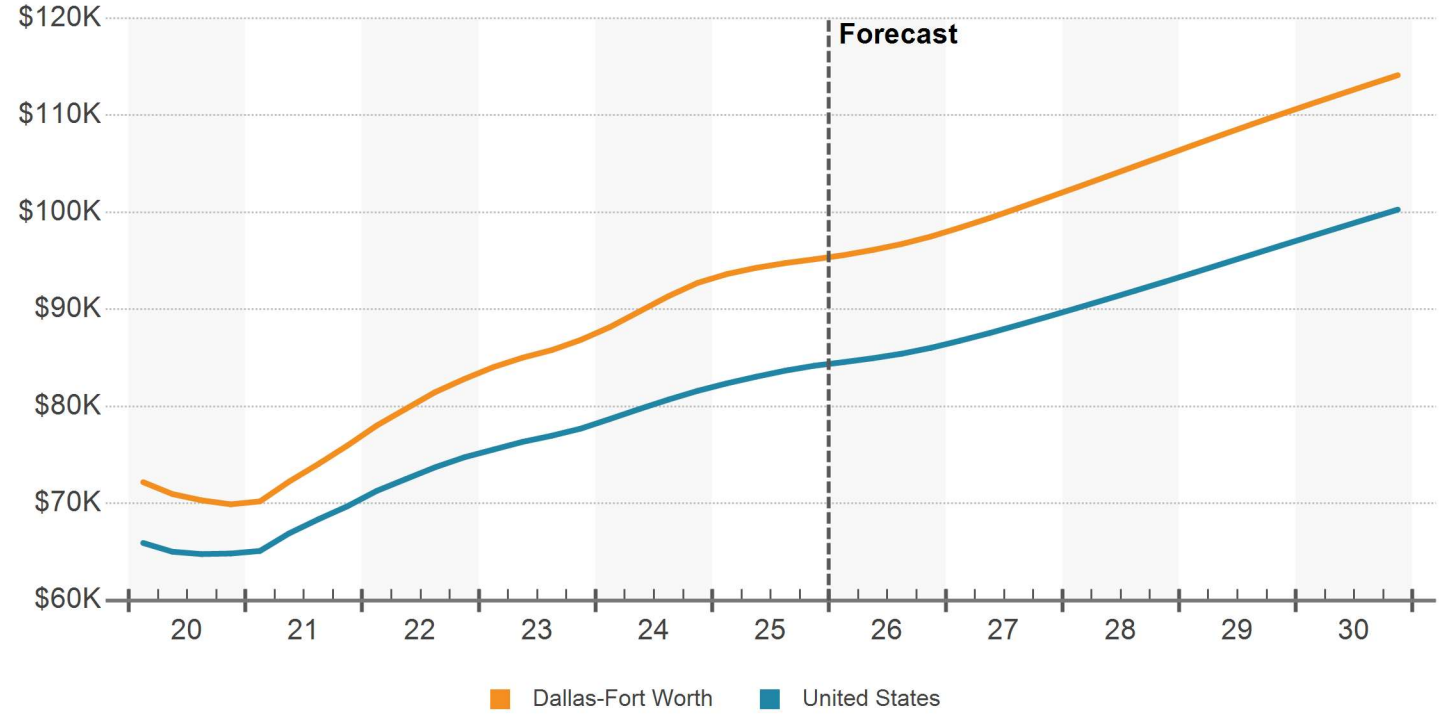

POPULATION GROWTH (YOY %)

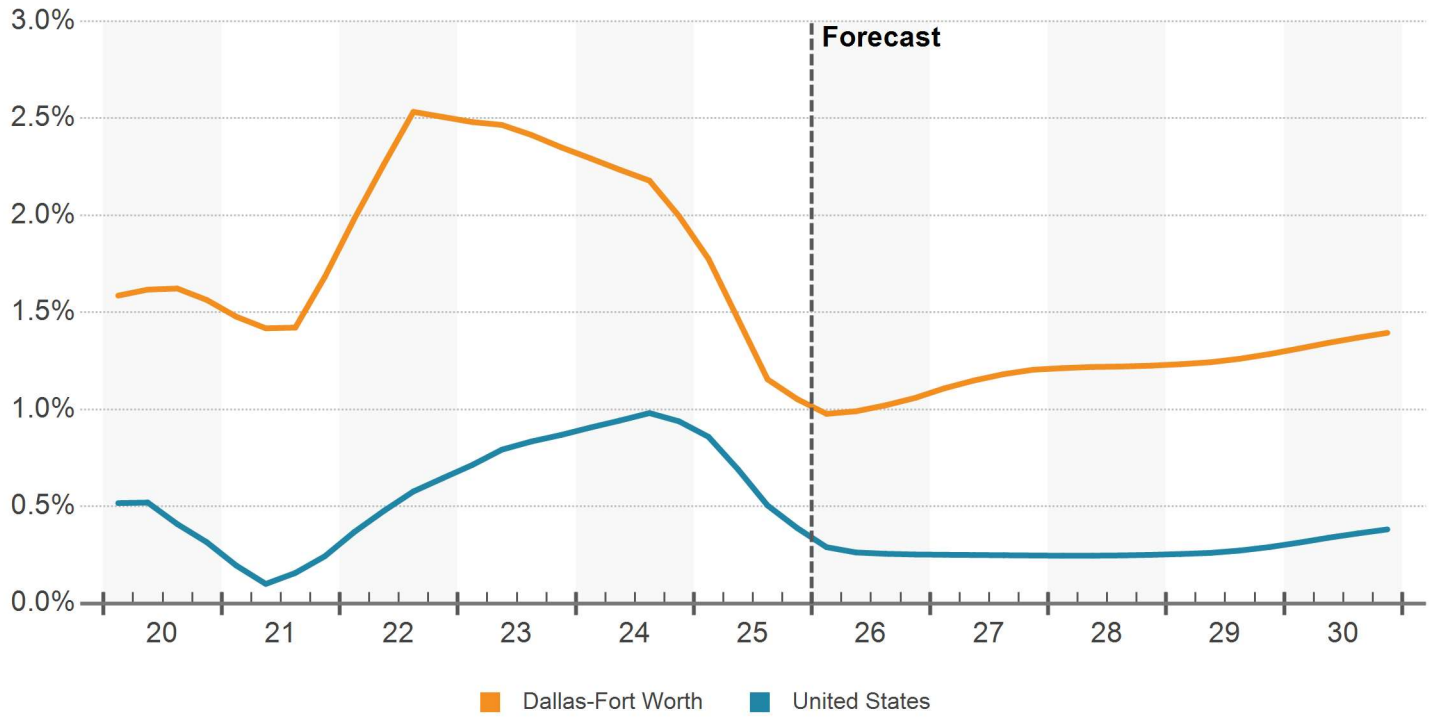

NET POPULATION CHANGE (YOY)

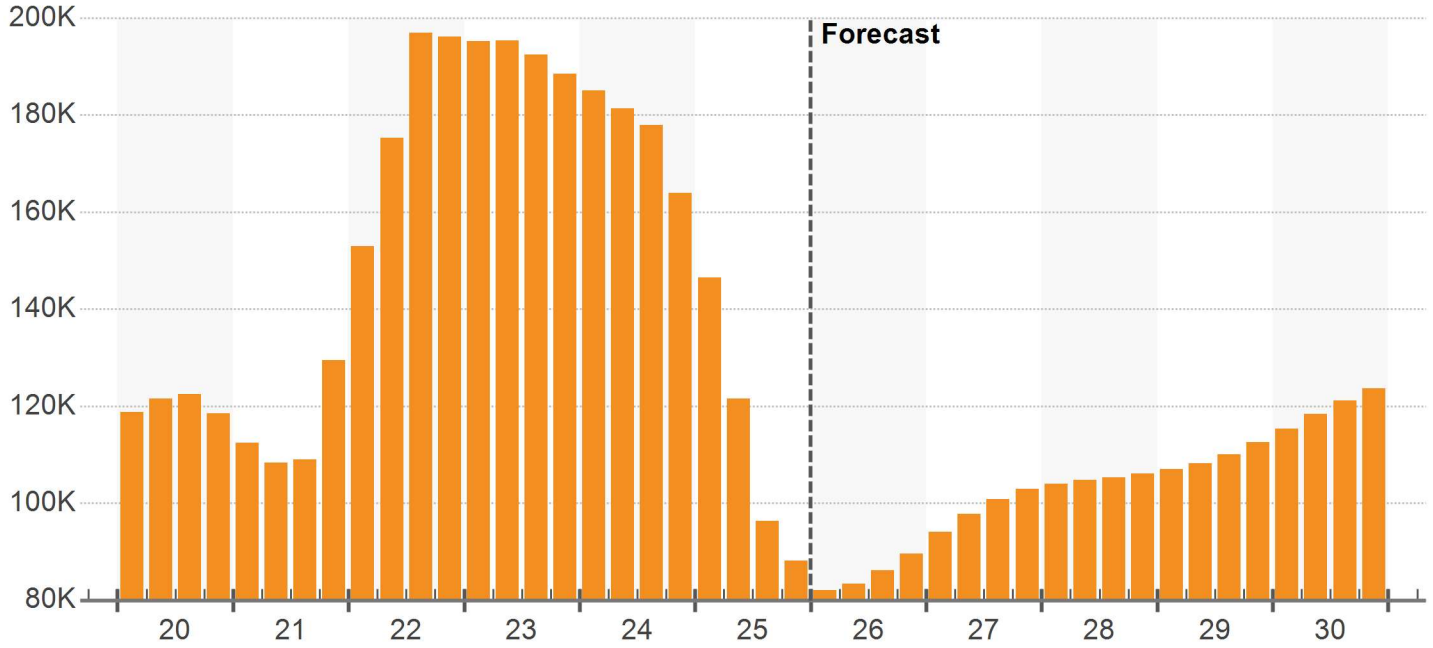

DEMOGRAPHIC TRENDS

	Current Level		12 Month Change		10 Year Change		5 Year Forecast	
Demographic Category	**Metro**	**US**	**Metro**	**US**	**Metro**	**US**	**Metro**	**US**
Population	8,474,768	342,200,344	1.0%	0.3%	1.8%	0.6%	1.2%	0.3%
Households	3,073,514	134,129,234	1.4%	0.7%	1.9%	1.0%	1.5%	0.6%
Median Household Income	$95,448	$84,442	2.3%	2.8%	4.4%	4.2%	3.8%	3.6%
Labor Force	4,578,294	170,954,672	1.5%	0.6%	2.4%	0.8%	0.9%	0.2%
Unemployment	4.1%	4.5%	0.2%	0.4%	0%	0%	-	-

Source: Oxford Economics

POPULATION GROWTH

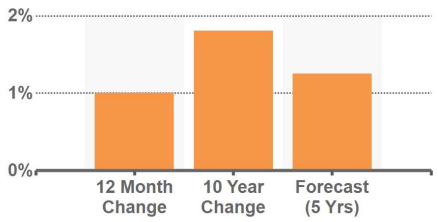

LABOR FORCE GROWTH

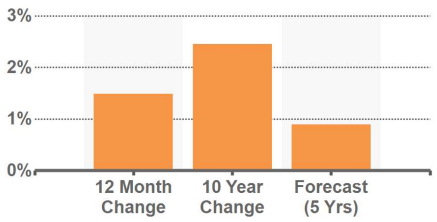

INCOME GROWTH

Source: Oxford Economics

DALLAS-FORT WORTH SUBMARKETS

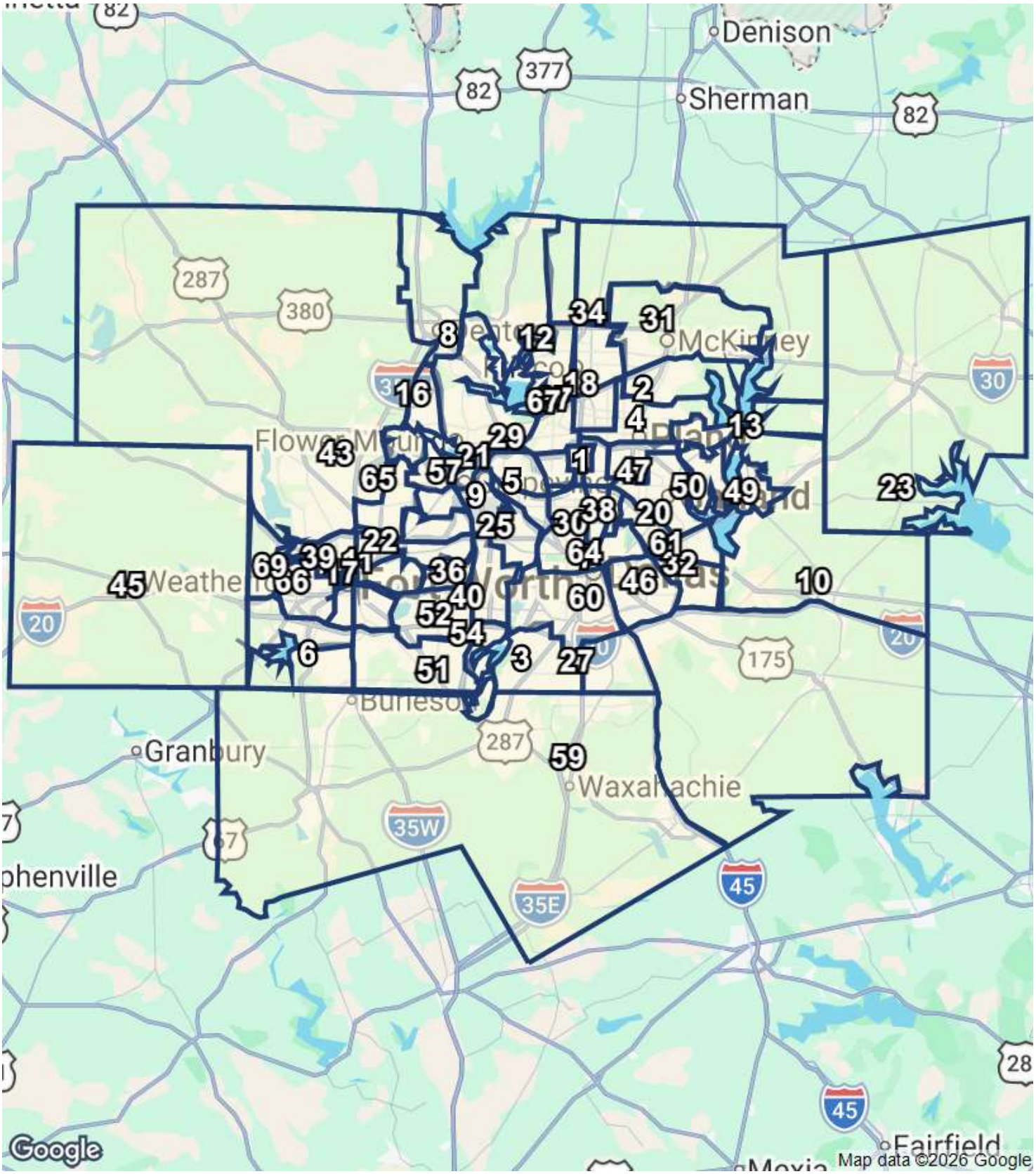

SUBMARKET INVENTORY

		Inventory				12 Month Deliveries				Under Construction			
No.	Submarket	Bldgs	SF (000)	% Market	Rank	Bldgs	SF (000)	Percent	Rank	Bldgs	SF (000)	Percent	Rank
1	Addison	203	2,934	0.6%	56	0	0	0%	-	0	0	0%	-
2	Allen	486	9,094	1.9%	18	8	279	3.1%	6	6	103	1.1%	18
3	C Hill/Dunc'vlle/Deso	732	9,722	2.1%	16	0	0	0%	-	2	25	0.3%	39
4	Central Plano	844	14,883	3.2%	7	3	45	0.3%	22	5	101	0.7%	19
5	Coppell	259	4,024	0.9%	44	1	1	0%	47	0	0	0%	-
6	Crowley/Burleson	242	3,699	0.8%	47	6	61	1.7%	17	3	161	4.4%	11
7	Dallas CBD	93	996	0.2%	64	0	0	0%	-	1	4	0.4%	47
8	Denton	744	9,616	2.1%	17	6	227	2.4%	8	4	432	4.5%	7
9	DFW Airport	13	576	0.1%	67	0	0	0%	-	0	0	0%	-
10	East Dallas Outlying	699	6,323	1.4%	33	11	391	6.2%	4	17	176	2.8%	10
11	East Fort Worth	570	4,642	1.0%	39	0	0	0%	-	0	0	0%	-
12	East Lewisville	302	3,238	0.7%	54	18	268	8.3%	7	9	248	7.7%	8
13	East Plano	27	154	0%	69	1	3	2.0%	44	4	97	62.8%	21
14	Far North Dallas	361	8,298	1.8%	22	2	12	0.1%	38	1	6	0.1%	46
15	Farmers Branch	115	2,545	0.5%	59	0	0	0%	-	0	0	0%	-
16	Flower Mound	61	454	0.1%	68	2	18	4.1%	32	3	64	14.0%	27
17	Fort Worth CBD	72	687	0.1%	65	0	0	0%	-	0	0	0%	-
18	Frisco	650	11,928	2.6%	11	23	219	1.8%	9	21	450	3.8%	5
19	Ft Worth SW Quadrant	581	4,508	1.0%	40	2	11	0.2%	39	8	54	1.2%	30
20	Garland	1,164	15,050	3.2%	6	3	17	0.1%	34	1	17	0.1%	41
21	Grapevine/Colleyville	523	8,735	1.9%	20	3	33	0.4%	24	0	0	0%	-
22	Haltom City	441	3,532	0.8%	51	10	200	5.7%	10	1	8	0.2%	44
23	Hunt County	653	5,447	1.2%	35	3	23	0.4%	28	1	34	0.6%	36
24	Hurst/Euless/Bedford	834	13,363	2.9%	9	4	13	0.1%	37	9	189	1.4%	9
25	Irving	875	10,739	2.3%	12	1	5	0%	43	1	3	0%	48
26	Lakewood	957	6,648	1.4%	31	0	0	0%	-	0	0	0%	-
27	Lancaster	185	2,074	0.4%	60	1	2	0.1%	45	0	0	0%	-
28	Las Colinas	237	3,476	0.7%	52	0	0	0%	-	0	0	0%	-
29	Lewisville	1,072	18,690	4.0%	1	7	61	0.3%	18	6	125	0.7%	13
30	Lovefield/West Dallas	791	6,846	1.5%	30	0	0	0%	-	1	109	1.6%	16
31	McKinney	978	12,923	2.8%	10	40	737	5.7%	1	25	508	3.9%	4
32	Mesquite	362	3,186	0.7%	55	2	6	0.2%	41	2	71	2.2%	25
33	Murphy/Wylie	285	3,660	0.8%	48	3	20	0.5%	30	3	142	3.9%	12
34	N Collin Cty Outlying	439	4,944	1.1%	38	29	680	13.8%	2	25	795	16.1%	1
35	NE Denton Outlying	28	657	0.1%	66	1	55	8.4%	19	2	38	5.7%	35
36	North Arlington	396	5,310	1.1%	36	0	0	0%	-	0	0	0%	-
37	North Carrollton	422	10,061	2.2%	15	3	23	0.2%	29	5	42	0.4%	34
38	North Dallas	110	4,218	0.9%	43	0	0	0%	-	0	0	0%	-
39	North Fort Worth	522	4,331	0.9%	41	0	0	0%	-	1	68	1.6%	26
40	North Grand Prairie	706	8,237	1.8%	23	2	32	0.4%	25	3	75	0.9%	24
41	Northeast Dallas	454	6,397	1.4%	32	0	0	0%	-	0	0	0%	-
42	Northwest Dallas	506	7,556	1.6%	26	0	0	0%	-	0	0	0%	-

© 2026 CoStar Group - Licensed to Williamson Central Appraisal District - 1445675

SUBMARKET INVENTORY

		Inventory				12 Month Deliveries				Under Construction			
No.	Submarket	Bldgs	SF (000)	% Market	Rank	Bldgs	SF (000)	Percent	Rank	Bldgs	SF (000)	Percent	Rank
43	Northwest Fort Worth	1,343	14,535	3.1%	8	33	510	3.5%	3	23	744	5.1%	2
44	Park Cities	253	2,605	0.6%	57	0	0	0%	-	0	0	0%	-
45	Parker County	705	7,485	1.6%	27	7	178	2.4%	13	5	99	1.3%	20
46	Pleasant Gr/SE Dallas	974	8,031	1.7%	24	1	18	0.2%	33	1	26	0.3%	38
47	Richardson	490	7,394	1.6%	28	0	0	0%	-	0	0	0%	-
48	Richland Hills	258	2,568	0.5%	58	1	10	0.4%	40	0	0	0%	-
49	Rockwall	307	5,139	1.1%	37	6	194	3.8%	11	1	109	2.1%	17
50	Sachse/Rowlett	310	3,340	0.7%	53	6	54	1.6%	20	2	49	1.5%	31
51	SE Outlying Tarrant	707	8,511	1.8%	21	5	35	0.4%	23	7	94	1.1%	23
52	South Arlington	1,268	18,670	4.0%	2	2	13	0.1%	35	3	60	0.3%	28
53	South Carrollton	369	3,893	0.8%	45	1	13	0.3%	36	1	15	0.4%	42
54	South Grand Prairie	119	2,023	0.4%	61	2	19	0.9%	31	0	0	0%	-
55	Southeast Fort Worth	526	3,631	0.8%	49	1	1	0%	48	0	0	0%	-
56	Southeast Outlying	529	3,545	0.8%	50	1	6	0.2%	42	1	29	0.8%	37
57	Southlake	240	4,299	0.9%	42	0	0	0%	-	1	18	0.4%	40
58	Southwest Fort Worth	513	8,754	1.9%	19	4	73	0.8%	16	2	46	0.5%	32
59	Southwest Outlying	2,215	18,433	3.9%	3	16	183	1.0%	12	14	437	2.4%	6
60	SW Dallas County	1,638	15,686	3.4%	4	1	25	0.2%	27	3	122	0.8%	14
61	Town East	359	7,623	1.6%	25	4	89	1.2%	15	1	58	0.8%	29
62	Trophy/Roanoke/W'Lake	151	1,769	0.4%	63	1	29	1.6%	26	0	0	0%	-
63	Upper Greenville	308	6,237	1.3%	34	0	0	0%	-	0	0	0%	-
64	Uptown	246	1,960	0.4%	62	1	2	0.1%	46	1	8	0.4%	45
65	Watauga/Keller/NRH	776	10,316	2.2%	13	6	48	0.5%	21	1	42	0.4%	33
66	West Fort Worth	1,077	15,670	3.4%	5	0	0	0%	-	3	96	0.6%	22
67	West Frisco	436	6,910	1.5%	29	8	380	5.5%	5	13	689	10.0%	3
68	West Plano	420	10,272	2.2%	14	7	93	0.9%	14	5	121	1.2%	15
69	White Settlement	274	3,731	0.8%	46	0	0	0%	-	1	9	0.2%	43

© 2026 CoStar Group - Licensed to Williamson Central Appraisal District - 1445675

SUBMARKET RENT

		Market Asking Rent		12 Month Market Asking Rent		QTD Annualized Market Asking Rent	
No.	Submarket	Per SF	Rank	Growth	Rank	Growth	Rank
1	Addison	$28.86	19	3.1%	21	1.8%	12
2	Allen	$30.78	10	3.2%	17	0.5%	24
3	C Hill/Dunc'vlle/Deso	$20.12	59	3.0%	27	-0.4%	33
4	Central Plano	$24.24	33	2.4%	64	-2.1%	57
5	Coppell	$26.16	26	3.1%	23	0.4%	25
6	Crowley/Burleson	$23.28	41	2.7%	52	-0.3%	32
7	Dallas CBD	$30.91	9	4.3%	3	3.7%	5
8	Denton	$23.52	38	2.7%	51	-1.6%	48
9	DFW Airport	$20.20	58	3.5%	9	-2.8%	65
10	East Dallas Outlying	$24.29	32	3.0%	30	-3.0%	67
11	East Fort Worth	$18.14	67	2.7%	54	-1.7%	50
12	East Lewisville	$29.54	17	3.2%	19	-0.6%	34
13	East Plano	$21.58	51	2.7%	47	-2.9%	66
14	Far North Dallas	$31.79	7	3.5%	10	2.3%	8
15	Farmers Branch	$22.44	47	2.6%	58	-1.1%	37
16	Flower Mound	$25.27	31	3.0%	36	-2.4%	59
17	Fort Worth CBD	$23.64	37	2.0%	68	-1.8%	53
18	Frisco	$39.85	3	3.3%	14	0.8%	18
19	Ft Worth SW Quadrant	$23.24	42	1.4%	69	-1.5%	45
20	Garland	$20.29	55	2.8%	44	0.6%	22
21	Grapevine/Colleyville	$30.60	12	3.5%	7	2.7%	7
22	Haltom City	$16.77	69	3.0%	35	-1.5%	47
23	Hunt County	$18.13	68	3.0%	29	-2.8%	64
24	Hurst/Euless/Bedford	$23.51	39	3.2%	20	2.0%	10
25	Irving	$21.04	53	2.7%	48	0.6%	21
26	Lakewood	$25.74	29	2.8%	45	0.8%	17
27	Lancaster	$18.24	66	2.7%	49	-2.2%	58
28	Las Colinas	$29.91	15	3.0%	25	-1.0%	36
29	Lewisville	$25.89	27	3.1%	24	0.7%	19
30	Lovefield/West Dallas	$27.99	21	3.1%	22	0.8%	16
31	McKinney	$29.93	14	3.2%	16	0%	29
32	Mesquite	$20.23	57	2.7%	55	-1.4%	43
33	Murphy/Wylie	$29.58	16	3.0%	33	0.7%	20
34	N Collin Cty Outlying	$30.44	13	3.3%	13	0.3%	26
35	NE Denton Outlying	$29.14	18	3.4%	12	-4.4%	69
36	North Arlington	$22.52	45	2.7%	53	-1.7%	49
37	North Carrollton	$27.04	24	3.5%	8	2.2%	9
38	North Dallas	$37.33	4	4.5%	1	7.3%	1
39	North Fort Worth	$19.64	61	2.9%	37	-2.0%	56
40	North Grand Prairie	$18.70	65	2.7%	56	-1.7%	51
41	Northeast Dallas	$18.85	63	2.6%	60	-1.4%	44
42	Northwest Dallas	$23.64	36	3.0%	28	-1.4%	42

© 2026 CoStar Group - Licensed to Williamson Central Appraisal District - 1445675

SUBMARKET RENT

		Market Asking Rent		12 Month Market Asking Rent		QTD Annualized Market Asking Rent	
No.	Submarket	Per SF	Rank	Growth	Rank	Growth	Rank
43	Northwest Fort Worth	$25.80	28	2.7%	50	-1.3%	41
44	Park Cities	$51.08	1	4.2%	4	6.0%	3
45	Parker County	$21.60	50	3.0%	26	-2.4%	60
46	Pleasant Gr/SE Dallas	$20.02	60	2.8%	42	-2.4%	61
47	Richardson	$23.07	43	2.3%	66	-1.8%	52
48	Richland Hills	$19.20	62	2.7%	57	0%	28
49	Rockwall	$30.76	11	2.9%	41	0.3%	27
50	Sachse/Rowlett	$25.71	30	2.5%	63	-0.1%	31
51	SE Outlying Tarrant	$27.97	22	2.5%	61	-1.1%	38
52	South Arlington	$22.51	46	3.0%	34	1.1%	14
53	South Carrollton	$21.44	52	2.2%	67	-1.9%	54
54	South Grand Prairie	$26.70	25	2.4%	65	-3.6%	68
55	Southeast Fort Worth	$18.76	64	3.0%	32	-1.5%	46
56	Southeast Outlying	$20.26	56	2.8%	43	-2.5%	62
57	Southlake	$33.70	5	4.0%	5	5.2%	4
58	Southwest Fort Worth	$21.89	49	2.8%	46	0.6%	23
59	Southwest Outlying	$22.55	44	2.9%	40	-1.2%	39
60	SW Dallas County	$20.35	54	3.0%	31	-2.0%	55
61	Town East	$24.10	35	3.3%	15	1.9%	11
62	Trophy/Roanoke/W'Lake	$27.96	23	2.9%	38	0%	30
63	Upper Greenville	$28.12	20	3.2%	18	1.1%	15
64	Uptown	$48.83	2	4.4%	2	7.0%	2
65	Watauga/Keller/NRH	$22.18	48	2.5%	62	-1.2%	40
66	West Fort Worth	$23.49	40	2.6%	59	-0.8%	35
67	West Frisco	$31.33	8	3.4%	11	1.6%	13
68	West Plano	$32.28	6	3.7%	6	2.8%	6
69	White Settlement	$24.14	34	2.9%	39	-2.6%	63

© 2026 CoStar Group - Licensed to Williamson Central Appraisal District - 1445675

SUBMARKET VACANCY & NET ABSORPTION

		Vacancy			12 Month Absorption			
No.	Submarket	SF	Percent	Rank	SF	% of Inv	Rank	Construc. Ratio
1	Addison	154,410	5.3%	43	(21,519)	-0.7%	53	-
2	Allen	306,808	3.4%	25	248,921	2.7%	8	1.1
3	C Hill/Dunc'vlle/Deso	510,170	5.2%	42	20,463	0.2%	34	-
4	Central Plano	1,119,794	7.5%	59	(365,354)	-2.5%	68	-
5	Coppell	269,166	6.7%	53	(34,267)	-0.9%	55	-
6	Crowley/Burleson	69,908	1.9%	6	55,344	1.5%	22	1.1
7	Dallas CBD	122,793	12.3%	67	(2,598)	-0.3%	47	-
8	Denton	373,257	3.9%	34	366,925	3.8%	4	0.6
9	DFW Airport	7,885	1.4%	2	0	0%	-	-
10	East Dallas Outlying	181,361	2.9%	17	417,744	6.6%	3	0.9
11	East Fort Worth	179,993	3.9%	33	(47,204)	-1.0%	58	-
12	East Lewisville	118,871	3.7%	28	215,599	6.7%	9	1.2
13	East Plano	840	0.5%	1	2,160	1.4%	41	1.4
14	Far North Dallas	542,563	6.5%	51	(74,771)	-0.9%	63	-
15	Farmers Branch	396,295	15.6%	68	(83,334)	-3.3%	65	-
16	Flower Mound	20,113	4.4%	36	35,898	7.9%	28	0.3
17	Fort Worth CBD	48,264	7.0%	55	99	0%	42	-
18	Frisco	401,187	3.4%	24	251,813	2.1%	7	0.7
19	Ft Worth SW Quadrant	332,360	7.4%	58	(63,283)	-1.4%	59	-
20	Garland	801,534	5.3%	44	(10,677)	-0.1%	50	-
21	Grapevine/Colleyville	531,874	6.1%	47	91,365	1.0%	15	0.2
22	Haltom City	221,827	6.3%	50	190,730	5.4%	11	1.1
23	Hunt County	203,980	3.7%	31	(30,125)	-0.6%	54	-
24	Hurst/Euless/Bedford	1,109,853	8.3%	63	(232,438)	-1.7%	67	-
25	Irving	287,646	2.7%	15	75,470	0.7%	17	0
26	Lakewood	389,971	5.9%	46	25,773	0.4%	31	-
27	Lancaster	199,280	9.6%	66	(3,519)	-0.2%	49	-
28	Las Colinas	107,079	3.1%	19	40,620	1.2%	26	-
29	Lewisville	1,161,219	6.2%	49	(181,518)	-1.0%	66	-
30	Lovefield/West Dallas	313,527	4.6%	39	(63,511)	-0.9%	60	-
31	McKinney	455,682	3.5%	26	581,711	4.5%	2	1.2
32	Mesquite	74,210	2.3%	10	(254)	0%	44	-
33	Murphy/Wylie	94,250	2.6%	14	2,619	0.1%	40	6.2
34	N Collin Cty Outlying	115,309	2.3%	11	639,318	12.9%	1	1.0
35	NE Denton Outlying	-	-	-	56,239	8.6%	21	-
36	North Arlington	238,701	4.5%	37	30,738	0.6%	30	-
37	North Carrollton	288,783	2.9%	18	18,885	0.2%	36	0.9
38	North Dallas	96,687	2.3%	9	64,154	1.5%	20	-
39	North Fort Worth	157,833	3.6%	27	(2,084)	0%	46	-
40	North Grand Prairie	266,118	3.2%	20	(69,104)	-0.8%	62	-
41	Northeast Dallas	467,176	7.3%	57	(46,612)	-0.7%	56	-
42	Northwest Dallas	251,938	3.3%	22	46,470	0.6%	24	-

© 2026 CoStar Group - Licensed to Williamson Central Appraisal District - 1445675

SUBMARKET VACANCY & NET ABSORPTION

		Vacancy			12 Month Absorption			
No.	Submarket	SF	Percent	Rank	SF	% of Inv	Rank	Construc. Ratio
43	Northwest Fort Worth	554,893	3.8%	32	323,563	2.2%	5	1.5
44	Park Cities	127,883	4.9%	41	35,281	1.4%	29	-
45	Parker County	251,324	3.4%	23	127,704	1.7%	13	0.8
46	Pleasant Gr/SE Dallas	194,470	2.4%	12	71,032	0.9%	18	-
47	Richardson	525,450	7.1%	56	94,887	1.3%	14	-
48	Richland Hills	233,196	9.1%	65	(78,979)	-3.1%	64	-
49	Rockwall	81,369	1.6%	3	205,859	4.0%	10	0.9
50	Sachse/Rowlett	91,756	2.7%	16	40,437	1.2%	27	1.3
51	SE Outlying Tarrant	315,356	3.7%	30	25,764	0.3%	32	1.3
52	South Arlington	803,725	4.3%	35	68,278	0.4%	19	-
53	South Carrollton	255,012	6.6%	52	23,731	0.6%	33	-
54	South Grand Prairie	33,475	1.7%	4	11,492	0.6%	37	1.7
55	Southeast Fort Worth	78,796	2.2%	7	(2,918)	-0.1%	48	-
56	Southeast Outlying	77,901	2.2%	8	19,769	0.6%	35	0.3
57	Southlake	105,342	2.5%	13	(1,435)	0%	45	-
58	Southwest Fort Worth	665,021	7.6%	60	(63,882)	-0.7%	61	-
59	Southwest Outlying	601,512	3.3%	21	134,286	0.7%	12	0.9
60	SW Dallas County	1,298,417	8.3%	61	(514,693)	-3.3%	69	-
61	Town East	667,127	8.8%	64	(12,929)	-0.2%	52	-
62	Trophy/Roanoke/W'Lake	84,148	4.8%	40	48,481	2.7%	23	0.6
63	Upper Greenville	229,648	3.7%	29	79,308	1.3%	16	-
64	Uptown	110,025	5.6%	45	10,034	0.5%	38	-
65	Watauga/Keller/NRH	637,204	6.2%	48	(47,091)	-0.5%	57	-
66	West Fort Worth	1,300,750	8.3%	62	(12,054)	-0.1%	51	-
67	West Frisco	313,840	4.5%	38	301,398	4.4%	6	1.2
68	West Plano	690,589	6.7%	54	9,522	0.1%	39	4.2
69	White Settlement	69,120	1.9%	5	40,878	1.1%	25	-

© 2026 CoStar Group - Licensed to Williamson Central Appraisal District - 1445675

Supply & Demand Trends

Dallas-Fort Worth Retail

OVERALL SUPPLY & DEMAND

	Inventory			Net Absorption		
Year	SF	SF Growth	% Growth	SF	% of Inv	Construction Ratio
2030	477,796,227	2,883,706	0.6%	1,920,088	0.4%	1.5
2029	474,912,521	(12,892)	0%	(471,133)	-0.1%	-
2028	474,925,413	(248,758)	-0.1%	(471,815)	-0.1%	-
2027	475,174,171	2,022,546	0.4%	2,550,144	0.5%	0.8
2026	473,151,625	5,047,651	1.1%	3,570,103	0.8%	1.4
YTD	468,771,455	667,481	0.1%	(39,862)	0%	-
2025	468,103,974	5,194,788	1.1%	3,209,735	0.7%	1.6
2024	462,909,186	3,470,142	0.8%	3,220,746	0.7%	1.1
2023	459,439,044	3,715,948	0.8%	3,953,777	0.9%	0.9
2022	455,723,096	1,701,257	0.4%	5,481,529	1.2%	0.3
2021	454,021,839	1,937,413	0.4%	5,259,106	1.2%	0.4
2020	452,084,426	5,121,773	1.1%	(2,214,849)	-0.5%	-
2019	446,962,653	5,407,052	1.2%	3,759,615	0.8%	1.4
2018	441,555,601	6,705,773	1.5%	7,430,933	1.7%	0.9
2017	434,849,828	5,848,139	1.4%	6,686,999	1.5%	0.9
2016	429,001,689	5,824,376	1.4%	8,519,549	2.0%	0.7
2015	423,177,313	8,313,875	2.0%	10,289,411	2.4%	0.8
2014	414,863,438	5,265,727	1.3%	8,036,372	1.9%	0.7

MALLS SUPPLY & DEMAND

	Inventory			Net Absorption		
Year	SF	SF Growth	% Growth	SF	% of Inv	Construction Ratio
2030	35,302,835	87,162	0.2%	70,148	0.2%	1.2
2029	35,215,673	(3,606)	0%	(60,352)	-0.2%	-
2028	35,219,279	(26,469)	-0.1%	(120,854)	-0.3%	-
2027	35,245,748	12,346	0%	26,693	0.1%	0.5
2026	35,233,402	70,589	0.2%	(22,533)	-0.1%	-
YTD	35,162,813	0	0%	(20,927)	-0.1%	-
2025	35,162,813	50,000	0.1%	(95,659)	-0.3%	-
2024	35,112,813	0	0%	89,325	0.3%	0
2023	35,112,813	101,545	0.3%	(143,840)	-0.4%	-
2022	35,011,268	34,031	0.1%	524,594	1.5%	0.1
2021	34,977,237	(1,287,785)	-3.6%	(612,924)	-1.8%	-
2020	36,265,022	395,287	1.1%	(1,439,392)	-4.0%	-
2019	35,869,735	205,440	0.6%	(78,750)	-0.2%	-
2018	35,664,295	414,060	1.2%	479,268	1.3%	0.9
2017	35,250,235	632,887	1.8%	586,171	1.7%	1.1
2016	34,617,348	313,110	0.9%	435,889	1.3%	0.7
2015	34,304,238	2,773,538	8.8%	2,917,065	8.5%	1.0
2014	31,530,700	189,107	0.6%	353,160	1.1%	0.5

© 2026 CoStar Group - Licensed to Williamson Central Appraisal District - 1445675

Supply & Demand Trends

Dallas-Fort Worth Retail

POWER CENTER SUPPLY & DEMAND

	Inventory			Net Absorption		
Year	SF	SF Growth	% Growth	SF	% of Inv	Construction Ratio
2030	33,892,986	124,850	0.4%	75,938	0.2%	1.6
2029	33,768,136	8,960	0%	(39,899)	-0.1%	-
2028	33,759,176	(23,287)	-0.1%	(86,305)	-0.3%	-
2027	33,782,463	(581)	0%	9,792	0%	-
2026	33,783,044	93,092	0.3%	71,304	0.2%	1.3
YTD	33,689,952	0	0%	19,829	0.1%	0
2025	33,689,952	149,293	0.4%	(9,976)	0%	-
2024	33,540,659	36,973	0.1%	103,612	0.3%	0.4
2023	33,503,686	311,518	0.9%	471,197	1.4%	0.7
2022	33,192,168	45,604	0.1%	317,296	1.0%	0.1
2021	33,146,564	354,714	1.1%	643,429	1.9%	0.6
2020	32,791,850	51,532	0.2%	(485,976)	-1.5%	-
2019	32,740,318	851,739	2.7%	273,229	0.8%	3.1
2018	31,888,579	665,940	2.1%	571,393	1.8%	1.2
2017	31,222,639	911,156	3.0%	1,080,387	3.5%	0.8
2016	30,311,483	446,544	1.5%	376,890	1.2%	1.2
2015	29,864,939	899,143	3.1%	1,112,767	3.7%	0.8
2014	28,965,796	266,197	0.9%	429,304	1.5%	0.6

NEIGHBORHOOD CENTER SUPPLY & DEMAND

	Inventory			Net Absorption		
Year	SF	SF Growth	% Growth	SF	% of Inv	Construction Ratio
2030	121,273,825	500,853	0.4%	409,945	0.3%	1.2
2029	120,772,972	61,152	0.1%	(147,158)	-0.1%	-
2028	120,711,820	(27,941)	0%	(302,401)	-0.3%	-
2027	120,739,761	331,285	0.3%	441,906	0.4%	0.7
2026	120,408,476	381,112	0.3%	270,226	0.2%	1.4
YTD	120,198,844	171,480	0.1%	257,330	0.2%	0.7
2025	120,027,364	614,648	0.5%	(433,862)	-0.4%	-
2024	119,412,716	412,503	0.3%	551,214	0.5%	0.7
2023	119,000,213	448,196	0.4%	1,126,908	0.9%	0.4
2022	118,552,017	(116,266)	-0.1%	1,405,781	1.2%	-
2021	118,668,283	49,471	0%	1,093,621	0.9%	0
2020	118,618,812	491,724	0.4%	(1,875,337)	-1.6%	-
2019	118,127,088	324,799	0.3%	142,795	0.1%	2.3
2018	117,802,289	1,345,166	1.2%	1,695,701	1.4%	0.8
2017	116,457,123	1,217,290	1.1%	944,705	0.8%	1.3
2016	115,239,833	1,489,142	1.3%	2,831,362	2.5%	0.5
2015	113,750,691	938,818	0.8%	1,837,768	1.6%	0.5
2014	112,811,873	1,741,482	1.6%	3,092,409	2.7%	0.6

© 2026 CoStar Group - Licensed to Williamson Central Appraisal District - 1445675

Supply & Demand Trends

Dallas-Fort Worth Retail

STRIP CENTER SUPPLY & DEMAND

	Inventory			Net Absorption		
Year	SF	SF Growth	% Growth	SF	% of Inv	Construction Ratio
2030	32,567,078	224,480	0.7%	179,298	0.6%	1.3
2029	32,342,598	38,546	0.1%	(34,109)	-0.1%	-
2028	32,304,052	(19,303)	-0.1%	(83,503)	-0.3%	-
2027	32,323,355	79,130	0.2%	208,527	0.6%	0.4
2026	32,244,225	79,893	0.2%	46,943	0.1%	1.7
YTD	32,179,380	15,048	0%	(8,915)	0%	-
2025	32,164,332	533,076	1.7%	201,279	0.6%	2.6
2024	31,631,256	187,966	0.6%	190,161	0.6%	1.0
2023	31,443,290	57,994	0.2%	(71,206)	-0.2%	-
2022	31,385,296	45,994	0.1%	338,460	1.1%	0.1
2021	31,339,302	144,847	0.5%	467,239	1.5%	0.3
2020	31,194,455	204,752	0.7%	(310,997)	-1.0%	-
2019	30,989,703	150,911	0.5%	9,768	0%	15.4
2018	30,838,792	222,181	0.7%	588,577	1.9%	0.4
2017	30,616,611	485,978	1.6%	505,820	1.7%	1.0
2016	30,130,633	266,547	0.9%	535,648	1.8%	0.5
2015	29,864,086	332,293	1.1%	612,594	2.1%	0.5
2014	29,531,793	153,766	0.5%	411,810	1.4%	0.4

GENERAL RETAIL SUPPLY & DEMAND

	Inventory			Net Absorption		
Year	SF	SF Growth	% Growth	SF	% of Inv	Construction Ratio
2030	250,927,235	1,892,005	0.8%	1,148,458	0.5%	1.6
2029	249,035,230	(122,931)	0%	(185,815)	-0.1%	-
2028	249,158,161	(142,715)	-0.1%	130,897	0.1%	-
2027	249,300,876	1,598,322	0.6%	1,824,057	0.7%	0.9
2026	247,702,554	4,253,735	1.7%	3,079,269	1.2%	1.4
YTD	243,929,772	480,953	0.2%	(295,375)	-0.1%	-
2025	243,448,819	3,847,771	1.6%	3,526,560	1.4%	1.1
2024	239,601,048	2,819,070	1.2%	2,216,730	0.9%	1.3
2023	236,781,978	2,841,556	1.2%	2,599,618	1.1%	1.1
2022	233,940,422	1,769,698	0.8%	2,850,730	1.2%	0.6
2021	232,170,724	2,676,166	1.2%	3,757,198	1.6%	0.7
2020	229,494,558	3,958,267	1.8%	1,981,820	0.9%	2.0
2019	225,536,291	3,800,884	1.7%	3,293,265	1.5%	1.2
2018	221,735,407	3,758,426	1.7%	3,872,627	1.7%	1.0
2017	217,976,981	2,026,606	0.9%	2,886,293	1.3%	0.7
2016	215,950,375	3,309,033	1.6%	4,363,430	2.0%	0.8
2015	212,641,342	3,370,083	1.6%	3,741,178	1.8%	0.9
2014	209,271,259	2,915,175	1.4%	3,711,456	1.8%	0.8

© 2026 CoStar Group - Licensed to Williamson Central Appraisal District - 1445675

OTHER SUPPLY & DEMAND

	Inventory			Net Absorption		
Year	SF	SF Growth	% Growth	SF	% of Inv	Construction Ratio
2030	3,832,268	54,356	1.4%	36,301	0.9%	1.5
2029	3,777,912	4,987	0.1%	(3,800)	-0.1%	-
2028	3,772,925	(9,043)	-0.2%	(9,649)	-0.3%	-
2027	3,781,968	2,044	0.1%	39,169	1.0%	0.1
2026	3,779,924	169,230	4.7%	124,894	3.3%	1.4
YTD	3,610,694	0	0%	8,196	0.2%	0
2025	3,610,694	0	0%	21,393	0.6%	0
2024	3,610,694	13,630	0.4%	69,704	1.9%	0.2
2023	3,597,064	(44,861)	-1.2%	(28,900)	-0.8%	-
2022	3,641,925	(77,804)	-2.1%	44,668	1.2%	-
2021	3,719,729	0	0%	(89,457)	-2.4%	-
2020	3,719,729	20,211	0.5%	(84,967)	-2.3%	-
2019	3,699,518	73,279	2.0%	119,308	3.2%	0.6
2018	3,626,239	300,000	9.0%	223,367	6.2%	1.3
2017	3,326,239	574,222	20.9%	683,623	20.6%	0.8
2016	2,752,017	0	0%	(23,670)	-0.9%	-
2015	2,752,017	0	0%	68,039	2.5%	0
2014	2,752,017	0	0%	38,233	1.4%	0

© 2026 CoStar Group - Licensed to Williamson Central Appraisal District - 1445675

OVERALL RENT & VACANCY

	Market Asking Rent				Vacancy		
Year	Per SF	Index	% Growth	Vs Hist Peak	SF	Percent	Ppts Chg
2030	$29.55	182	2.5%	17.4%	25,353,783	5.3%	0.2%
2029	$28.83	178	2.9%	14.5%	24,430,277	5.1%	0.1%
2028	$28.01	172	3.9%	11.3%	23,920,043	5.0%	0%
2027	$26.97	166	4.3%	7.1%	23,713,870	5.0%	-0.1%
2026	$25.86	159	2.7%	2.7%	24,240,188	5.1%	0.3%
YTD	$25.18	155	3.0%	0%	23,392,464	5.0%	0.1%
2025	$25.17	155	3.7%	0%	22,685,121	4.8%	0.4%
2024	$24.26	149	4.8%	-3.6%	20,689,475	4.5%	0%
2023	$23.16	143	4.9%	-8.0%	20,445,369	4.5%	-0.1%
2022	$22.08	136	5.1%	-12.3%	20,694,302	4.5%	-0.9%
2021	$21.02	129	3.8%	-16.5%	24,490,542	5.4%	-0.8%
2020	$20.24	125	2.6%	-19.6%	27,863,050	6.2%	1.6%
2019	$19.73	121	2.7%	-21.6%	20,535,095	4.6%	0.3%
2018	$19.22	118	3.5%	-23.6%	18,892,804	4.3%	-0.2%
2017	$18.57	114	4.0%	-26.2%	19,569,093	4.5%	-0.2%
2016	$17.86	110	2.8%	-29.0%	20,234,767	4.7%	-0.7%
2015	$17.38	107	3.2%	-31.0%	22,971,031	5.4%	-0.6%
2014	$16.83	104	3.3%	-33.1%	24,983,648	6.0%	-0.8%

MALLS RENT & VACANCY

	Market Asking Rent				Vacancy		
Year	Per SF	Index	% Growth	Vs Hist Peak	SF	Percent	Ppts Chg
2030	$37.53	171	2.2%	16.7%	2,458,419	7.0%	0%
2029	$36.72	167	2.6%	14.1%	2,441,941	6.9%	0.2%
2028	$35.77	163	3.6%	11.2%	2,384,712	6.8%	0.3%
2027	$34.54	157	4.0%	7.4%	2,289,513	6.5%	0%
2026	$33.22	151	3.3%	3.3%	2,304,009	6.5%	0.3%
YTD	$32.45	148	4.2%	0.9%	2,231,547	6.3%	0.1%
2025	$32.16	146	3.7%	0%	2,210,620	6.3%	0.4%
2024	$31.02	141	4.8%	-3.6%	2,064,961	5.9%	-0.3%
2023	$29.60	135	4.2%	-8.0%	2,154,286	6.1%	0.7%
2022	$28.42	129	4.0%	-11.6%	1,908,901	5.5%	-1.4%
2021	$27.33	124	2.4%	-15.0%	2,399,464	6.9%	-1.6%
2020	$26.68	121	1.0%	-17.0%	3,074,325	8.5%	5.0%
2019	$26.42	120	1.6%	-17.9%	1,239,646	3.5%	0.8%
2018	$26	118	3.5%	-19.2%	955,456	2.7%	-0.2%
2017	$25.12	114	4.0%	-21.9%	1,030,156	2.9%	0.1%
2016	$24.16	110	2.8%	-24.9%	983,440	2.8%	-0.4%
2015	$23.50	107	4.3%	-26.9%	1,106,219	3.2%	-0.7%
2014	$22.54	102	3.6%	-29.9%	1,249,746	4.0%	-0.5%

© 2026 CoStar Group - Licensed to Williamson Central Appraisal District - 1445675

POWER CENTER RENT & VACANCY

	Market Asking Rent				Vacancy		
Year	Per SF	Index	% Growth	Vs Hist Peak	SF	Percent	Ppts Chg
2030	$34.51	180	2.4%	19.3%	1,700,942	5.0%	0.1%
2029	$33.71	176	2.9%	16.5%	1,652,959	4.9%	0.1%
2028	$32.76	171	3.9%	13.2%	1,603,570	4.8%	0.2%
2027	$31.52	164	4.7%	8.9%	1,538,973	4.6%	0%
2026	$30.11	157	4.1%	4.1%	1,548,780	4.6%	0.1%
YTD	$29.02	151	3.4%	0.3%	1,505,996	4.5%	-0.1%
2025	$28.94	151	3.8%	0%	1,525,825	4.5%	0.5%
2024	$27.88	145	4.8%	-3.7%	1,366,556	4.1%	-0.2%
2023	$26.59	139	4.8%	-8.1%	1,433,195	4.3%	-0.5%
2022	$25.37	132	4.8%	-12.3%	1,592,874	4.8%	-0.8%
2021	$24.21	126	3.3%	-16.4%	1,864,566	5.6%	-0.9%
2020	$23.44	122	2.1%	-19.0%	2,153,281	6.6%	1.6%
2019	$22.95	120	2.1%	-20.7%	1,615,773	4.9%	1.7%
2018	$22.49	117	3.5%	-22.3%	1,037,263	3.3%	0.2%
2017	$21.72	113	4.1%	-25.0%	942,716	3.0%	-0.6%
2016	$20.86	109	2.7%	-27.9%	1,111,951	3.7%	0.2%
2015	$20.31	106	3.6%	-29.8%	1,042,297	3.5%	-0.8%
2014	$19.61	102	3.0%	-32.2%	1,255,921	4.3%	-0.6%

NEIGHBORHOOD CENTER RENT & VACANCY

	Market Asking Rent				Vacancy		
Year	Per SF	Index	% Growth	Vs Hist Peak	SF	Percent	Ppts Chg
2030	$28.61	185	2.7%	19.0%	9,875,141	8.1%	0%
2029	$27.85	181	3.2%	15.9%	9,792,960	8.1%	0.2%
2028	$26.98	175	4.2%	12.2%	9,578,288	7.9%	0.2%
2027	$25.90	168	4.7%	7.7%	9,306,342	7.7%	-0.1%
2026	$24.74	160	2.9%	2.9%	9,418,913	7.8%	0.1%
YTD	$24.04	156	3.2%	0%	9,220,185	7.7%	-0.1%
2025	$24.04	156	4.0%	0%	9,306,035	7.8%	0.8%
2024	$23.12	150	5.0%	-3.8%	8,257,525	6.9%	-0.1%
2023	$22.01	143	5.2%	-8.4%	8,396,236	7.1%	-0.6%
2022	$20.93	136	5.4%	-12.9%	9,074,948	7.7%	-1.3%
2021	$19.86	129	3.9%	-17.4%	10,596,995	8.9%	-0.9%
2020	$19.13	124	2.6%	-20.4%	11,675,403	9.8%	2.0%
2019	$18.65	121	2.7%	-22.4%	9,298,442	7.9%	0.1%
2018	$18.16	118	3.6%	-24.5%	9,126,338	7.7%	-0.3%
2017	$17.53	114	4.1%	-27.1%	9,392,873	8.1%	0.1%
2016	$16.84	109	2.7%	-30.0%	9,130,448	7.9%	-1.3%
2015	$16.39	106	3.2%	-31.8%	10,472,668	9.2%	-0.9%
2014	$15.88	103	3.2%	-34.0%	11,371,618	10.1%	-1.4%

© 2026 CoStar Group - Licensed to Williamson Central Appraisal District - 1445675

STRIP CENTER RENT & VACANCY

	Market Asking Rent				Vacancy		
Year	Per SF	Index	% Growth	Vs Hist Peak	SF	Percent	Ppts Chg
2030	$28.23	183	2.6%	17.6%	2,457,268	7.5%	0.1%
2029	$27.53	179	3.0%	14.6%	2,414,899	7.5%	0.2%
2028	$26.71	174	4.1%	11.2%	2,340,154	7.2%	0.2%
2027	$25.67	167	4.5%	6.9%	2,275,929	7.0%	-0.4%
2026	$24.57	160	2.3%	2.3%	2,405,673	7.5%	0.1%
YTD	$23.98	156	2.9%	-0.1%	2,389,009	7.4%	0.1%
2025	$24.01	156	3.8%	0%	2,365,046	7.4%	0.9%
2024	$23.13	150	4.7%	-3.7%	2,033,249	6.4%	0%
2023	$22.10	144	5.2%	-8.0%	2,035,444	6.5%	0.4%
2022	$21.01	136	5.4%	-12.5%	1,906,244	6.1%	-0.9%
2021	$19.94	129	4.1%	-17.0%	2,198,710	7.0%	-1.1%
2020	$19.15	124	2.9%	-20.2%	2,521,102	8.1%	1.6%
2019	$18.61	121	2.6%	-22.5%	2,005,353	6.5%	0.4%
2018	$18.14	118	3.7%	-24.5%	1,864,210	6.0%	-1.2%
2017	$17.49	114	3.9%	-27.2%	2,230,606	7.3%	-0.2%
2016	$16.84	109	2.6%	-29.9%	2,250,448	7.5%	-1.0%
2015	$16.41	107	2.8%	-31.7%	2,539,281	8.5%	-1.1%
2014	$15.97	104	3.3%	-33.5%	2,847,897	9.6%	-1.0%

GENERAL RETAIL RENT & VACANCY

	Market Asking Rent				Vacancy		
Year	Per SF	Index	% Growth	Vs Hist Peak	SF	Percent	Ppts Chg
2030	$28.36	183	2.4%	16.5%	8,702,860	3.5%	0.3%
2029	$27.69	178	2.9%	13.7%	7,986,340	3.2%	0%
2028	$26.92	173	3.7%	10.6%	7,880,979	3.2%	-0.1%
2027	$25.95	167	4.1%	6.6%	8,171,472	3.3%	-0.1%
2026	$24.93	161	2.4%	2.4%	8,394,033	3.4%	0.5%
YTD	$24.31	157	2.6%	-0.1%	7,929,590	3.3%	0.3%
2025	$24.35	157	3.6%	0%	7,153,262	2.9%	0.1%
2024	$23.50	151	4.6%	-3.5%	6,821,458	2.8%	0.2%
2023	$22.47	145	4.9%	-7.7%	6,224,408	2.6%	0.1%
2022	$21.43	138	5.1%	-12.0%	5,993,574	2.6%	-0.5%
2021	$20.38	131	4.1%	-16.3%	7,090,574	3.1%	-0.5%
2020	$19.56	126	2.9%	-19.7%	8,188,163	3.6%	0.8%
2019	$19.01	122	2.9%	-22.0%	6,230,283	2.8%	0.2%
2018	$18.46	119	3.5%	-24.2%	5,717,910	2.6%	-0.1%
2017	$17.84	115	3.9%	-26.7%	5,857,748	2.7%	-0.3%
2016	$17.18	111	2.9%	-29.5%	6,534,085	3.0%	-0.6%
2015	$16.70	108	3.0%	-31.4%	7,609,841	3.6%	-0.2%
2014	$16.21	104	3.3%	-33.4%	7,989,702	3.8%	-0.4%

© 2026 CoStar Group - Licensed to Williamson Central Appraisal District - 1445675

OTHER RENT & VACANCY

	Market Asking Rent				Vacancy		
Year	Per SF	Index	% Growth	Vs Hist Peak	SF	Percent	Ppts Chg
2030	$30.23	174	2.0%	13.4%	159,153	4.2%	0.4%
2029	$29.65	171	2.4%	11.2%	141,178	3.7%	0.2%
2028	$28.96	167	3.1%	8.6%	132,340	3.5%	0%
2027	$28.08	162	3.3%	5.3%	131,641	3.5%	-1.0%
2026	$27.18	157	1.9%	1.9%	168,780	4.5%	1.0%
YTD	$26.72	154	3.9%	0.2%	116,137	3.2%	-0.2%
2025	$26.66	154	4.4%	0%	124,333	3.4%	-0.6%
2024	$25.55	147	5.1%	-4.2%	145,726	4.0%	-1.6%
2023	$24.32	140	4.7%	-8.8%	201,800	5.6%	-0.4%
2022	$23.22	134	5.1%	-12.9%	217,761	6.0%	-3.2%
2021	$22.09	127	3.6%	-17.2%	340,233	9.1%	2.4%
2020	$21.31	123	2.0%	-20.1%	250,776	6.7%	2.8%
2019	$20.89	120	2.5%	-21.6%	145,598	3.9%	-1.3%
2018	$20.38	117	3.6%	-23.6%	191,627	5.3%	1.8%
2017	$19.67	113	4.0%	-26.2%	114,994	3.5%	-4.7%
2016	$18.91	109	2.6%	-29.1%	224,395	8.2%	0.9%
2015	$18.42	106	3.7%	-30.9%	200,725	7.3%	-2.5%
2014	$17.76	102	3.6%	-33.4%	268,764	9.8%	-1.4%

© 2026 CoStar Group - Licensed to Williamson Central Appraisal District - 1445675

OVERALL SALES

	Completed Transactions (1)						Market Pricing Trends (2)		
Year	Deals	Volume	Turnover	Avg Price	Avg Price/SF	Avg Cap Rate	Price/SF	Price Index	Cap Rate
2030	-	-	-	-	-	-	$338.71	241	6.5%
2029	-	-	-	-	-	-	$329.81	234	6.6%
2028	-	-	-	-	-	-	$317.97	226	6.6%
2027	-	-	-	-	-	-	$302.63	215	6.7%
2026	-	-	-	-	-	-	$286.57	204	6.7%
YTD	209	$46M	0.5%	$2,553,833	$478.45	6.3%	$279.10	198	6.8%
2025	1,938	$1.4B	4.5%	$6,339,385	$330.90	6.6%	$277.40	197	6.8%
2024	1,575	$670.5M	3.6%	$3,133,393	$252.79	6.4%	$264.54	188	6.8%
2023	1,576	$622.6M	3.4%	$2,804,330	$244.61	6.2%	$261.74	186	6.7%
2022	1,988	$1.2B	5.0%	$3,822,678	$289.82	5.6%	$256.52	182	6.5%
2021	2,432	$1.3B	6.6%	$3,722,302	$260.27	6.1%	$244.22	174	6.6%
2020	1,650	$674.4M	3.1%	$2,798,292	$289.57	6.2%	$233.55	166	6.6%
2019	1,810	$1.4B	4.4%	$3,659,807	$211.93	6.8%	$222.22	158	6.8%
2018	1,885	$1.2B	5.4%	$3,068,187	$193.39	6.5%	$213.89	152	6.9%
2017	1,881	$1.5B	4.9%	$3,589,108	$196.71	6.5%	$206.79	147	6.9%
2016	1,934	$874.6M	4.5%	$2,716,002	$229.75	6.6%	$203.14	144	6.9%
2015	1,727	$1.7B	5.5%	$4,200,246	$187.45	7.0%	$201.36	143	6.8%

(1) Completed transaction data is based on actual arms-length sales transactions and levels are dependent on the mix of what happened to sell in the period.
(2) Market price trends data is based on the estimated price movement of all properties in the market, informed by actual transactions that have occurred. The price index is not smoothed.

MALLS SALES

	Completed Transactions (1)						Market Pricing Trends (2)		
Year	Deals	Volume	Turnover	Avg Price	Avg Price/SF	Avg Cap Rate	Price/SF	Price Index	Cap Rate
2030	-	-	-	-	-	-	$306.62	229	6.5%
2029	-	-	-	-	-	-	$299.70	223	6.5%
2028	-	-	-	-	-	-	$290.17	216	6.5%
2027	-	-	-	-	-	-	$277.33	207	6.6%
2026	-	-	-	-	-	-	$264.03	197	6.7%
YTD	1	-	0%	-	-	-	$258.08	192	6.7%
2025	9	$570M	5.8%	$570,000,000	$500	-	$256.16	191	6.7%
2024	7	$6.9M	1.8%	$6,860,000	$127.39	6.2%	$246	183	6.7%
2023	10	$3M	0.6%	$2,950,000	$590.95	4.0%	$244.99	183	6.6%
2022	45	$46.1M	7.2%	$15,366,667	$76.57	5.8%	$240.07	179	6.4%
2021	58	$25.8M	4.7%	$6,443,352	$88.20	6.6%	$229	171	6.4%
2020	13	$3.9M	1.8%	$1,969,000	$186.64	7.1%	$219.97	164	6.5%
2019	35	$198.8M	5.5%	$9,468,978	$155.11	5.0%	$209.37	156	6.7%
2018	33	$74.9M	13.0%	$10,704,947	$59.16	-	$200.97	150	6.7%
2017	10	$32.3M	2.8%	$6,459,374	$51.88	7.5%	$194.64	145	6.8%
2016	36	$23.1M	2.9%	$3,841,667	$131.17	6.3%	$192.14	143	6.7%
2015	43	$156.9M	5.4%	$12,072,363	$277.48	6.9%	$191.11	143	6.6%

(1) Completed transaction data is based on actual arms-length sales transactions and levels are dependent on the mix of what happened to sell in the period.
(2) Market price trends data is based on the estimated price movement of all properties in the market, informed by actual transactions that have occurred. The price index is not smoothed.

© 2026 CoStar Group - Licensed to Williamson Central Appraisal District - 1445675

POWER CENTER SALES

	Completed Transactions (1)						Market Pricing Trends (2)		
Year	Deals	Volume	Turnover	Avg Price	Avg Price/SF	Avg Cap Rate	Price/SF	Price Index	Cap Rate
2030	-	-	-	-	-	-	$317.55	238	6.5%
2029	-	-	-	-	-	-	$309.42	232	6.5%
2028	-	-	-	-	-	-	$298.35	224	6.6%
2027	-	-	-	-	-	-	$283.63	213	6.7%
2026	-	-	-	-	-	-	$267.13	200	6.7%
YTD	8	$2.3M	0.7%	$2,280,900	$560.42	6.1%	$257.11	193	6.8%
2025	17	$12.7M	2.1%	$3,176,991	$911.29	6.1%	$255.50	192	6.8%
2024	24	$101M	2.3%	$5,609,766	$263.46	6.7%	$240.16	180	6.9%
2023	45	$93.6M	6.5%	$7,799,370	$141.22	7.3%	$237.87	178	6.7%
2022	46	$86.9M	4.9%	$8,691,118	$220.67	5.5%	$233.74	175	6.6%
2021	59	$25.3M	6.3%	$3,620,857	$178.18	5.4%	$222.62	167	6.6%
2020	27	$47.5M	1.8%	$4,318,913	$189.66	5.5%	$214.73	161	6.6%
2019	45	$59.2M	2.4%	$3,948,990	$195.85	6.1%	$203.45	153	6.8%
2018	46	$25.6M	3.2%	$2,561,558	$182.13	6.1%	$196.30	147	6.9%
2017	67	$379.2M	8.0%	$7,021,939	$181.50	5.8%	$189.93	142	6.9%
2016	50	$83.4M	5.0%	$7,579,994	$936.81	5.6%	$187.71	141	6.8%
2015	44	$170.3M	6.0%	$8,961,459	$170.89	5.2%	$186.22	140	6.8%

(1) Completed transaction data is based on actual arms-length sales transactions and levels are dependent on the mix of what happened to sell in the period.
(2) Market price trends data is based on the estimated price movement of all properties in the market, informed by actual transactions that have occurred. The price index is not smoothed.

NEIGHBORHOOD CENTER SALES

	Completed Transactions (1)						Market Pricing Trends (2)		
Year	Deals	Volume	Turnover	Avg Price	Avg Price/SF	Avg Cap Rate	Price/SF	Price Index	Cap Rate
2030	-	-	-	-	-	-	$285.15	245	6.7%
2029	-	-	-	-	-	-	$276.52	238	6.7%
2028	-	-	-	-	-	-	$265.41	228	6.8%
2027	-	-	-	-	-	-	$251.43	216	6.8%
2026	-	-	-	-	-	-	$236.96	204	6.9%
YTD	18	-	0.3%	-	-	5.9%	$230.01	198	6.9%
2025	210	$352.3M	5.6%	$9,785,879	$207.19	6.5%	$228.48	196	7.0%
2024	149	$148.6M	3.9%	$4,792,529	$159.19	7.4%	$212.43	183	7.1%
2023	132	$107.2M	3.4%	$4,122,586	$176.80	6.9%	$211.92	182	6.9%
2022	190	$227.8M	4.3%	$6,699,392	$252.94	5.9%	$208.34	179	6.8%
2021	300	$436.1M	8.0%	$6,229,776	$183.93	6.2%	$197.26	169	6.8%
2020	109	$161.8M	1.8%	$5,055,095	$274.26	6.1%	$190.74	164	6.9%
2019	210	$438.9M	4.6%	$5,486,749	$192.15	7.4%	$180.70	155	7.0%
2018	202	$346.6M	5.4%	$6,188,742	$182.94	6.3%	$174.80	150	7.1%
2017	216	$477.3M	5.6%	$6,538,781	$209.81	6.9%	$169.06	145	7.1%
2016	230	$200.7M	4.9%	$3,716,969	$186.59	6.6%	$166.65	143	7.1%
2015	296	$914M	8.4%	$6,217,668	$176.83	7.4%	$165.65	142	7.0%

(1) Completed transaction data is based on actual arms-length sales transactions and levels are dependent on the mix of what happened to sell in the period.
(2) Market price trends data is based on the estimated price movement of all properties in the market, informed by actual transactions that have occurred. The price index is not smoothed.

© 2026 CoStar Group - Licensed to Williamson Central Appraisal District - 1445675

STRIP CENTER SALES

	Completed Transactions (1)						Market Pricing Trends (2)		
Year	Deals	Volume	Turnover	Avg Price	Avg Price/SF	Avg Cap Rate	Price/SF	Price Index	Cap Rate
2030	-	-	-	-	-	-	$350.71	242	6.5%
2029	-	-	-	-	-	-	$340.67	235	6.6%
2028	-	-	-	-	-	-	$327.63	226	6.6%
2027	-	-	-	-	-	-	$310.76	214	6.7%
2026	-	-	-	-	-	-	$293.37	202	6.7%
YTD	10	$480K	0.4%	$480,000	$114.29	-	$286.12	197	6.8%
2025	108	$42.1M	3.4%	$6,014,331	$369.82	7.2%	$284.03	196	6.8%
2024	77	$15M	3.1%	$3,753,913	$250.06	6.8%	$275.06	190	6.8%
2023	93	$19.2M	2.7%	$3,192,735	$297.28	6.7%	$272.57	188	6.6%
2022	132	$57.8M	5.1%	$3,209,669	$269.55	6.1%	$266.64	184	6.5%
2021	147	$46.2M	5.1%	$2,886,540	$211.79	6.1%	$254.75	176	6.5%
2020	99	$7.1M	3.4%	$1,188,426	$93.57	6.3%	$240.90	166	6.6%
2019	126	$41.1M	4.5%	$2,056,835	$151.23	7.9%	$229.28	158	6.8%
2018	128	$70.3M	4.7%	$2,344,306	$189.11	7.4%	$219.86	152	6.9%
2017	156	$89.9M	6.2%	$2,643,528	$166.40	6.7%	$211.72	146	6.9%
2016	183	$53.3M	7.1%	$1,776,313	$155.90	7.1%	$208.46	144	6.9%
2015	158	$74.4M	6.2%	$2,009,506	$162.97	7.3%	$207.09	143	6.8%

(1) Completed transaction data is based on actual arms-length sales transactions and levels are dependent on the mix of what happened to sell in the period.
(2) Market price trends data is based on the estimated price movement of all properties in the market, informed by actual transactions that have occurred. The price index is not smoothed.

GENERAL RETAIL SALES

	Completed Transactions (1)						Market Pricing Trends (2)		
Year	Deals	Volume	Turnover	Avg Price	Avg Price/SF	Avg Cap Rate	Price/SF	Price Index	Cap Rate
2030	-	-	-	-	-	-	$371.15	241	6.5%
2029	-	-	-	-	-	-	$361.84	235	6.5%
2028	-	-	-	-	-	-	$349.33	227	6.5%
2027	-	-	-	-	-	-	$333.03	216	6.6%
2026	-	-	-	-	-	-	$315.97	205	6.7%
YTD	170	$43.2M	0.6%	$2,700,506	$492.07	6.3%	$308.32	200	6.7%
2025	1,591	$377M	4.3%	$2,271,369	$329.01	6.5%	$306.60	199	6.7%
2024	1,315	$399.1M	3.9%	$2,494,540	$326.58	6.2%	$294.74	192	6.7%
2023	1,294	$392.6M	3.6%	$2,243,287	$327.88	6.1%	$290.43	189	6.6%
2022	1,574	$735.9M	5.2%	$3,104,997	$392.98	5.5%	$284.32	185	6.5%
2021	1,855	$784.3M	6.4%	$3,051,776	$384.61	6.1%	$271.02	176	6.5%
2020	1,397	$452.7M	4.0%	$2,395,496	$327.19	6.2%	$258.07	168	6.6%
2019	1,388	$692.8M	4.5%	$2,695,812	$260.95	6.6%	$246.02	160	6.7%
2018	1,476	$651.5M	4.8%	$2,343,634	$274.78	6.4%	$236.47	154	6.8%
2017	1,428	$518M	4.2%	$2,063,608	$248.83	6.4%	$228.62	149	6.8%
2016	1,426	$514.1M	4.1%	$2,326,321	$242.03	6.5%	$223.93	145	6.8%
2015	1,186	$368.7M	4.0%	$1,993,195	$205.06	6.8%	$221.53	144	6.7%

(1) Completed transaction data is based on actual arms-length sales transactions and levels are dependent on the mix of what happened to sell in the period.
(2) Market price trends data is based on the estimated price movement of all properties in the market, informed by actual transactions that have occurred. The price index is not smoothed.

© 2026 CoStar Group - Licensed to Williamson Central Appraisal District - 1445675

OTHER SALES

	Completed Transactions (1)						Market Pricing Trends (2)		
Year	Deals	Volume	Turnover	Avg Price	Avg Price/SF	Avg Cap Rate	Price/SF	Price Index	Cap Rate
2030	-	-	-	-	-	-	$291.93	218	6.7%
2029	-	-	-	-	-	-	$285.88	213	6.7%
2028	-	-	-	-	-	-	$277.36	207	6.8%
2027	-	-	-	-	-	-	$266.01	198	6.8%
2026	-	-	-	-	-	-	$254.57	190	6.9%
YTD	2	-	0.3%	-	-	-	$249.62	186	6.9%
2025	3	$15.2M	5.6%	$7,580,000	$633.12	9.0%	$248.05	185	6.9%
2024	3	$0	3.0%	-	-	-	$234.10	174	7.0%
2023	2	$7.1M	0.3%	$3,550,000	$756.53	5.0%	$234.10	174	6.8%
2022	1	$0	0.2%	-	-	-	$229.06	171	6.7%
2021	13	$0	8.7%	-	-	-	$218.30	163	6.7%
2020	5	$1.3M	5.5%	$1,300,000	$171.96	5.5%	$213.74	159	6.7%
2019	6	$18.3M	3.7%	$6,100,000	$429.11	6.2%	$203.11	151	6.9%
2018	-	-	-	-	-	-	$197.24	147	6.9%
2017	4	$0	4.2%	-	-	7.0%	$192.23	143	6.9%
2016	9	$0	8.8%	-	-	-	$190.61	142	6.8%
2015	-	-	-	-	-	-	$190.84	142	6.7%

(1) Completed transaction data is based on actual arms-length sales transactions and levels are dependent on the mix of what happened to sell in the period.
(2) Market price trends data is based on the estimated price movement of all properties in the market, informed by actual transactions that have occurred. The price index is not smoothed.

© 2026 CoStar Group - Licensed to Williamson Central Appraisal District - 1445675