Retail Market Report

Houston - TX USA

PREPARED BY

WCAD Williamson Central Appraisal District

Zoe Ying Zhang

CoStar™

RETAIL MARKET REPORT

Market Key Statistics	1
Leasing	3
Rent	8
Construction	10
Under Construction Properties	12
Sales	14
Sales Past 12 Months	16
Economy	18
Market Submarkets	24
Supply & Demand Trends	31
Rent & Vacancy	35
Sale Trends	39

© 2026 CoStar Group - Licensed to Williamson Central Appraisal District - 1445675

Overview

12 Mo Deliveries in SF	12 Mo Net Absorption in SF	Vacancy Rate	Market Asking Rent Growth
2.9M	2M	5.4%	2.0%

Net absorption in Houston's retail sector fell to record lows in 2025 amid continued store closures. Even so, the market entered 26Q1 showing early signs of stabilization and a more balanced demand-supply environment, with the vacancy rate edging down for two consecutive quarters.

Demand remains focused on newer properties. Assets delivered within the last five years posted 2.7 million SF of trailing 12-month net absorption, driven primarily by grocery stores, fitness centers, quick-service restaurants, and auto-service tenants. Meanwhile, closures from challenged national retailers, including Kroger, Forever 21, and Big Lots, have contributed to some of the steepest recent move-outs.

Despite the broader slowdown, brokers report that prime space remains scarce. Tenants seeking newer, high-quality locations in affluent areas face limited options. Half of all available space was built before 1990, and more than 40% is located in neighborhoods with below-average household incomes. In the Galleria/Uptown Submarket, one of Houston's most affluent areas and home to High Street retail, the availability rate is just 2%, near historic lows.

New construction will do little to ease the shortage of quality space. Groundbreakings remain at record lows, reflecting persistent constraints on speculative development and a pipeline dominated by build-to-suit or grocery-anchored projects. Of the 3.5 million SF currently underway, roughly 40% is available for lease, but excluding the Manvel Town Center, that share drops to less than 30%.

More than two-thirds of current construction is concentrated north and west of the city, aligning with the strongest population growth corridors.

Retail rent growth has continued, though at its slowest pace in five years, as the market settles into a more balanced environment. Asking rents are up 2.0% year-over-year to $25.00/SF NNN, slightly trailing the national average of 2.0%. Growth is strongest in well-located, high-growth suburban corridors, where prime pads routinely command more than $30/SF NNN.

Even with recent deceleration, cumulative rent gains create sizable mark-to-market opportunities. Rents are up 16% over the past five years and more than 30% over the past 10 years.

Looking ahead, the house view anticipates continued recovery in net absorption, normalization in move-outs, and an acceleration in rent growth in the second half of the year. However, risks tilt to the downside, including weaker employment and consumer spending, rising operating costs, and, given Houston's proximity to Mexico, potential effects from higher tariffs, stricter immigration enforcement, or renewed inflation.

On the upside, stronger-than-expected wage growth, price stability, and falling interest rates could bolster consumption and fuel healthier demand and rent gains than currently forecast.

© 2026 CoStar Group - Licensed to Williamson Central Appraisal District - 1445675

KEY INDICATORS

Current Quarter	RBA	Vacancy Rate	Market Asking Rent	Availability Rate	Net Absorption SF	Deliveries SF	Under Construction
Malls	32,365,345	8.3%	$32.88	4.1%	126,545	128,415	686,463
Power Center	30,354,445	3.1%	$29.18	3.2%	61,828	0	459,497
Neighborhood Center	119,861,003	7.3%	$23.87	8.4%	25,518	0	453,221
Strip Center	42,925,568	7.5%	$24.19	8.7%	(76,664)	70,819	271,782
General Retail	215,794,261	3.8%	$23.29	4.7%	51,984	174,847	1,607,399
Other	2,961,830	4.4%	$24.97	5.6%	0	0	0
Market	**444,262,452**	**5.4%**	**$24.66**	**5.9%**	**189,211**	**374,081**	**3,478,362**

Annual Trends	12 Month	Historical Average	Forecast Average	Peak	When	Trough	When
Vacancy	0.2% (YOY)	5.9%	5.2%	8.0%	2007 Q2	4.5%	2016 Q3
Net Absorption SF	2M	5,599,590	1,228,224	12,638,819	2008 Q2	99,973	2006 Q4
Deliveries SF	2.9M	6,307,428	1,997,127	11,584,570	2008 Q1	3,002,330	2025 Q4
Market Asking Rent Growth	2.0%	2.3%	3.1%	4.4%	2023 Q1	-1.6%	2010 Q1
Sales Volume	$1.1B	$818.3M	N/A	$1.7B	2022 Q2	$208.4M	2009 Q4

© 2026 CoStar Group - Licensed to Williamson Central Appraisal District - 1445675

Retail demand in Houston remains strong but increasingly bifurcated: while older centers continue to carry significant availability, newer, higher-quality space is becoming increasingly scarce.

Absorption strengthened meaningfully in the second half of 2025 as the wave of big-box bankruptcies tapered and tenants backfilled second-generation space. Recent backfills include Score Entertainment's occupancy of the former Sears at Deerbrook Mall and Round1's takeover of the former Sears at Willowbrook Mall. Move-outs, which averaged 3.5 million SF per quarter from 24Q3 to 25Q2, declined 10% in Q3 and more than 20% in 25Q4 to 2.7 million SF. At the same time, quarterly move-ins held near 3.7 million SF, consistent with the elevated pace seen throughout 2025.

Growth continues to be concentrated in emerging corridors with strong household formation, Montgomery County, Bridgeland, and Far Southwest, which together accounted for 75% of metro absorption over the past year. These same submarkets delivered roughly 35% of the market's total net new supply. Some of the largest recent move-ins were by rapidly expanding national chains such as H-E-B, Walmart, and Home Depot, all targeting high-growth residential clusters.

Market participants consistently describe conditions as extremely tight. The availability rate, 5.9%, remains slightly below the 10-year average of 6.1%. The median time to lease is just 7.4 months, down from the 2015-2019 average of nine months.

Available space is disproportionately aging and of lower quality. More than half of the 26.2 million SF currently on the market is in properties built in the 1980s or 1990s, limiting options for tenants pursuing modern layouts and premium locations. Much of this inventory would require substantial capital investment to meet national tenant requirements.

Robust backfilling has pushed leasing activity higher. Leasing volume in 2025 exceeded 9 million SF, down slightly from 2024 but still roughly 5% above the 2015-2019 annual average.

Food and beverage and food-service users remain active but notably less so than in previous years, constrained by rising operating costs and margin pressure. Together, they accounted for 20% of leasing activity over the past 12 months, less than half their 2021 share and a proportion that has continued to decline. Leasing activity among home improvement and furniture retailers has also eased in response to weaker home sales. Conversely, off-price retailers have ramped up expansion, as inflation continues to influence consumer behavior.

Average lease sizes have trended downward since 2022 and are now roughly 15% below the 2015−2019 average. Leasing remains heavily concentrated in small-format spaces of 3,000 SF or less, which represented 75% of all leases over the past year, above the prior-cycle average of 70%.

Vacancy is more persistent in older, supply-heavy corridors such as FM 1960/I-45, where availability now exceeds 11% and roughly 80% of remaining space predates 1990. Time-to-lease here is nearly double the metro average. The CBD also remains elevated above 10% availability as office-driven foot traffic continues to lag due to post-COVID work patterns and ongoing safety concerns.

Looking ahead, even with a softer consumer environment and broader economic uncertainty, the market will continue to face a significant shortage of quality space. Construction activity remains near record lows as new projects are held back by high development and financing costs. Limited new construction will likely keep vacancies stable, and competition for well-located, first-generation space should remain strong.

© 2026 CoStar Group - Licensed to Williamson Central Appraisal District - 1445675

NET ABSORPTION, NET DELIVERIES & VACANCY

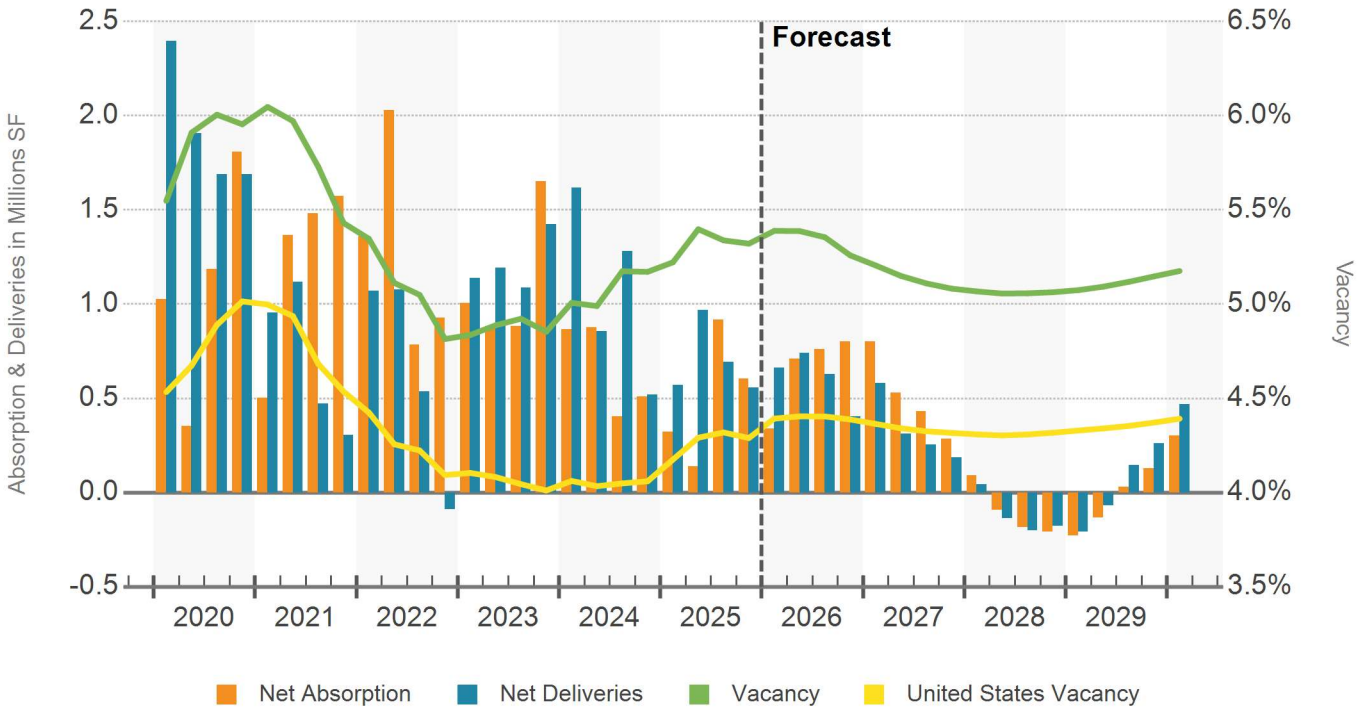

VACANCY RATE

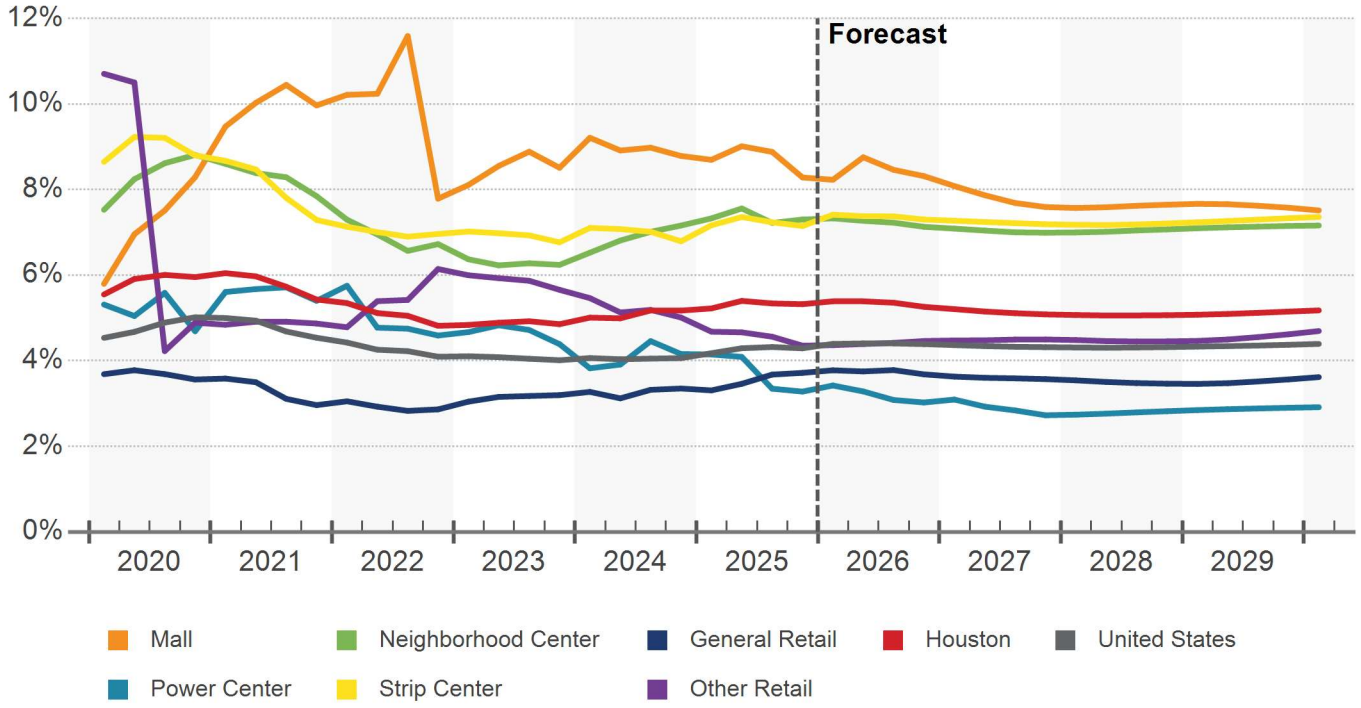

AVAILABILITY RATE

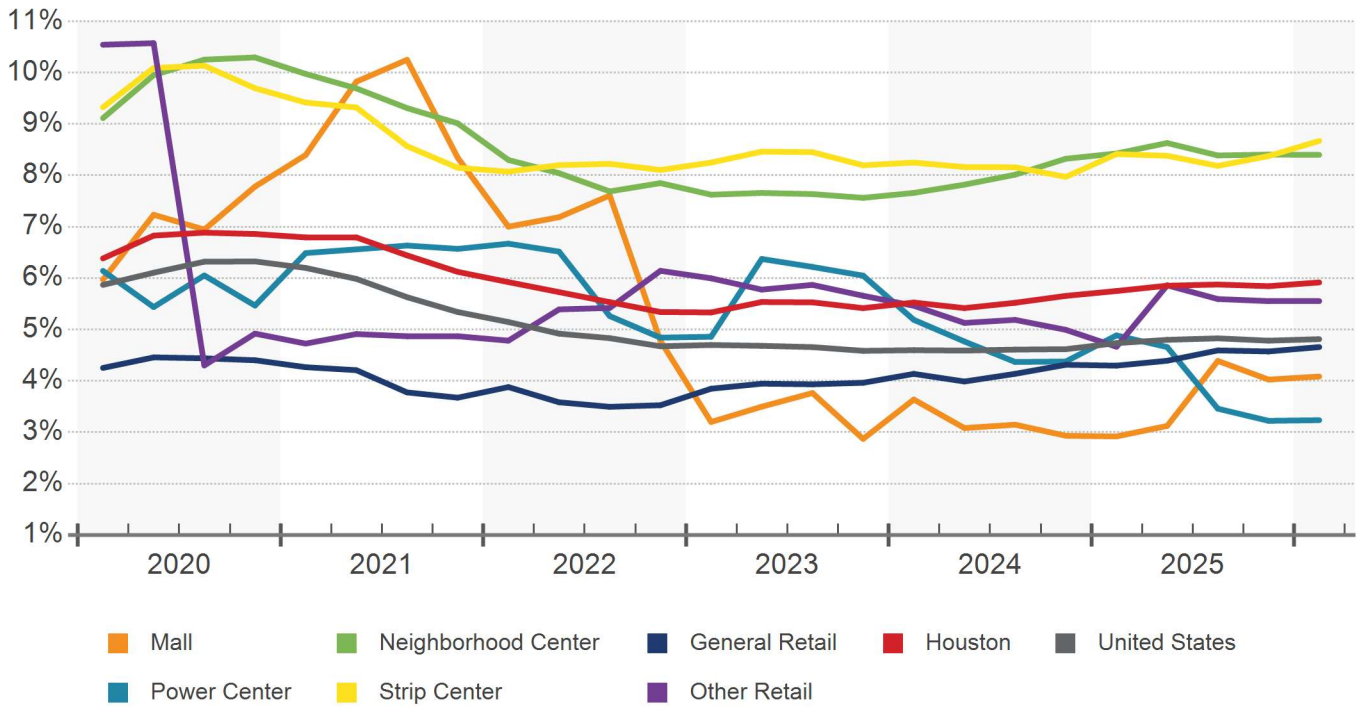

12 MONTH NET ABSORPTION SF IN SELECTED BUILDINGS

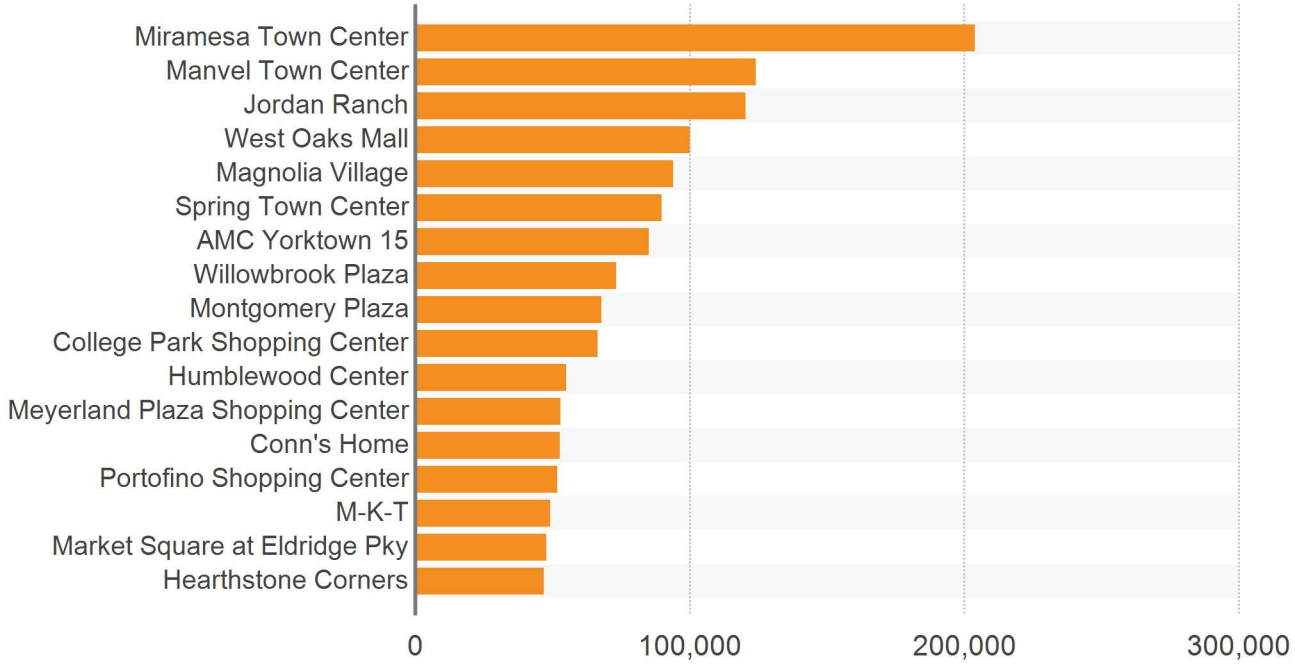

Building Name/Address	Submarket	Bldg SF	Vacant SF	Net Absorption SF				
				1st Qtr	2nd Qtr	3rd Qtr	4th Qtr	12 Month
Miramesa Town Center	Bridgeland Ret	203,790	0	0	0	0	0	203,790
Manvel Town Center	Far South Ret	124,000	0	124,000	0	0	0	124,000
Jordan Ranch	Far Katy South Ret	120,256	0	0	0	0	0	120,256
West Oaks Mall	Far Katy South Ret	448,174	4,200	0	0	0	0	100,000
Magnolia Village	Montgomery County···	94,000	0	0	0	0	0	94,000
Spring Town Center	Far North Ret	134,590	0	0	0	0	0	89,727
AMC Yorktown 15	Far Katy North Ret	85,000	0	85,000	0	0	0	85,000
Willowbrook Plaza	Jersey Village Ret	174,237	2,166	0	0	0	0	73,258
Montgomery Plaza	Montgomery County···	286,439	0	82,257	0	0	0	67,772
College Park Shopping Center	Montgomery County···	83,526	0	0	0	0	0	66,517
Humblewood Center	North Belt/Greenspnt···	172,897	0	55,000	0	0	0	55,000
Meyerland Plaza Shopping Center	Southwest Ret	460,244	0	0	0	0	0	52,775
Conn's Home	Far West Ret	52,698	0	0	0	0	0	52,698
Portofino Shopping Center	Montgomery County···	386,647	9,991	22,647	0	0	0	51,676
M-K-T	Inner Loop/Heights Ret	56,479	7,337	(837)	0	0	0	49,142
Market Square at Eldridge Pky	Far West Ret	139,000	0	0	0	0	0	47,659
Hearthstone Corners	Addicks Ret	178,525	1,200	0	0	0	0	46,841
Subtotal Primary Competitors		**3,200,502**	**24,894**	**368,067**	**0**	**0**	**0**	**1,380,111**
Remaining Houston Market		441,061,950	23,771,665	(178,856)	0	0	0	576,947
Total Houston Market		**444,262,452**	**23,796,559**	**189,211**	**0**	**0**	**0**	**1,957,058**

TOP RETAIL LEASES PAST 12 MONTHS

Building Name/Address	Submarket	Leased SF	Qtr	Tenant Name	Tenant Rep Company	Leasing Rep Company
Deerbrook Mall	Spring Creek	150,000	Q2 25	Score Entertainment	-	New Territory Partners
Sam's Club	Channelview	134,000	Q1 25	Sam's Club	-	-
Center at Baybrook	NASA/Clear Lake	133,560	Q3 25	-	-	Colliers
4000 N Shepherd Dr	Near Northwest Oaks	129,490	Q3 25	Target	-	-
The Grand at Aliana	Far Southwest	60,249	Q4 25	DICK' S Sporting Goods	EDGE Realty Partne…	NewQuest Properties
Fairmont Parkway Shopping Center	NASA/Clear Lake	60,000	Q4 25	TakeOff Adventure Park	KW Commercial;KW…	NewQuest Properties
Humblewood Center	North Belt/Greenspnt	57,449	Q4 25	Joe V's Smart Shop	Riverway Retail	JBL Asset Managemen…
Meyer Park Shopping Center	Southwest	56,208	Q4 25	Floor and Decor Outlets o…	Partners	NewQuest Properties
Dickinson Village	Southeast Outlier	55,525	Q3 25	Crunch Fitness	-	Tarantino Properties, Inc.
San Jacinto Marketplace	Channelview	50,000	Q2 25	DICK' S Sporting Goods	-	-
Mont Belvieu Crossing	Chambers Cnty/Baytown	50,000	Q2 25	Burlington	-	-
Andretti Indoor Karting and Games	Southeast Outlier	50,000	Q1 25	Andretti Indoor Karting &…	-	-
I-45/Telephone Road Center	Inner Loop East End	49,750	Q4 25	Fun City Adventure Park	R.J. Brunelli & Co.,…	JBL Asset Managemen…
Cypresswood Shopping Center	Far North	47,175	Q2 25	-	-	Airstream Realty
Legacy Pointe	Southwest Beltway 8	44,037	Q4 25	Charlie's Collectible Show	-	Evergreen Commercial…
LA Fitness - Langham Creek *	Bridgeland	42,201	Q3 25	LA Fitness	-	-
Valley Ranch Town Center	Montgomery County	41,500	Q2 25	Havertys Furniture	-	The Signorelli Company
The Grand at 249	Far Northwest	40,000	Q3 25	Eos Fitness	-	NewQuest Properties
Texas Heritage Marketplace	Waller County	40,000	Q2 25	EoS Fitness	NewQuest Properties	NewQuest Properties
Spring Park Village	Spring Creek	40,000	Q3 25	AR' s Entertainment Hub	-	-
3905 FM 1488	Montgomery County	40,000	Q1 26	EOS Fitness	NewQuest Properties	Walzel Properties
3721 Gulf Fwy	Southeast Outlier	40,000	Q2 25	EoS Fitness	NewQuest Properties	First Hartford Realty Co…
Hearthstone Corners	Addicks	39,998	Q1 25	Sky Zone - Houston	-	Brixmor Property Grou…
The Commons at Deerbrook	Spring Creek	39,847	Q4 25	Sports Ant	-	Greater Houston Group
Woodwinds Shopping Center	Montgomery County	39,495	Q2 25	Sky Zone	Locate AI	Archway Advisors
4411 San Felipe St	Post Oak Park	37,051	Q4 25	-	The Retail Connection	Stream Realty Partners…
Food Town	Sugar Land	36,846	Q4 25	-	Matador Realty Group	CBRE
Market Square at Eldridge Pky	Far West	35,000	Q4 25	Fortis Colleges and Institu…	Mohr Partners, Inc.	Sturbridge Commercial…
Price Plaza	Far Katy North	33,890	Q3 25	Burlington	-	Jolink Wallace
Riverpark Shopping Center	Far Southwest	33,740	Q2 25	Ace Pickleball Club	-	Phillips Edison & Comp…
Clear Lake Center	Southeast Outlier	33,494	Q3 25	Slick City	-	United Equities
Jones Square	Jersey Village	31,977	Q4 25	VEVOR	-	-
Santa Fe Junction Shopping Center	Southeast Outlier	31,675	Q3 25	Food Town Groceries	-	-
Texas Furniture Hut	Far Katy South	31,616	Q2 25	Lifted Trucks	JLL	JLL
Katy Mills	Far Katy South	31,600	Q2 25	Primark	-	-
Mount Houston Square	Near North	31,500	Q1 25	Jumping World	Henry S. Miller Brok…	Henry S. Miller Brokera…
Riverpark Shopping Center	Far Southwest	30,613	Q2 25	Dave & Buster's	The Retail Connection	Phillips Edison & Comp…
Broadway Square Shopping Center	Southeast Outlier	30,000	Q1 25	Crunch Fitness	Crunch	-
Champions Commons	Near Northwest Oaks	29,534	Q3 25	-	-	CHROME COMMERCIAL
The Village at Lexington Colony	Stafford	29,433	Q2 25	-	-	LDCM, Inc.

*Renewal

© 2026 CoStar Group - Licensed to Williamson Central Appraisal District - 1445675

Rent

Rent growth in Houston's retail market has been slowing for three consecutive years as economic uncertainty and rising operating costs have limited landlords' pricing power. Rents are up 2.0% year-over-year, near 2020 lows, and slightly below the national average of 2.0%.

Average triple-net asking rents sit at $25.00/SF, but Class A strip centers in prime suburban corridors are now approaching $50/SF, a roughly 60% increase from just a few years ago. Prime pad sites routinely command more than $30/SF NNN, while anchor space averages around $18/SF NNN.

Asking rents for small-shop space within the 610 Loop average $50-$70/SF, while small-shop space outside of the Loop ranges from the high $20s/SF for Class-B properties to $40-$55/SF for newly built space.

Despite the broader deceleration, many local participants still view Houston as a landlord-favored market. For well-located, high-quality space, landlords continue to push for 3% annual escalations. Concessions remain limited, typically one to two months of free rent on a five-year term. Build-out allowances have risen to $100−$200/SF at new lifestyle centers, $60−$75/SF for restaurant spaces, and around $40/SF for newer strip centers, roughly 25% higher than two years ago.

Rent growth has been positive across retail property types, with strip centers up 2.0% year-over-year, neighborhood centers up 2.8%, and malls also up 2.7%.

Suburban areas with strong population and income growth, such as Far Katy North, continue to post some of the market's strongest rent gains. In contrast, the CBD has seen rents decline year-over-year as vacant storefronts persist due to reduced office-driven foot traffic and shifts in work patterns.

Rents are highest in Uptown/Galleria and the Inner Loop/River Oaks area, supported by high-end shopping districts, luxury housing, and some of the city's strongest household incomes. Asking rents in these submarkets exceed $50/SF; for example, space at the 75,000-SF 6 BLVD Place is listed at $54/SF NNN. Over the past decade, these two areas have attracted the bulk of Houston's ultra-luxury retail expansions.

The house view expects annual rent growth to continue slowing through the first half of 2026, reflecting an anticipated softening in the broader macroeconomy. Rent growth is not projected to return to the 2015−2019 average of 2.6% until early 2027. Even so, limited new supply should keep negotiations tilted toward landlords, especially for the market's highest-quality and best-located space.

MARKET ASKING RENT GROWTH (YOY)

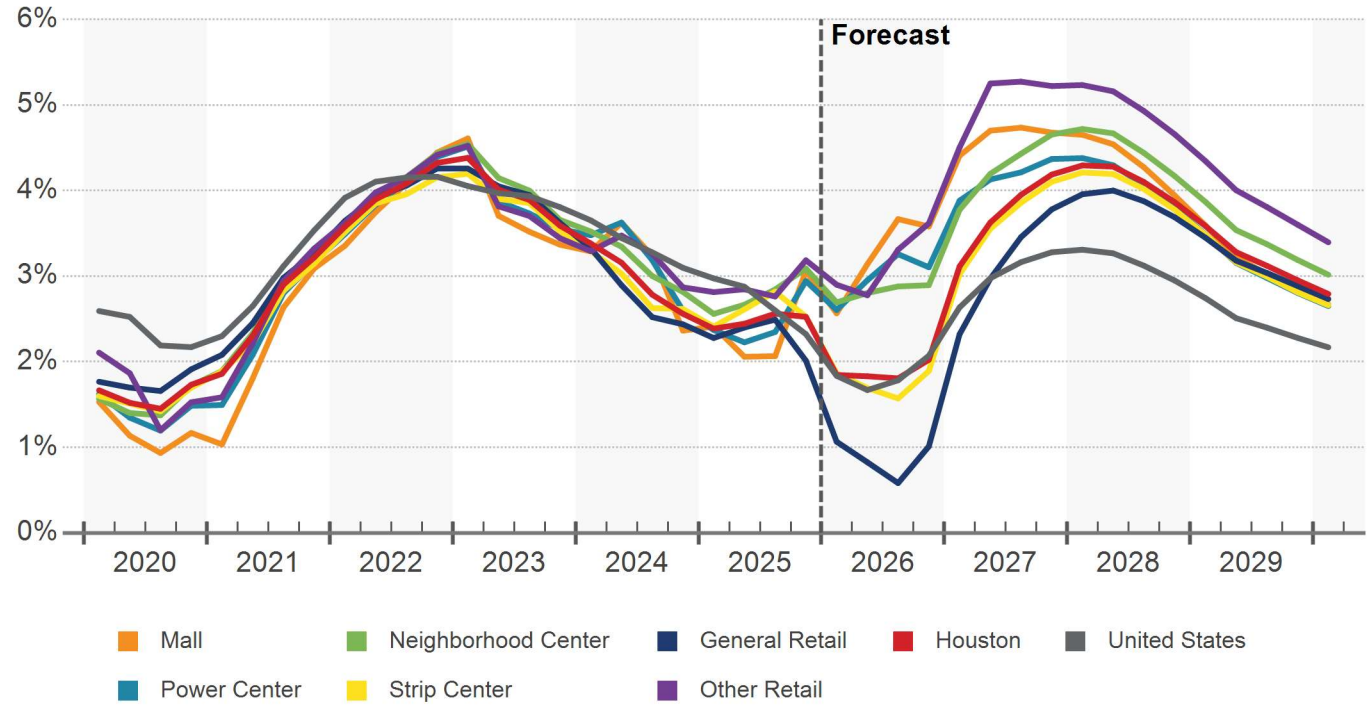

MARKET ASKING RENT PER SQUARE FEET

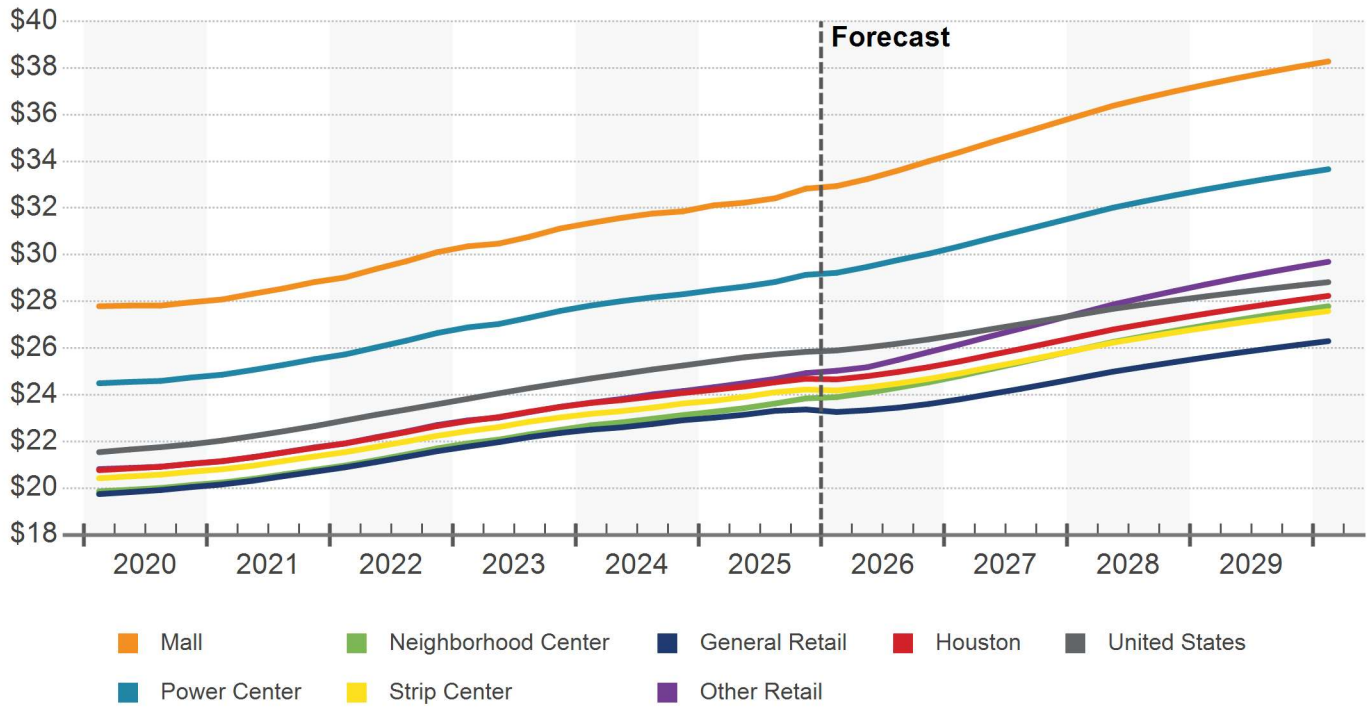

Construction starts in Houston's retail market are at record lows, driven by high capital and construction costs and tighter lending standards. Local developers report that new projects generally require either a committed anchor tenant or a pre-leasing threshold of 30%–50% before breaking ground.

There is currently 3.5 million SF of retail space under construction, roughly half of the 2015–2019 average of 6 million SF. Excluding the Manvel Town Center, less than 30% of the space underway is available for lease, limiting the immediate impact of new supply.

Geographically, development has followed fast-growing, higher-income exurban submarkets where land is more readily available. Montgomery County and Far South Houston have some of the largest concentrations of space underway.

Major projects include grocery-anchored centers tied to new suburban housing growth, such as Weitzman's 270-acre Manvel Town Center, Sam's Club developments in Tomball and Baytown, and a new Target in Stafford.

Consistent with recent patterns, most projects underway are small strip centers and pad sites, where achievable rents support new development. Retail space is also being added within larger mixed-use projects, including Autry Park and Regent Square near Allen Parkway, both of which are being delivered in phases.

Redevelopment activity has been most prominent in gentrifying urban areas. Midway's East River project, on the former KBR industrial site east of Downtown, will deliver more than 1 million SF across roughly 60 city blocks and is the largest contiguous development inside the 610 Loop. Nearby, the former Moncrief-Lenoir facility has been converted into a 100,000-SF mixed-use complex with workspace, event space, restaurants, and galleries. Outside the urban core, Fidelis is redeveloping the former San Jacinto Mall in Baytown into the 105-acre San Jacinto Marketplace, a mixed-use district more than a decade in the making.

Looking ahead, new supply is expected to remain well below historical levels. The gap between construction costs and achievable rents continues to make most speculative projects unfeasible, and this dynamic is unlikely to change in the near term.

DELIVERIES & DEMOLITIONS

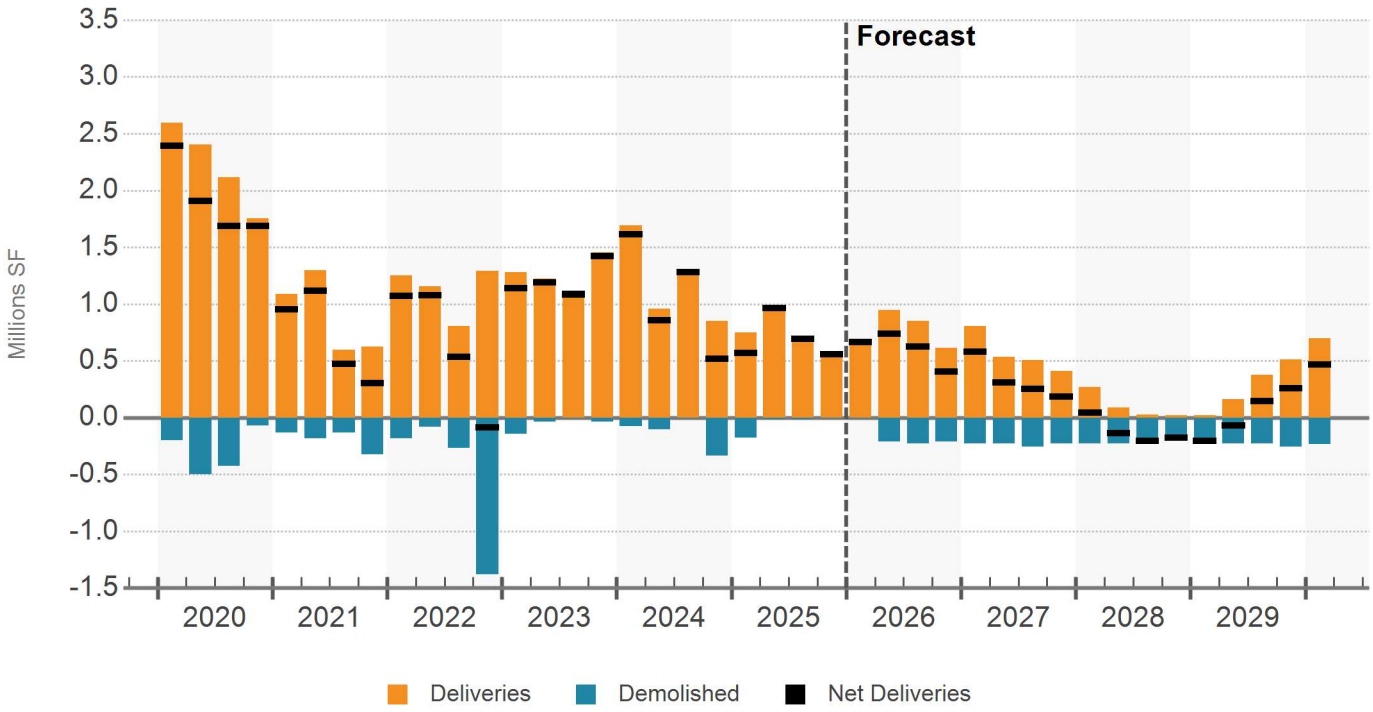

SUBMARKET CONSTRUCTION

		Under Construction Inventory					Average Building Size		
No.	Submarket	Bldgs	SF (000)	Pre-Leased SF (000)	Pre-Leased %	Rank	All Existing	Under Constr	Rank
1	Far South	12	609	141	23.2%	10	13,138	50,790	4
2	Far Southwest	28	528	299	56.5%	6	15,050	18,863	7
3	Waller County	5	318	240	75.3%	4	8,911	63,672	1
4	Fairfield	12	250	223	89.3%	3	14,077	20,840	6
5	Far Katy South	16	199	130	65.0%	5	20,502	12,462	8
6	Montgomery County	18	196	59	30.3%	7	13,457	10,867	9
7	Bridgeland	9	189	48	25.4%	9	14,529	21,046	5
8	Sugar Land	3	174	166	94.9%	2	17,547	58,147	2
9	Far Katy North	16	170	45	26.4%	8	15,918	10,651	10
10	Channelview	3	157	150	95.2%	1	11,023	52,353	3
	All Other	67	686	505	73.7%		13,140	10,238	
Totals		**189**	**3,478**	**2,005**	**57.7%**		**13,587**	**18,404**	

© 2026 CoStar Group - Licensed to Williamson Central Appraisal District - 1445675

Under Construction Properties

Houston Retail

Properties	Square Feet	Percent of Inventory	Preleased
189	3,478,362	0.8%	57.7%

UNDER CONSTRUCTION PROPERTIES

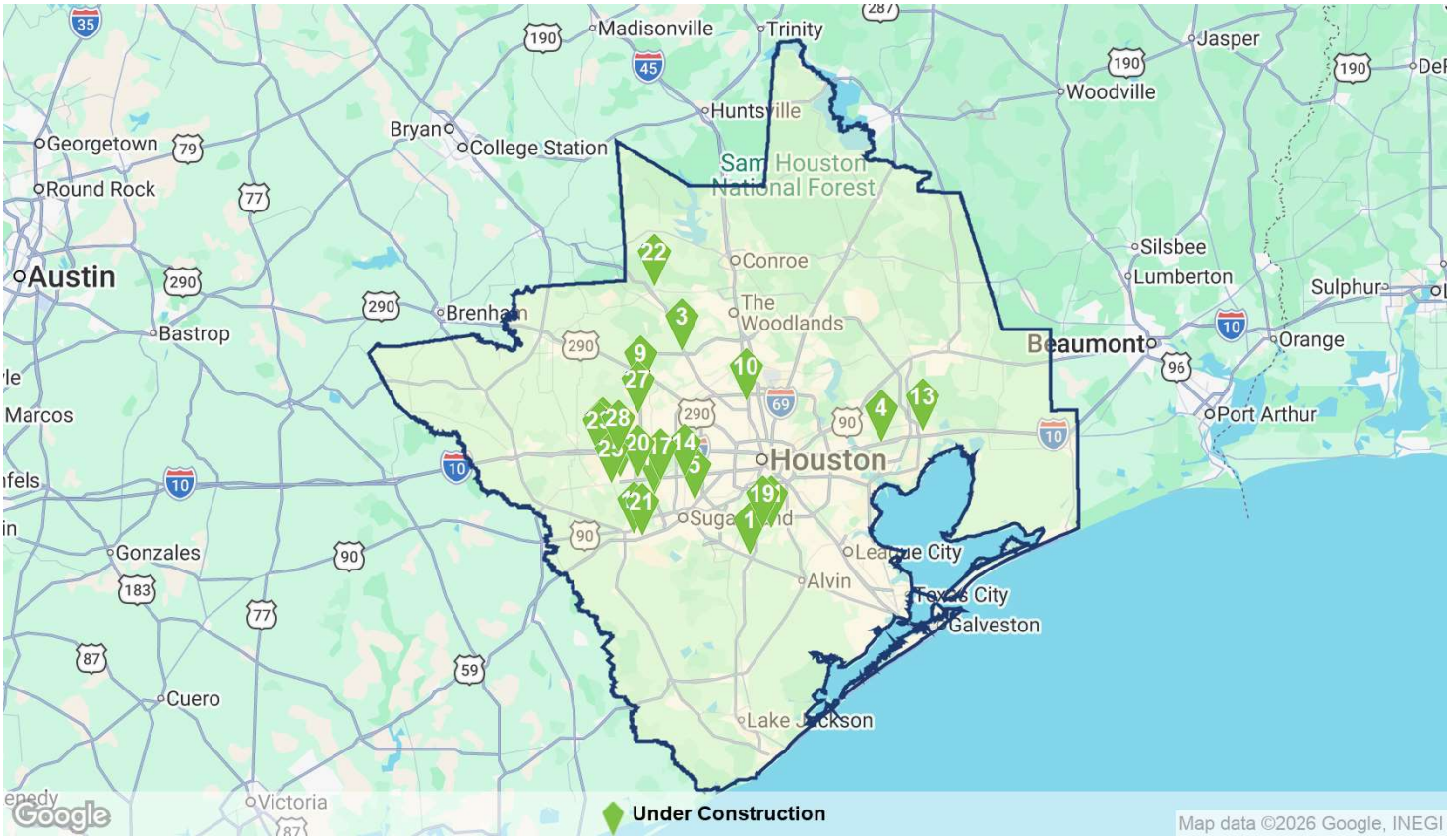

UNDER CONSTRUCTION

	Property Name/Address	Rating	Bldg SF	Stories	Start	Complete	Developer/Owner
1	**State Highway 6**	★★★☆☆	359,064	1	Oct 2023	Jun 2026	Weitzman Weitzman
2	**29355 Katy Fwy**	★★★★☆	183,862	1	Dec 2025	Mar 2027	- NewQuest Properties
3	**Sam's Club** Rocky Rd & Turning Willow D	★★★★☆	167,990	1	Jan 2026	Sep 2026	NewQuest Properties NewQuest Properties
4	**Sam's Club** 6611 Garth Rd	★★★★☆	134,000	1	Oct 2025	Jul 2026	- Fidelis Realty Partners
5	**Target** 12565 Arc Ln	★★★★☆	124,440	1	Jan 2024	Apr 2026	- Target Corporation
6	**980 Heritage Oak Ln**	★★★★☆	94,000	1	Dec 2025	Dec 2026	- NewQuest Properties
7	**Havertys & Dick's Sporting** NEC W Grand Pky	★★★★☆	87,502	1	Dec 2025	Oct 2026	NewQuest Properties NewQuest Properties

UNDER CONSTRUCTION

	Property Name/Address	Rating	Bldg SF	Stories	Start	Complete	Developer/Owner
8	**Pearland Asian Town Buildi** 7529 Broadway St	★★★☆☆	73,900	1	Aug 2024	Apr 2026	- -
9	**SEC of Mason Rd and Hous**	★★★☆☆	60,000	1	Apr 2025	Apr 2026	- -
10	**10241 North Freeway Servic**	★★★☆☆	57,195	1	Dec 2024	Apr 2026	- Unilev Capital Corp.
11	**Pearland Asian Town - Build** 7407 Broadway Street	★★★☆☆	52,300	1	Mar 2025	Apr 2026	- -
12	**5310 Airport Ave**	★★★☆☆	50,429	2	Jul 2024	Apr 2026	- -
13	**9225-9253 Eagle Dr**	★★★☆☆	50,000	1	Feb 2025	Apr 2026	- Fidelis Realty Partners
14	**Bellaire Market District** 12925 Bellaire Blvd	★★★☆☆	50,000	2	Oct 2024	Apr 2026	- -
15	**25125 Cinco Terrace Dr**	★★★★☆	40,000	1	Feb 2026	Apr 2027	- -
16	**W Grand Pky**	★★★★☆	37,977	1	Dec 2025	Aug 2026	Property Commerce Property Commerce
17	**8203 FM 1464**	★★★★☆	37,800	1	Sep 2025	Aug 2026	- -
18	**Bldg N6** FM 1093 Rd	★★★☆☆	31,550	1	Jun 2025	Apr 2026	Parkway Lakes Development Pacific Financial
19	**9121 Broadway St**	★★★☆☆	30,730	1	Feb 2026	Sep 2026	- Vageli Stathatos
20	**SWC of Westpark Tollway &**	★★★☆☆	30,000	1	Feb 2025	Apr 2026	- Braun Enterprises
21	**7200 Reading**	★★★☆☆	30,000	1	Oct 2025	Apr 2026	- -
22	**FM 1488 and Mill Creek Ro**	★★★☆☆	30,000	2	Apr 2025	Apr 2026	- -
23	**Plaza at Jordan Ranch** 2100 Texas Heritage Pkwy &	★★★☆☆	29,510	1	Oct 2025	May 2026	Arvo Ventures Arvo Ventures
24	**Building B** 10911 FM 359 Rd	★★★★☆	29,263	1	Dec 2025	Dec 2026	Realty 1 Partners -
25	**Building A** 10811 FM 359 Rd	★★★★☆	29,263	1	Dec 2025	Dec 2026	Realty 1 Partners -
26	**Building G** 7052 Elyson Exchange Way	★★★☆☆	26,394	2	Aug 2024	Apr 2026	Realty 1 Partners Realty 1 Partners
27	**Building F** 7034 Elyson Exchange Way	★★★☆☆	26,394	2	Aug 2024	Apr 2026	Realty 1 Partners Realty 1 Partners
28	**25819 Kingsland Blvd**	★★★★☆	26,000	1	May 2024	Apr 2026	- -

© 2026 CoStar Group - Licensed to Williamson Central Appraisal District - 1445675

Houston's retail investment market strengthened further in 2025, extending the rebound that began in 2024. More than 1,700 transactions closed last year, over 50% higher than the prior year and the third-highest total on record, reflecting sustained investor appetite despite macroeconomic uncertainty.

Brokers report that bid-ask spreads have narrowed and debt availability has improved. Regional banks offering recourse loans remain the most active lenders, though large banks are slowly returning. Insurance companies are targeting stabilized Class A assets, while bridge lenders continue to finance value-add opportunities.

Investment demand remains heavily concentrated in the suburbs, where more than 80% of 2025 transactions occurred, following population growth and household formation trends.

As deal volume has increased, the significant cap-rate expansion seen in 2023−24 has moderated and, in some segments, reversed. Private buyers still lead activity, but family offices, REITs, and institutional capital are re-entering the market. Some capital has also rotated out of the office sector and into retail.

Notable institutional trades include Otima Investments' December acquisition of the 185,000-SF Northwest Marketplace for $39 million, or $211/SF, which was fully leased at sale, and Fidelis Realty Partners' November purchase of Baybrook Village for an undisclosed price, a six-property, 275,000-SF center that was 94% leased.

After widening by as much as 170 bps in recent years, cap rates for smaller triple-net assets have stabilized as seller expectations realign and buyers view pricing as having reached a floor. Many QSR assets are trading in the 5%−6% range, with some new, well-located stores achieving low-4% cap rates. For example, a 2025-built McDonald's in Rosharon sold in November at a 4% cap.

Cap rates for well-leased unanchored strip centers and large power centers generally fall in the 7%−8% range, depending on submarket, asset age, and tenant credit, though some transactions close below 7%. In December, the 26,000-SF Barker Cypress Marketplace sold at a 7% cap; the 1998-built center, renovated in 2016, was 94% leased.

Distress remains isolated to weaker property types such as older malls and movie theaters. The 860,000-SF Regal Grand Parkway ScreenX & RPX traded at land value last year, and the long-struggling Greenspoint Mall, vacant since mid-2024, also sold.

Despite concerns about inflation, tariffs, and a more cautious near-term consumer outlook, Houston's retail market remains resilient. A shortage of high-quality space and record-low construction activity continue to support stable fundamentals.

Looking ahead, pricing is expected to remain broadly stable, with limited risk of sharp swings. While tenant demand is uneven and store closures persist in select categories, extremely low construction totals are helping offset softer net absorption.

Rising transaction volume is also contributing to more loan payoffs, freeing up lending capacity for new originations and adding liquidity that should support continued price stabilization.

© 2026 CoStar Group - Licensed to Williamson Central Appraisal District - 1445675

SALES VOLUME & MARKET SALE PRICE PER SF

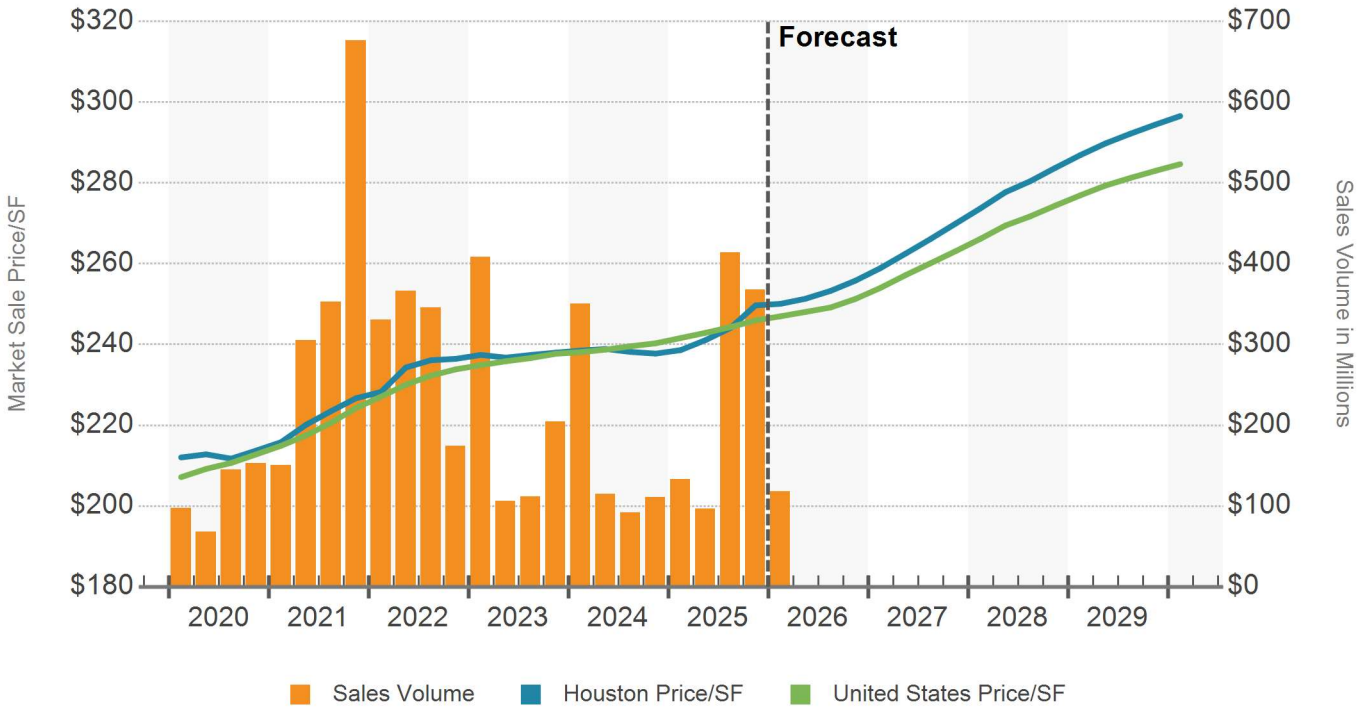

MARKET CAP RATE

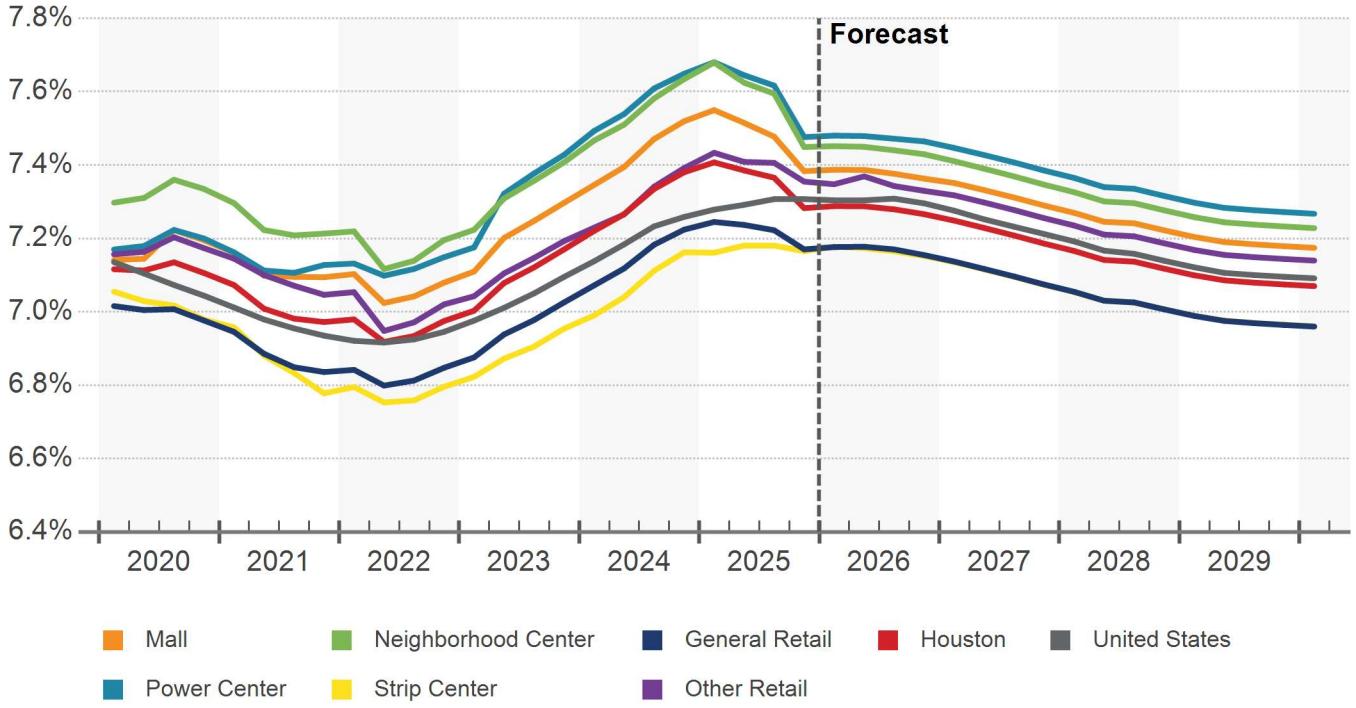

Sales Past 12 Months

Houston Retail

Sale Comparables	Avg. Cap Rate	Avg. Price/SF	Avg. Vacancy At Sale
1,819	6.8%	$301	5.4%

SALE COMPARABLE LOCATIONS

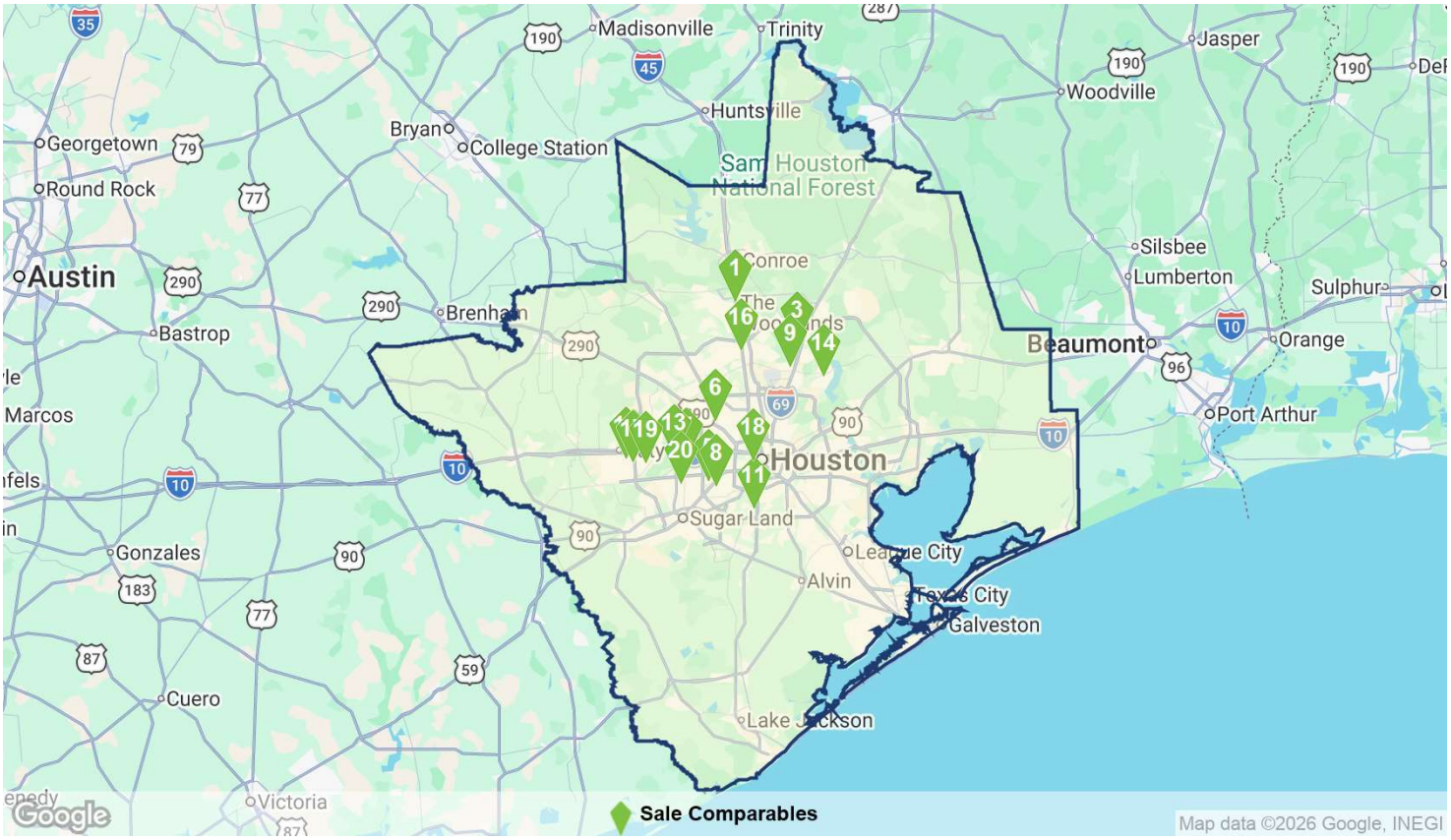

SALE COMPARABLES SUMMARY STATISTICS

Sales Attributes	Low	Average	Median	High
Sale Price	$44,250	$4,325,202	$2,500,000	$74,285,049
Price/SF	$4.17	$301	$298	$2,941
Cap Rate	3.0%	6.8%	6.6%	15.0%
Time Since Sale in Months	0.1	5.8	5.6	12.0
Property Attributes	**Low**	**Average**	**Median**	**High**
Building SF	27	12,288	5,691	386,647
Stories	1	1	1	4
Typical Floor SF	1	12,192	5,846	286,439
Vacancy Rate At Sale	0%	5.4%	0%	100%
Year Built	1800	1992	1996	2027
Star Rating	★☆☆☆☆	★★☆☆☆ 2.6	★★★☆☆	★★★★☆

Sales Past 12 Months

RECENT SIGNIFICANT SALES

	Property					Sale			
Property Name - Address	Rating	Yr Built	Bldg SF	Vacancy	Sale Date	Price	Price/SF	Cap Rate
1 **Portofino Center** 19075 Interstate 45	★★★★☆	2010	386,647	8.4%	12/8/2025	$74,285,049	$192	-
2 **LaCenterra at Cinco Ran…** 23501 Cinco Ranch Blvd	★★★☆☆	2007	113,598	0%	7/1/2025	$47,677,334	$420	-
3 **19529 Northpark Dr**	★★★★☆	2019	102,828	0%	1/30/2026	$36,410,640	$354	-
4 **2707 Commercial Center…**	★★★☆☆	2018	44,500	0%	7/1/2025	$32,803,595	$737	-
5 **8000-8230 S Gessner Rd**	★★★☆☆	1976	181,530	0%	6/10/2025	$26,749,063	$147	-
6 **Northwest Marketplace** 13744-13830 Northwest Fwy	★★★★☆	2002	132,472	15.1%	12/16/2025	$26,045,490	$197	-
7 **1801 S Dairy Ashford St**	★★☆☆☆	1979	81,407	0%	10/31/2025	$21,700,000	$267	-
8 **Fondrenwood Shopping…** 9700-9950 Fondren Rd	★★☆☆☆	1977	159,905	0%	8/27/2025	$18,799,577	$118	-
9 **Humblewood Shopping…** 19653-19659 Highway 59 N	★★★☆☆	1979	85,682	0%	7/21/2025	$18,300,000	$214	-
10 **Building F** 23501 Cinco Ranch Blvd	★★★☆☆	2006	26,390	0%	7/1/2025	$14,528,686	$551	-
11 **Texaco** 12602 South Fwy	★★★☆☆	2001	7,638	0%	8/28/2025	$13,500,000	$1,767	-
12 **25645 Westheimer Pky**	★★★☆☆	2008	8,556	0%	10/1/2025	$13,402,414	$1,566	-
13 **Now and Forever Plaza** 1585 Highway 6 S	★★★☆☆	2000	6,500	0%	10/1/2025	$12,364,743	$1,902	-
14 **17920 W Lake Houston P…**	★★★☆☆	2024	42,000	0%	12/30/2025	$12,000,000	$286	7.4%
15 **Building Q - Perry's Stea…** 23501 Cinco Ranch Blvd	★★★☆☆	2008	8,484	0%	7/1/2025	$11,743,562	$1,384	-
16 **Spring Park Village** 19380 Interstate 45	★★★☆☆	2015	33,060	0%	5/7/2025	$11,662,000	$353	7.4%
17 **Building C** 2643 Commercial Center···	★★★☆☆	2013	10,604	0%	7/1/2025	$11,336,510	$1,069	-
18 **904 Westheimer Rd**	★★☆☆☆	1959	7,500	0%	7/9/2025	$10,879,193	$1,451	-
19 **20607 Westheimer Pky**	★★☆☆☆	1998	6,519	0%	10/1/2025	$10,505,434	$1,612	-
20 **13646 Bissonnet St**	★★★☆☆	2021	12,360	0%	10/1/2025	$9,682,920	$783	-

© 2026 CoStar Group - Licensed to Williamson Central Appraisal District - 1445675

Located in Southeast Texas, the Houston metropolitan area is home to approximate 7.9 million people, making it the fifth-largest in the United States.

Houston consistently ranks among the fastest-growing metros in the country. Since 2010, the region has added more than 1.5 million residents, positioning it as the second-fastest growing metro in the U.S., just behind Dallas−Fort Worth. This growth is fueled by the area's affordability, warm climate, low taxes, pro-business environment, cultural diversity, and vibrant lifestyle, making Houston a top destination for newcomers.

Historically, the oil and gas industry has been a cornerstone of Houston's economy, but the region has diversified significantly. Today, healthcare, biomedical research, aerospace, as supported by NASA, and the Port of Houston are also major employment drivers. Houston is home to the world's largest medical center, and its port ranks among the busiest in the nation by tonnage.

Generous state incentives, such as no corporate or personal income tax, have attracted manufacturing and distribution hubs. Combined with highly rated public schools and comparatively affordable housing, Houston's suburbs have become prime destinations for families and businesses alike.

Commercial Real Estate Tapestry

Houston is a diverse commercial real estate market with a relatively new inventory of multifamily and retail properties concentrated in suburban areas. Although retail construction has been limited nationwide this past decade, developers have focused on building new retail properties near housing developments in rapidly growing suburban areas.

Industrial properties are overrepresented in the market, comprising 35% of the market's inventory but only 25% of its total asset value. The metro has experienced a surge in big-box warehouse development, fueled by port expansion, strong population growth, and its strategic location. Houston offers quick access to Mexico and benefits from two major airports, extensive interstate networks, and robust rail connections.

Although evolving office work habits and capital market conditions have pressured valuations, particularly among older properties, newer trophy inventory has helped keep asset values in the market high. Houston ranks as the 7th largest office market by square footage, while office property values rank 10th in the nation.

The hospitality sector here is relatively small, with hotel properties concentrated mainly in the Central Business District, serving business travelers, and in the Galleria/Uptown area, which caters to luxury shoppers and international visitors.

Population Trends

Population growth in the Houston metropolitan area has been consistently strong this past decade. With a population of 7.9 million, the region ranks fifth in terms of total population and seventh in terms of annual population growth. The population here is younger, though slightly less educated than the national average.

Houston's population growth is driven not just by net domestic migration, or movement from other parts of the country, but also by international migration and natural increases, births exceeding deaths.

Houston has a larger average household size than the U.S., reflecting its high immigrant share and multigenerational households.

Many newcomers arrive from higher-cost housing markets, with California, Illinois, and Florida consistently among the top sources of inbound migration.

Within the region, suburban expansion has been dramatic. While the metro grew 1.6% over the past year, cities like Fulshear and Manvel surged by 35% and 10%, respectively. International immigration also contributed to Harris County becoming the fastest-growing county in the U.S. last year.

Labor Market

Houston is known as the energy capital of the world, yet its economy is highly diversified, encompassing healthcare, aerospace, logistics, petrochemicals, and professional services. Major employers include ExxonMobil, Chevron, Shell, ConocoPhillips, MD Anderson, Texas Medical Center institutions, NASA's Johnson Space Center, Sysco, and Amazon fulfillment centers. The city ranks third nationally in terms of Fortune 500

headquarters, with 26 companies based here, trailing only New York and Chicago.

© 2026 CoStar Group - Licensed to Williamson Central Appraisal District - 1445675

Houston's economy shows mixed performance. The region is emerging as a hub for biotechnology and life sciences, supported by medical research, device manufacturing, and health innovation. Clean energy and hydrogen investments are driving new projects, while healthcare remains strong thanks to the Texas Medical Center's expansion. The logistics and industrial sectors thrive on population growth, e-commerce, and port activity, although traditional manufacturing and energy services lag behind. Unemployment is slightly below the U.S. average, reflecting solid job creation. Recent announcements, including Eli Lilly's $6.5 billion biomanufacturing plant and Apple's AI server facility, underscore Houston's momentum.

The metro continues to benefit from its diverse economic base, strong population growth, and business-friendly policies, positioning the region for sustained expansion.

HOUSTON EMPLOYMENT BY INDUSTRY IN THOUSANDS

	CURRENT JOBS		CURRENT GROWTH		10 YR HISTORICAL		5 YR FORECAST	
Industry	**Jobs**	**LQ**	**Market**	**US**	**Market**	**US**	**Market**	**US**
Manufacturing	240	0.9	-0.34%	-0.28%	0.43%	0.31%	0.22%	0.21%
Trade, Transportation and Utilities	707	1.1	0.65%	-0.02%	1.54%	0.75%	0.47%	0.22%
Retail Trade	326	1.0	0.78%	0.30%	0.75%	-0.05%	0.35%	0.15%
Financial Activities	188	0.9	1.00%	-0.01%	1.98%	1.17%	0.49%	0.24%
Government	456	0.9	-0.48%	-0.49%	1.64%	0.59%	0.82%	0.32%
Natural Resources, Mining and Construction	320	1.6	0.57%	-0.13%	0.27%	1.92%	0.16%	0.55%
Education and Health Services	473	0.8	2.28%	2.48%	2.49%	2.15%	0.92%	0.41%
Professional and Business Services	571	1.2	-0.34%	-0.35%	1.74%	1.17%	0.80%	0.49%
Information	30	0.5	-0.55%	0.03%	-0.39%	0.59%	-0.03%	0.19%
Leisure and Hospitality	371	1.0	0.71%	0.78%	1.91%	1.01%	1.13%	0.84%
Other Services	135	1.0	0.61%	0.78%	2.26%	0.69%	0.65%	0.18%
Total Employment	**3,492**	**1.0**	**0.49%**	**0.38%**	**1.57%**	**1.09%**	**0.66%**	**0.39%**

Source: Oxford Economics
LQ = Location Quotient

© 2026 CoStar Group - Licensed to Williamson Central Appraisal District - 1445675

JOB GROWTH (YOY)

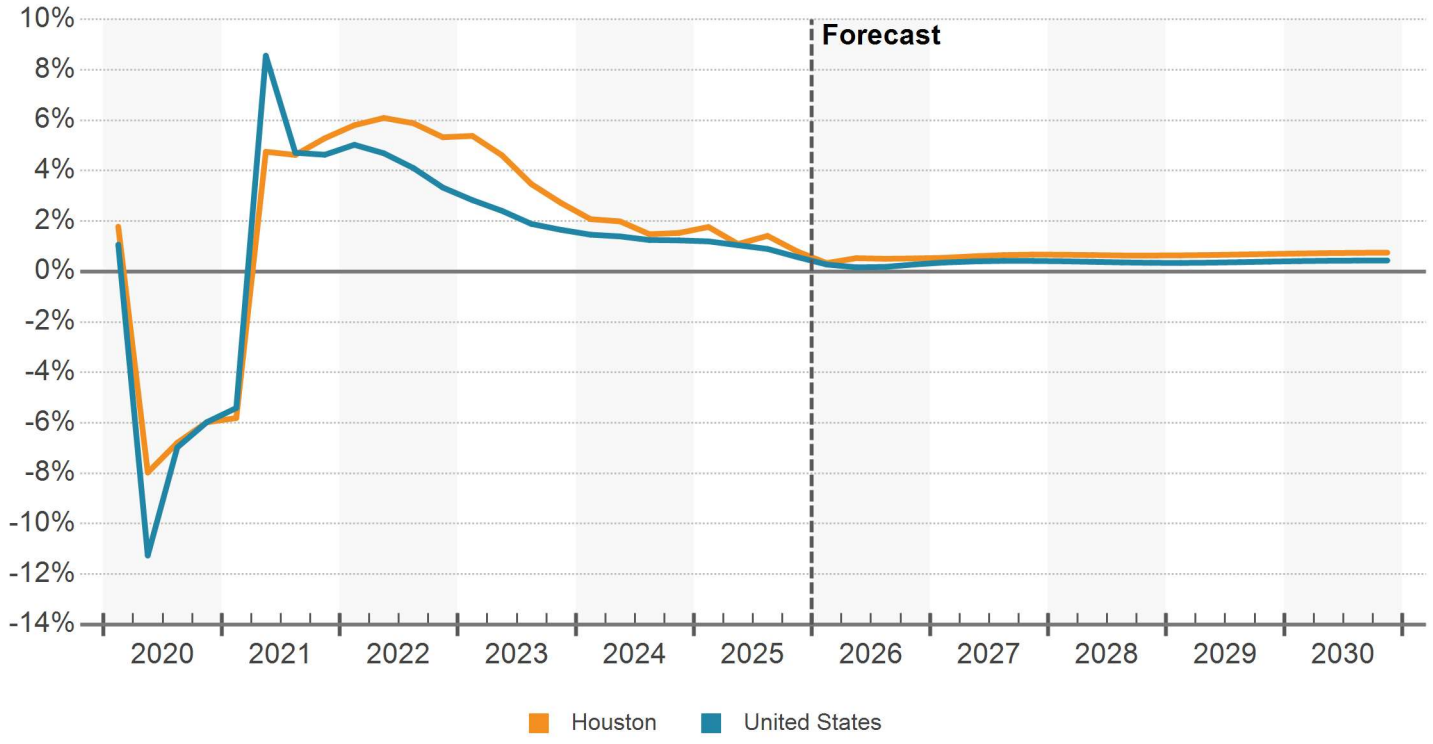

Source: Oxford Economics

UNEMPLOYMENT RATE (%)

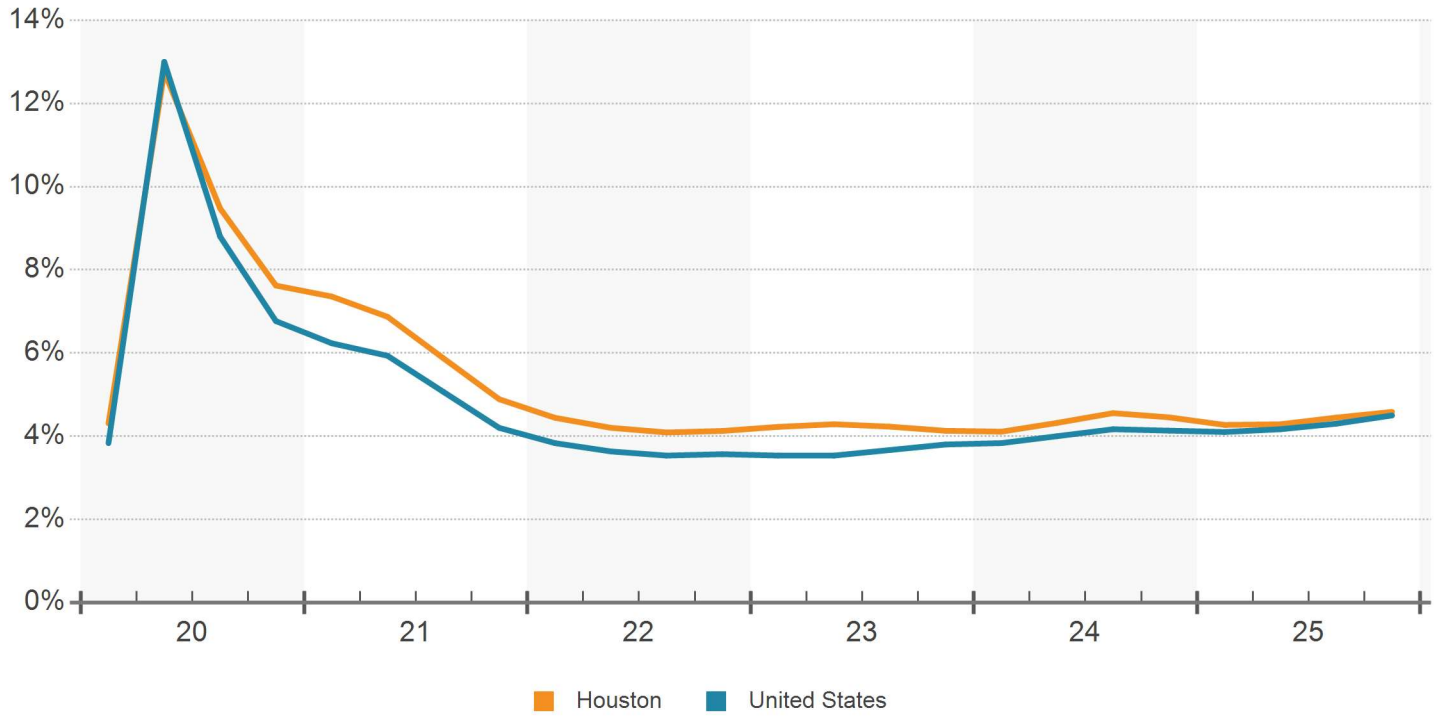

NET EMPLOYMENT CHANGE (YOY)

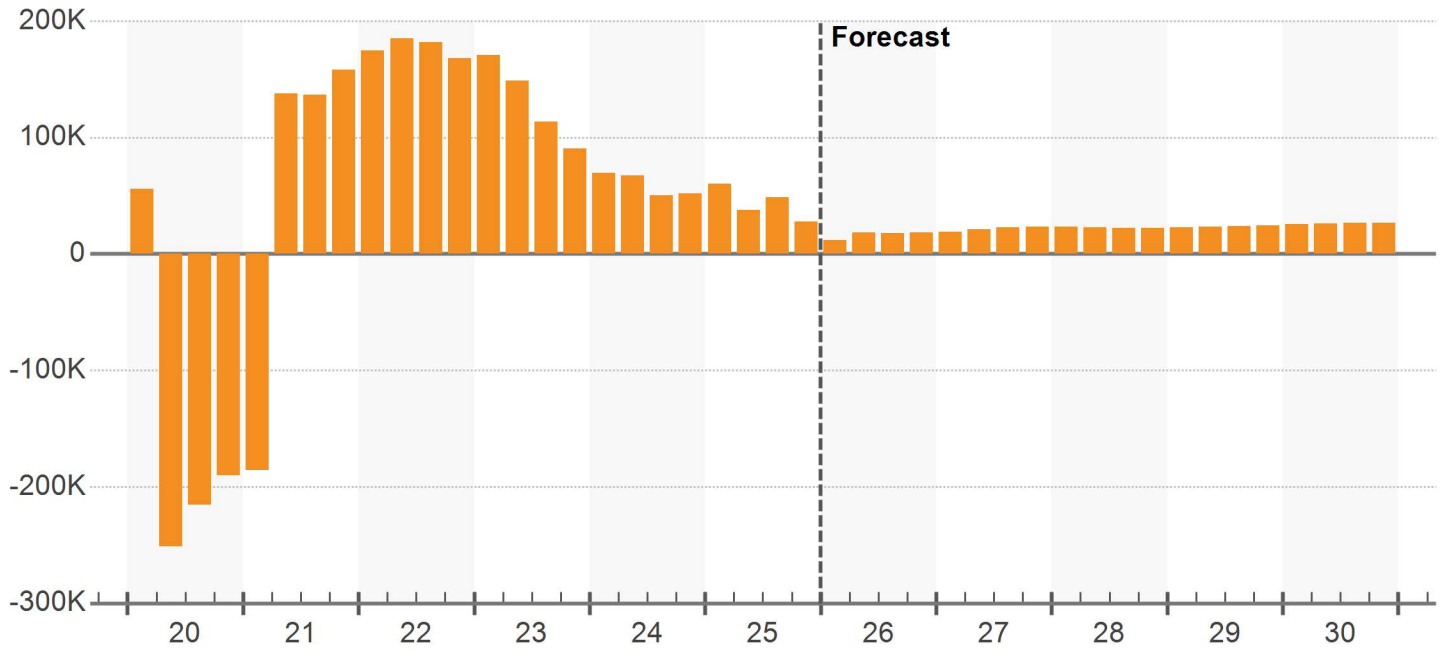

MEDIAN HOUSEHOLD INCOME

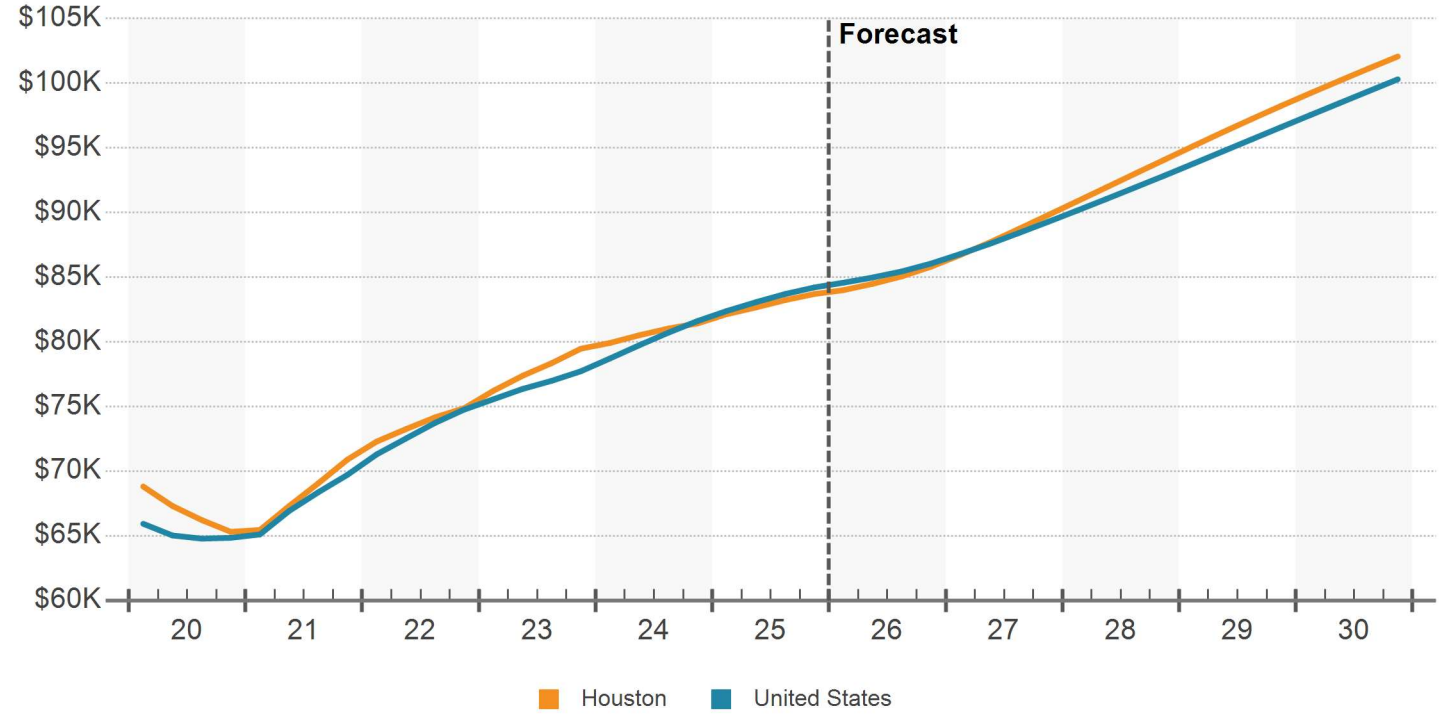

© 2026 CoStar Group - Licensed to Williamson Central Appraisal District - 1445675

POPULATION GROWTH (YOY %)

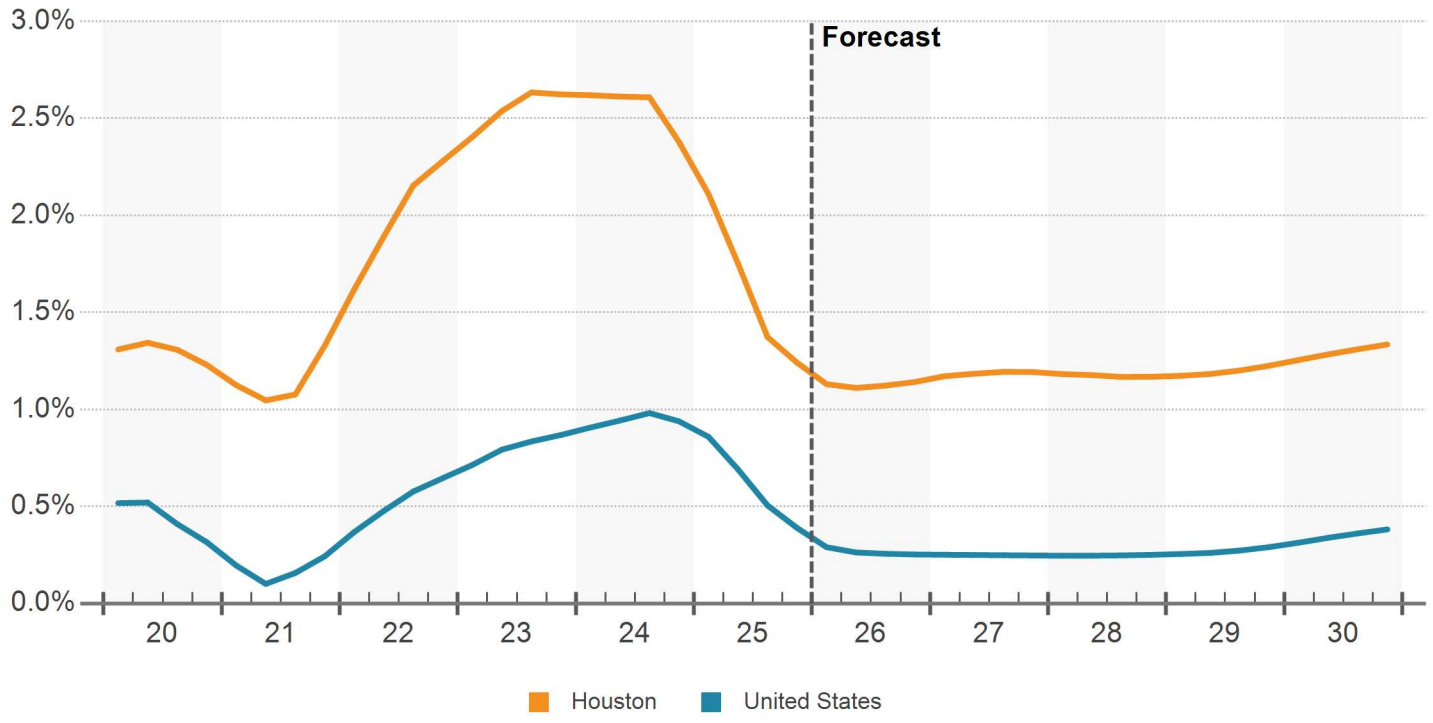

NET POPULATION CHANGE (YOY)

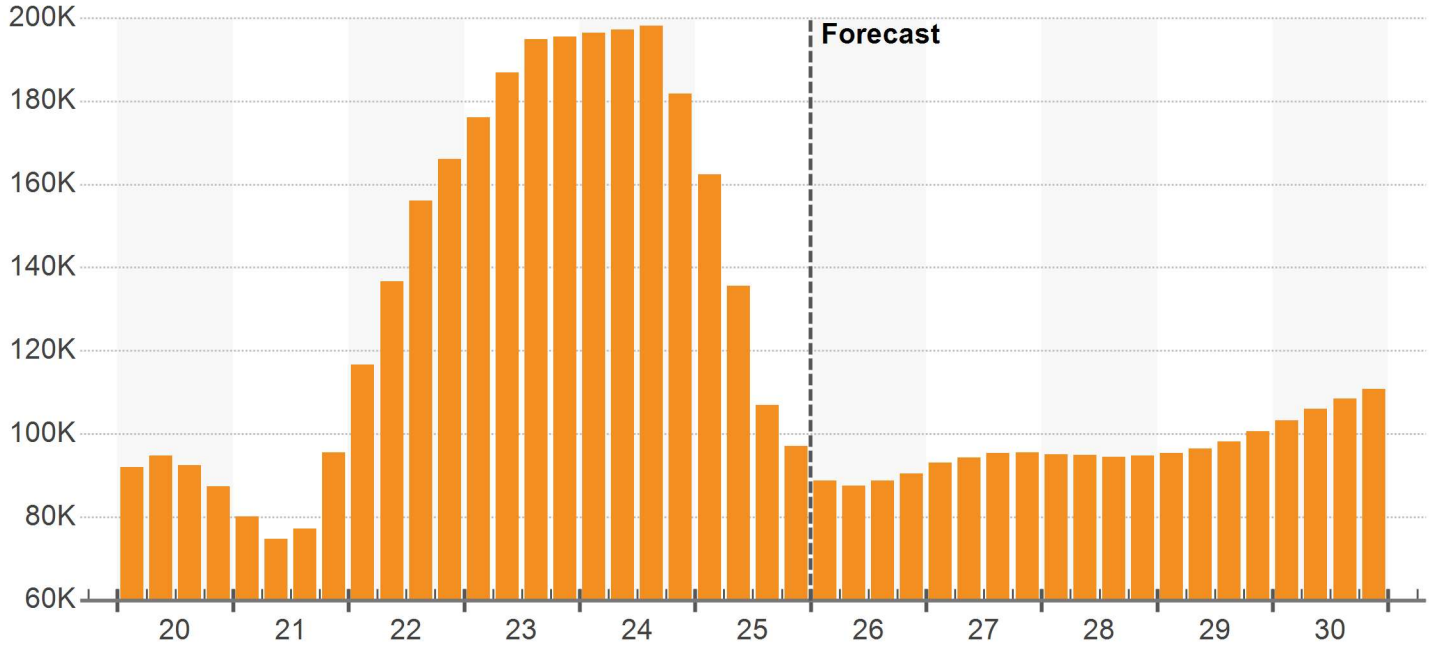

DEMOGRAPHIC TRENDS

	Current Level		12 Month Change		10 Year Change		5 Year Forecast	
Demographic Category	**Metro**	**US**	**Metro**	**US**	**Metro**	**US**	**Metro**	**US**
Population	7,939,209	342,200,344	1.2%	0.3%	1.6%	0.6%	1.2%	0.3%
Households	2,831,898	134,129,234	1.5%	0.7%	1.8%	1.0%	1.5%	0.6%
Median Household Income	$83,889	$84,442	2.4%	2.8%	3.2%	4.2%	4.1%	3.6%
Labor Force	3,910,112	170,954,672	1.3%	0.6%	1.6%	0.8%	0.6%	0.2%
Unemployment	4.6%	4.5%	0.3%	0.4%	0%	0%	-	-

Source: Oxford Economics

POPULATION GROWTH

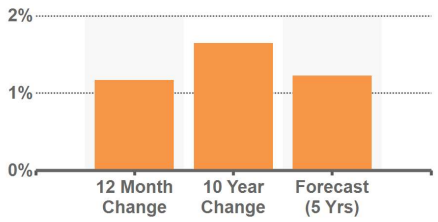

LABOR FORCE GROWTH

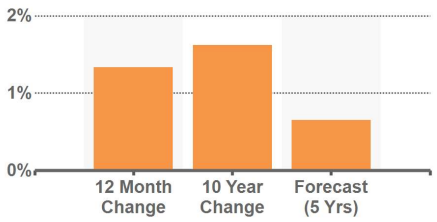

INCOME GROWTH

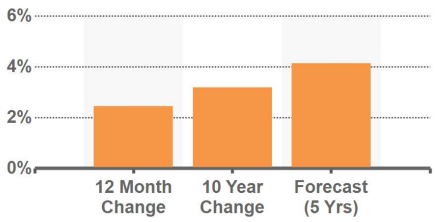

Source: Oxford Economics

© 2026 CoStar Group - Licensed to Williamson Central Appraisal District - 1445675

HOUSTON SUBMARKETS

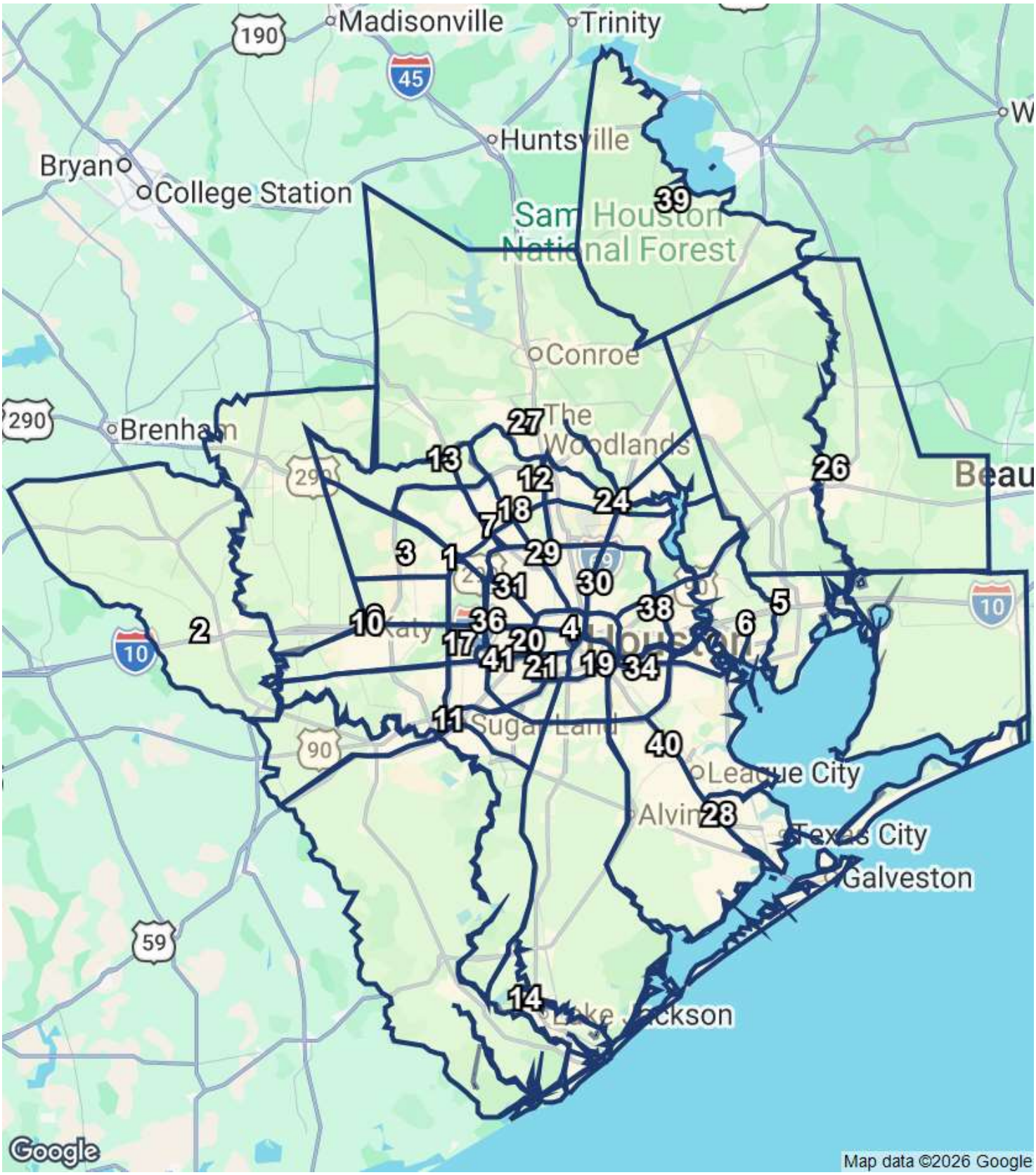

SUBMARKET INVENTORY

		Inventory				12 Month Deliveries				Under Construction			
No.	Submarket	Bldgs	SF (000)	% Market	Rank	Bldgs	SF (000)	Percent	Rank	Bldgs	SF (000)	Percent	Rank
1	Addicks	398	5,189	1.2%	33	0	0	0%	-	1	11	0.2%	27
2	Austin County	184	2,380	0.5%	42	0	0	0%	-	0	0	0%	-
3	Bridgeland	400	5,812	1.3%	31	18	371	6.4%	2	9	189	3.3%	7
4	CBD	101	1,894	0.4%	46	0	0	0%	-	0	0	0%	-
5	Chambers Cnty/Baytown	228	1,934	0.4%	45	8	75	3.9%	12	6	107	5.5%	11
6	Channelview	795	8,763	2.0%	20	4	38	0.4%	17	3	157	1.8%	10
7	Cypresswood Dr	398	6,304	1.4%	30	1	3	0%	36	0	0	0%	-
8	Fairfield	814	11,458	2.6%	15	8	60	0.5%	14	12	250	2.2%	4
9	Far Katy North	813	12,942	2.9%	13	22	239	1.9%	5	16	170	1.3%	9
10	Far Katy South	991	20,318	4.6%	3	21	355	1.7%	3	16	199	1.0%	5
11	Far New Territory	561	9,116	2.1%	19	11	92	1.0%	9	10	97	1.1%	12
12	Far North	1,018	14,040	3.2%	10	7	102	0.7%	8	1	14	0.1%	24
13	Far Northwest	147	1,967	0.4%	43	6	67	3.4%	13	7	57	2.9%	15
14	Far South	1,272	16,711	3.8%	7	16	255	1.5%	4	12	609	3.6%	1
15	Far Southwest	957	14,403	3.2%	8	13	165	1.1%	6	28	528	3.7%	2
16	Far Tomball	205	1,948	0.4%	44	3	22	1.1%	21	3	12	0.6%	25
17	Far West	510	8,634	1.9%	21	1	7	0.1%	32	0	0	0%	-
18	FM 1960/I-45	339	5,151	1.2%	34	0	0	0%	-	2	16	0.3%	21
19	Inner Loop East End	1,140	9,940	2.2%	18	1	16	0.2%	24	1	8	0.1%	34
20	Inner Loop River Oaks	1,258	12,816	2.9%	14	3	6	0%	33	2	10	0.1%	28
21	Inner Loop University	583	6,814	1.5%	25	3	13	0.2%	25	0	0	0%	-
22	Inner Loop/Heights	891	6,343	1.4%	29	2	7	0.1%	30	3	24	0.4%	17
23	Jersey Village	326	6,480	1.5%	28	1	8	0.1%	29	0	0	0%	-
24	Kingwood Area	272	4,559	1.0%	35	0	0	0%	-	0	0	0%	-
25	Lake Houston	507	6,682	1.5%	27	9	80	1.2%	11	3	19	0.3%	19
26	Liberty County	396	3,663	0.8%	38	5	58	1.6%	15	2	16	0.4%	22
27	Montgomery County	2,846	38,298	8.6%	1	37	396	1.0%	1	18	196	0.5%	6
28	NASA/Clear Lake	2,429	30,406	6.8%	2	16	137	0.5%	7	5	43	0.1%	16
29	Near North	1,143	13,308	3.0%	11	2	13	0.1%	26	2	67	0.5%	13
30	Near Northeast	394	3,673	0.8%	37	1	2	0%	37	0	0	0%	-
31	Near Northwest Oaks	1,129	10,972	2.5%	16	4	27	0.2%	19	0	0	0%	-
32	Near NW Spring Valley	719	10,580	2.4%	17	3	10	0.1%	27	1	9	0.1%	32
33	Near South	439	2,918	0.7%	39	0	0	0%	-	1	10	0.3%	29
34	Near Southeast	1,546	18,250	4.1%	5	1	5	0%	35	4	8	0%	35
35	Near SW Central	265	2,824	0.6%	40	1	16	0.6%	23	1	10	0.4%	29
36	Near West	715	13,102	2.9%	12	3	29	0.2%	18	0	0	0%	-
37	North Belt/Greenspnt	293	6,982	1.6%	24	1	9	0.1%	28	1	11	0.2%	26
38	Pasadena/Galena Park	603	6,706	1.5%	26	0	0	0%	-	0	0	0%	-
39	San Jacinto County	76	570	0.1%	48	0	0	0%	-	0	0	0%	-
40	Southeast Outlier	1,081	17,050	3.8%	6	14	83	0.5%	10	5	63	0.4%	14
41	Southwest	1,047	18,890	4.3%	4	2	5	0%	34	1	9	0%	33
42	Spring Creek	470	6,983	1.6%	23	3	19	0.3%	22	0	0	0%	-

© 2026 CoStar Group - Licensed to Williamson Central Appraisal District - 1445675

SUBMARKET INVENTORY

		Inventory				12 Month Deliveries				Under Construction			
No.	Submarket	Bldgs	SF (000)	% Market	Rank	Bldgs	SF (000)	Percent	Rank	Bldgs	SF (000)	Percent	Rank
43	Stafford	565	8,388	1.9%	22	4	57	0.7%	16	2	17	0.2%	20
44	Sugar Land	801	14,055	3.2%	9	4	23	0.2%	20	3	174	1.2%	8
45	Uptown/Galleria	73	4,462	1.0%	36	0	0	0%	-	1	10	0.2%	29
46	Waller County	196	1,747	0.4%	47	1	7	0.4%	31	5	318	18.2%	3
47	Westchase	151	2,564	0.6%	41	0	0	0%	-	1	15	0.6%	23
48	Willowbrook	209	5,239	1.2%	32	0	0	0%	-	1	24	0.5%	18

© 2026 CoStar Group - Licensed to Williamson Central Appraisal District - 1445675

SUBMARKET RENT

		Market Asking Rent		12 Month Market Asking Rent		QTD Annualized Market Asking Rent	
No.	Submarket	Per SF	Rank	Growth	Rank	Growth	Rank
1	Addicks	$20.31	35	2.3%	11	0.3%	9
2	Austin County	$14.24	47	1.8%	32	-4.6%	44
3	Bridgeland	$31.54	5	2.3%	9	-0.2%	17
4	CBD	$31.98	4	1.6%	38	-0.2%	16
5	Chambers Cnty/Baytown	$20.22	36	0.8%	47	-6.7%	48
6	Channelview	$19.85	40	1.8%	33	-2.0%	38
7	Cypresswood Dr	$25.01	18	2.7%	2	0.3%	8
8	Fairfield	$26.13	13	2.3%	14	0.4%	7
9	Far Katy North	$25.08	17	2.0%	26	-0.2%	15
10	Far Katy South	$28.83	9	2.4%	8	0%	11
11	Far New Territory	$29.99	8	2.1%	22	-1.2%	32
12	Far North	$23.01	26	2.2%	17	-0.4%	20
13	Far Northwest	$27.14	11	1.8%	34	-3.3%	43
14	Far South	$24.02	21	2.1%	20	-1.2%	31
15	Far Southwest	$27.34	10	2.2%	19	-1.0%	26
16	Far Tomball	$20.12	37	1.2%	42	-6.3%	47
17	Far West	$25.20	16	2.3%	12	0.5%	6
18	FM 1960/I-45	$17.44	45	2.0%	25	-0.6%	22
19	Inner Loop East End	$21.14	33	1.5%	39	-1.3%	34
20	Inner Loop River Oaks	$39.48	2	0.9%	45	-1.4%	35
21	Inner Loop University	$34.81	3	1.2%	43	-1.1%	28
22	Inner Loop/Heights	$30.06	7	0.8%	46	-2.4%	40
23	Jersey Village	$22.93	27	2.7%	1	1.6%	1
24	Kingwood Area	$25.83	15	2.2%	15	-0.8%	24
25	Lake Houston	$23.55	23	2.1%	24	-1.3%	33
26	Liberty County	$16.21	46	1.1%	44	-5.8%	46
27	Montgomery County	$25.83	14	2.0%	29	-1.9%	37
28	NASA/Clear Lake	$21.68	30	2.0%	27	-1.2%	30
29	Near North	$19.94	38	1.9%	31	-1.1%	29
30	Near Northeast	$21.50	32	1.6%	37	-1.8%	36
31	Near Northwest Oaks	$21.55	31	1.3%	40	-2.2%	39
32	Near NW Spring Valley	$23.95	22	2.4%	6	0%	12
33	Near South	$19.47	41	0.6%	48	-3.2%	41
34	Near Southeast	$18.51	44	1.9%	30	-1.0%	25
35	Near SW Central	$20.91	34	1.7%	36	-1.1%	27
36	Near West	$31.47	6	2.3%	13	0.9%	2
37	North Belt/Greenspnt	$24.04	20	2.1%	23	-0.1%	14
38	Pasadena/Galena Park	$18.77	42	2.0%	28	-0.6%	23
39	San Jacinto County	$13.28	48	1.8%	35	-3.2%	42
40	Southeast Outlier	$24.59	19	2.4%	7	-0.5%	21
41	Southwest	$23.51	24	2.5%	4	0.1%	10
42	Spring Creek	$22.22	29	2.1%	21	0.6%	5

© 2026 CoStar Group - Licensed to Williamson Central Appraisal District - 1445675

SUBMARKET RENT

		Market Asking Rent		12 Month Market Asking Rent		QTD Annualized Market Asking Rent	
No.	Submarket	Per SF	Rank	Growth	Rank	Growth	Rank
43	Stafford	$23.30	25	2.3%	10	0.6%	4
44	Sugar Land	$19.89	39	2.2%	16	-0.4%	19
45	Uptown/Galleria	$47.18	1	2.2%	18	-0.1%	13
46	Waller County	$18.53	43	1.3%	41	-4.6%	45
47	Westchase	$26.16	12	2.5%	5	0.8%	3
48	Willowbrook	$22.36	28	2.6%	3	-0.2%	18

© 2026 CoStar Group - Licensed to Williamson Central Appraisal District - 1445675

SUBMARKET VACANCY & NET ABSORPTION

		Vacancy			12 Month Absorption			
No.	Submarket	SF	Percent	Rank	SF	% of Inv	Rank	Construc. Ratio
1	Addicks	285,108	5.5%	32	59,632	1.1%	18	-
2	Austin County	130,454	5.5%	31	(1,630)	-0.1%	30	-
3	Bridgeland	225,427	3.9%	12	305,803	5.3%	4	1.1
4	CBD	280,105	14.8%	48	8,394	0.4%	26	-
5	Chambers Cnty/Baytown	85,610	4.4%	21	55,104	2.8%	19	1.2
6	Channelview	535,256	6.1%	34	(91,359)	-1.0%	44	-
7	Cypresswood Dr	499,916	7.9%	42	(51,789)	-0.8%	38	-
8	Fairfield	485,914	4.2%	17	91,024	0.8%	13	0.6
9	Far Katy North	694,676	5.4%	29	327,020	2.5%	3	0.7
10	Far Katy South	742,123	3.7%	11	391,751	1.9%	2	0.9
11	Far New Territory	461,092	5.1%	25	118,269	1.3%	8	0.7
12	Far North	775,744	5.5%	33	181,444	1.3%	7	0.5
13	Far Northwest	82,724	4.2%	15	39,826	2.0%	23	1.7
14	Far South	831,010	5.0%	23	252,653	1.5%	5	1.0
15	Far Southwest	742,456	5.2%	28	200,180	1.4%	6	0.8
16	Far Tomball	85,109	4.4%	19	41,511	2.1%	22	0.5
17	Far West	400,177	4.6%	22	92,124	1.1%	12	0.1
18	FM 1960/I-45	478,619	9.3%	45	(90,647)	-1.8%	43	-
19	Inner Loop East End	765,352	7.7%	40	(152,367)	-1.5%	45	-
20	Inner Loop River Oaks	655,358	5.1%	26	(170,613)	-1.3%	46	-
21	Inner Loop University	173,948	2.6%	3	97,199	1.4%	10	0
22	Inner Loop/Heights	447,910	7.1%	38	64,716	1.0%	16	0.1
23	Jersey Village	273,496	4.2%	16	61,325	0.9%	17	0.1
24	Kingwood Area	138,419	3.0%	5	46,876	1.0%	21	-
25	Lake Houston	292,803	4.4%	20	93,699	1.4%	11	0.7
26	Liberty County	124,988	3.4%	8	(11,259)	-0.3%	33	-
27	Montgomery County	1,366,550	3.6%	10	470,373	1.2%	1	0.7
28	NASA/Clear Lake	1,871,310	6.2%	35	(11,302)	0%	34	-
29	Near North	433,459	3.3%	7	78,040	0.6%	14	0.2
30	Near Northeast	200,576	5.5%	30	(40,712)	-1.1%	37	-
31	Near Northwest Oaks	382,993	3.5%	9	110,383	1.0%	9	0.2
32	Near NW Spring Valley	965,255	9.1%	44	(9,944)	-0.1%	31	-
33	Near South	79,616	2.7%	4	263	0%	29	-
34	Near Southeast	1,463,688	8.0%	43	(71,436)	-0.4%	40	-
35	Near SW Central	115,874	4.1%	14	1,226	0%	28	10.3
36	Near West	672,447	5.1%	27	(182,044)	-1.4%	47	-
37	North Belt/Greenspnt	805,818	11.5%	46	19,788	0.3%	24	0.5
38	Pasadena/Galena Park	208,229	3.1%	6	(52,629)	-0.8%	39	-
39	San Jacinto County	8,480	1.5%	2	2,873	0.5%	27	-
40	Southeast Outlier	726,655	4.3%	18	(10,030)	-0.1%	32	-
41	Southwest	748,335	4.0%	13	(75,570)	-0.4%	41	-
42	Spring Creek	553,040	7.9%	41	(76,496)	-1.1%	42	-

SUBMARKET VACANCY & NET ABSORPTION

		Vacancy			12 Month Absorption			
No.	Submarket	SF	Percent	Rank	SF	% of Inv	Rank	Construc. Ratio
43	Stafford	539,278	6.4%	37	(40,424)	-0.5%	36	-
44	Sugar Land	899,924	6.4%	36	(224,527)	-1.6%	48	-
45	Uptown/Galleria	222,007	5.0%	24	8,931	0.2%	25	-
46	Waller County	21,054	1.2%	1	53,005	3.0%	20	-
47	Westchase	184,392	7.2%	39	77,623	3.0%	15	-
48	Willowbrook	633,785	12.1%	47	(29,220)	-0.6%	35	-

© 2026 CoStar Group - Licensed to Williamson Central Appraisal District - 1445675

Supply & Demand Trends

Houston Retail

OVERALL SUPPLY & DEMAND

	Inventory			Net Absorption		
Year	SF	SF Growth	% Growth	SF	% of Inv	Construction Ratio
2030	450,109,310	2,801,974	0.6%	2,110,766	0.5%	1.3
2029	447,307,336	129,703	0%	(203,928)	0%	-
2028	447,177,633	(477,214)	-0.1%	(395,945)	-0.1%	-
2027	447,654,847	1,328,976	0.3%	2,044,290	0.5%	0.7
2026	446,325,871	2,431,910	0.5%	2,612,406	0.6%	0.9
YTD	444,262,452	368,491	0.1%	189,211	0%	1.9
2025	443,893,961	2,794,841	0.6%	1,982,003	0.4%	1.4
2024	441,099,120	4,271,465	1.0%	2,650,310	0.6%	1.6
2023	436,827,655	4,834,432	1.1%	4,417,677	1.0%	1.1
2022	431,993,223	2,595,372	0.6%	5,094,766	1.2%	0.5
2021	429,397,851	2,847,207	0.7%	4,917,843	1.1%	0.6
2020	426,550,644	7,730,651	1.8%	4,369,366	1.0%	1.8
2019	418,819,993	6,960,576	1.7%	5,893,669	1.4%	1.2
2018	411,859,417	6,177,702	1.5%	6,035,599	1.5%	1.0
2017	405,681,715	8,454,097	2.1%	5,079,290	1.3%	1.7
2016	397,227,618	8,630,841	2.2%	9,597,861	2.4%	0.9
2015	388,596,777	6,619,361	1.7%	7,379,754	1.9%	0.9
2014	381,977,416	5,254,118	1.4%	7,620,892	2.0%	0.7

MALLS SUPPLY & DEMAND

	Inventory			Net Absorption		
Year	SF	SF Growth	% Growth	SF	% of Inv	Construction Ratio
2030	32,625,839	30,175	0.1%	99,549	0.3%	0.3
2029	32,595,664	(91,407)	-0.3%	(60,824)	-0.2%	-
2028	32,687,071	(131,716)	-0.4%	(138,352)	-0.4%	-
2027	32,818,787	(108,926)	-0.3%	137,779	0.4%	-
2026	32,927,713	690,783	2.1%	628,652	1.9%	1.1
YTD	32,365,345	128,415	0.4%	126,545	0.4%	1.0
2025	32,236,930	162,715	0.5%	310,758	1.0%	0.5
2024	32,074,215	220,380	0.7%	112,799	0.4%	2.0
2023	31,853,835	566,306	1.8%	292,288	0.9%	1.9
2022	31,287,529	(1,140,575)	-3.5%	(345,371)	-1.1%	-
2021	32,428,104	43,733	0.1%	(502,953)	-1.6%	-
2020	32,384,371	431,061	1.3%	(562,965)	-1.7%	-
2019	31,953,310	221,595	0.7%	459,438	1.4%	0.5
2018	31,731,715	266,538	0.8%	96,699	0.3%	2.8
2017	31,465,177	429,778	1.4%	(460,488)	-1.5%	-
2016	31,035,399	634,135	2.1%	949,137	3.1%	0.7
2015	30,401,264	930,647	3.2%	766,315	2.5%	1.2
2014	29,470,617	545,308	1.9%	674,190	2.3%	0.8

© 2026 CoStar Group - Licensed to Williamson Central Appraisal District - 1445675

Supply & Demand Trends

Houston Retail

POWER CENTER SUPPLY & DEMAND

	Inventory			Net Absorption		
Year	SF	SF Growth	% Growth	SF	% of Inv	Construction Ratio
2030	30,507,556	(57,718)	-0.2%	(69,304)	-0.2%	-
2029	30,565,274	(62,478)	-0.2%	(83,852)	-0.3%	-
2028	30,627,752	(67,107)	-0.2%	(92,723)	-0.3%	-
2027	30,694,859	115,642	0.4%	204,874	0.7%	0.6
2026	30,579,217	224,772	0.7%	296,301	1.0%	0.8
YTD	30,354,445	0	0%	61,828	0.2%	0
2025	30,354,445	0	0%	266,264	0.9%	0
2024	30,354,445	(115,289)	-0.4%	(40,142)	-0.1%	-
2023	30,469,734	238,886	0.8%	289,327	0.9%	0.8
2022	30,230,848	161,997	0.5%	398,187	1.3%	0.4
2021	30,068,851	16,666	0.1%	(197,438)	-0.7%	-
2020	30,052,185	159,055	0.5%	216,560	0.7%	0.7
2019	29,893,130	367,307	1.2%	172,627	0.6%	2.1
2018	29,525,823	386,370	1.3%	(171,500)	-0.6%	-
2017	29,139,453	1,142,414	4.1%	1,179,133	4.0%	1.0
2016	27,997,039	1,387,069	5.2%	1,278,885	4.6%	1.1
2015	26,609,970	87,205	0.3%	126,537	0.5%	0.7
2014	26,522,765	201,271	0.8%	458,141	1.7%	0.4

NEIGHBORHOOD CENTER SUPPLY & DEMAND

	Inventory			Net Absorption		
Year	SF	SF Growth	% Growth	SF	% of Inv	Construction Ratio
2030	120,943,426	612,590	0.5%	532,591	0.4%	1.2
2029	120,330,836	100,294	0.1%	330	0%	303.9
2028	120,230,542	(6,108)	0%	(100,404)	-0.1%	-
2027	120,236,650	228,260	0.2%	374,817	0.3%	0.6
2026	120,008,390	147,387	0.1%	345,330	0.3%	0.4
YTD	119,861,003	0	0%	25,518	0%	0
2025	119,861,003	673,973	0.6%	456,887	0.4%	1.5
2024	119,187,030	528,237	0.4%	(599,869)	-0.5%	-
2023	118,658,793	225,629	0.2%	785,630	0.7%	0.3
2022	118,433,164	359,990	0.3%	1,657,699	1.4%	0.2
2021	118,073,174	568,775	0.5%	1,656,167	1.4%	0.3
2020	117,504,399	1,143,221	1.0%	(669,568)	-0.6%	-
2019	116,361,178	1,156,141	1.0%	1,205,089	1.0%	1.0
2018	115,205,037	1,298,976	1.1%	1,762,672	1.5%	0.7
2017	113,906,061	1,636,525	1.5%	1,166,510	1.0%	1.4
2016	112,269,536	1,977,067	1.8%	2,134,435	1.9%	0.9
2015	110,292,469	1,784,353	1.6%	2,248,970	2.0%	0.8
2014	108,508,116	1,280,506	1.2%	1,803,967	1.7%	0.7

© 2026 CoStar Group - Licensed to Williamson Central Appraisal District - 1445675

STRIP CENTER SUPPLY & DEMAND

	Inventory			Net Absorption		
Year	SF	SF Growth	% Growth	SF	% of Inv	Construction Ratio
2030	43,818,710	393,366	0.9%	311,615	0.7%	1.3
2029	43,425,344	99,436	0.2%	38,058	0.1%	2.6
2028	43,325,908	32,107	0.1%	16,739	0%	1.9
2027	43,293,801	265,618	0.6%	290,045	0.7%	0.9
2026	43,028,183	173,434	0.4%	96,499	0.2%	1.8
YTD	42,925,568	70,819	0.2%	(76,664)	-0.2%	-
2025	42,854,749	515,889	1.2%	328,286	0.8%	1.6
2024	42,338,860	264,118	0.6%	229,294	0.5%	1.2
2023	42,074,742	565,023	1.4%	607,178	1.4%	0.9
2022	41,509,719	566,566	1.4%	661,752	1.6%	0.9
2021	40,943,153	217,930	0.5%	816,359	2.0%	0.3
2020	40,725,223	744,373	1.9%	495,416	1.2%	1.5
2019	39,980,850	488,649	1.2%	228,745	0.6%	2.1
2018	39,492,201	574,967	1.5%	762,290	1.9%	0.8
2017	38,917,234	1,004,993	2.7%	507,064	1.3%	2.0
2016	37,912,241	754,742	2.0%	810,337	2.1%	0.9
2015	37,157,499	608,119	1.7%	784,573	2.1%	0.8
2014	36,549,380	422,202	1.2%	758,202	2.1%	0.6

GENERAL RETAIL SUPPLY & DEMAND

	Inventory			Net Absorption		
Year	SF	SF Growth	% Growth	SF	% of Inv	Construction Ratio
2030	219,201,250	1,790,580	0.8%	1,214,311	0.6%	1.5
2029	217,410,670	77,564	0%	(98,737)	0%	-
2028	217,333,106	(303,954)	-0.1%	(82,035)	0%	-
2027	217,637,060	816,147	0.4%	1,026,192	0.5%	0.8
2026	216,820,913	1,195,909	0.6%	1,249,191	0.6%	1.0
YTD	215,794,261	169,257	0.1%	51,984	0%	3.3
2025	215,625,004	1,433,027	0.7%	591,578	0.3%	2.4
2024	214,191,977	3,374,019	1.6%	2,929,105	1.4%	1.2
2023	210,817,958	3,238,588	1.6%	2,428,912	1.2%	1.3
2022	207,579,370	2,647,394	1.3%	2,760,098	1.3%	1.0
2021	204,931,976	2,000,103	1.0%	3,145,148	1.5%	0.6
2020	202,931,873	5,188,486	2.6%	4,655,961	2.3%	1.1
2019	197,743,387	4,684,314	2.4%	3,781,765	1.9%	1.2
2018	193,059,073	3,642,661	1.9%	3,562,856	1.8%	1.0
2017	189,416,412	4,101,952	2.2%	2,532,978	1.3%	1.6
2016	185,314,460	3,865,563	2.1%	4,436,003	2.4%	0.9
2015	181,448,897	3,209,037	1.8%	3,457,318	1.9%	0.9
2014	178,239,860	2,804,831	1.6%	3,922,931	2.2%	0.7

© 2026 CoStar Group - Licensed to Williamson Central Appraisal District - 1445675

OTHER SUPPLY & DEMAND

	Inventory			Net Absorption		
Year	SF	SF Growth	% Growth	SF	% of Inv	Construction Ratio
2030	3,012,529	32,981	1.1%	22,004	0.7%	1.5
2029	2,979,548	6,294	0.2%	1,097	0%	5.7
2028	2,973,254	(436)	0%	830	0%	-
2027	2,973,690	12,235	0.4%	10,583	0.4%	1.2
2026	2,961,455	(375)	0%	(3,567)	-0.1%	-
YTD	2,961,830	0	0%	-	-	-
2025	2,961,830	9,237	0.3%	28,230	1.0%	0.3
2024	2,952,593	0	0%	19,123	0.6%	0
2023	2,952,593	0	0%	14,342	0.5%	0
2022	2,952,593	0	0%	(37,599)	-1.3%	-
2021	2,952,593	0	0%	560	0%	0
2020	2,952,593	64,455	2.2%	233,962	7.9%	0.3
2019	2,888,138	42,570	1.5%	46,005	1.6%	0.9
2018	2,845,568	8,190	0.3%	22,582	0.8%	0.4
2017	2,837,378	138,435	5.1%	154,093	5.4%	0.9
2016	2,698,943	12,265	0.5%	(10,936)	-0.4%	-
2015	2,686,678	0	0%	(3,959)	-0.1%	-
2014	2,686,678	0	0%	3,461	0.1%	0

© 2026 CoStar Group - Licensed to Williamson Central Appraisal District - 1445675

OVERALL RENT & VACANCY

	Market Asking Rent				Vacancy		
Year	Per SF	Index	% Growth	Vs Hist Peak	SF	Percent	Ppts Chg
2030	$28.76	174	2.5%	16.5%	23,654,701	5.3%	0.1%
2029	$28.06	169	3.0%	13.7%	23,023,029	5.1%	0.1%
2028	$27.26	165	3.9%	10.4%	22,640,064	5.1%	0%
2027	$26.24	159	4.2%	6.3%	22,749,385	5.1%	-0.2%
2026	$25.19	152	2.0%	2.0%	23,469,584	5.3%	-0.1%
YTD	$24.66	149	2.0%	-0.1%	23,796,559	5.4%	0%
2025	$24.69	149	2.5%	0%	23,617,279	5.3%	0.1%
2024	$24.08	145	2.6%	-2.5%	22,808,941	5.2%	0.3%
2023	$23.48	142	3.6%	-4.9%	21,200,839	4.9%	0%
2022	$22.67	137	4.3%	-8.2%	20,799,242	4.8%	-0.6%
2021	$21.73	131	3.2%	-12.0%	23,314,886	5.4%	-0.5%
2020	$21.05	127	1.7%	-14.7%	25,394,412	6.0%	0.7%
2019	$20.69	125	1.9%	-16.2%	22,082,159	5.3%	0.2%
2018	$20.31	123	2.8%	-17.7%	21,063,145	5.1%	-0.1%
2017	$19.77	119	2.5%	-19.9%	21,121,760	5.2%	0.7%
2016	$19.29	116	2.5%	-21.9%	17,849,783	4.5%	-0.4%
2015	$18.81	114	3.3%	-23.8%	18,881,698	4.9%	-0.3%
2014	$18.20	110	4.0%	-26.3%	19,646,704	5.1%	-0.7%

MALLS RENT & VACANCY

	Market Asking Rent				Vacancy		
Year	Per SF	Index	% Growth	Vs Hist Peak	SF	Percent	Ppts Chg
2030	$38.96	178	2.4%	18.7%	2,398,993	7.4%	-0.2%
2029	$38.05	174	2.8%	15.9%	2,468,890	7.6%	-0.1%
2028	$37	169	3.9%	12.7%	2,498,614	7.6%	0.1%
2027	$35.60	163	4.7%	8.4%	2,491,071	7.6%	-0.7%
2026	$34.01	155	3.6%	3.6%	2,737,134	8.3%	0%
YTD	$32.88	150	2.7%	0.1%	2,671,316	8.3%	0%
2025	$32.83	150	3.1%	0%	2,669,446	8.3%	-0.5%
2024	$31.86	146	2.4%	-3.0%	2,817,489	8.8%	0.3%
2023	$31.12	142	3.4%	-5.2%	2,709,908	8.5%	0.7%
2022	$30.11	138	4.4%	-8.3%	2,435,890	7.8%	-2.2%
2021	$28.83	132	3.1%	-12.2%	3,231,094	10.0%	1.7%
2020	$27.96	128	1.2%	-14.8%	2,684,408	8.3%	3.0%
2019	$27.64	126	1.7%	-15.8%	1,690,382	5.3%	-0.8%
2018	$27.18	124	2.7%	-17.2%	1,928,225	6.1%	0.5%
2017	$26.47	121	2.3%	-19.4%	1,758,386	5.6%	2.8%
2016	$25.87	118	3.3%	-21.2%	868,120	2.8%	-1.2%
2015	$25.04	114	4.3%	-23.7%	1,205,719	4.0%	0.4%
2014	$24.01	110	4.7%	-26.9%	1,041,400	3.5%	-0.5%

© 2026 CoStar Group - Licensed to Williamson Central Appraisal District - 1445675

POWER CENTER RENT & VACANCY

	Market Asking Rent				Vacancy		
Year	Per SF	Index	% Growth	Vs Hist Peak	SF	Percent	Ppts Chg
2030	$34.25	177	2.4%	17.5%	899,640	2.9%	0%
2029	$33.46	173	2.8%	14.8%	886,541	2.9%	0.1%
2028	$32.55	168	3.8%	11.7%	863,655	2.8%	0.1%
2027	$31.36	162	4.4%	7.6%	836,588	2.7%	-0.3%
2026	$30.05	155	3.1%	3.1%	924,665	3.0%	-0.3%
YTD	$29.18	151	2.6%	0.1%	933,347	3.1%	-0.2%
2025	$29.14	151	2.9%	0%	995,175	3.3%	-0.9%
2024	$28.31	146	2.6%	-2.9%	1,261,439	4.2%	-0.2%
2023	$27.59	143	3.5%	-5.3%	1,336,586	4.4%	-0.2%
2022	$26.65	138	4.4%	-8.6%	1,387,027	4.6%	-0.8%
2021	$25.53	132	3.2%	-12.4%	1,623,217	5.4%	0.7%
2020	$24.74	128	1.5%	-15.1%	1,409,113	4.7%	-0.2%
2019	$24.38	126	1.8%	-16.3%	1,466,618	4.9%	0.6%
2018	$23.95	124	2.7%	-17.8%	1,271,938	4.3%	1.8%
2017	$23.31	120	2.5%	-20.0%	728,086	2.5%	-0.2%
2016	$22.75	118	3.0%	-21.9%	764,805	2.7%	0.3%
2015	$22.10	114	3.8%	-24.2%	656,621	2.5%	-0.2%
2014	$21.29	110	4.3%	-26.9%	695,953	2.6%	-1.0%

NEIGHBORHOOD CENTER RENT & VACANCY

	Market Asking Rent				Vacancy		
Year	Per SF	Index	% Growth	Vs Hist Peak	SF	Percent	Ppts Chg
2030	$28.34	178	2.7%	18.9%	8,673,858	7.2%	0%
2029	$27.60	173	3.2%	15.7%	8,601,869	7.1%	0.1%
2028	$26.75	168	4.2%	12.2%	8,497,332	7.1%	0.1%
2027	$25.68	161	4.7%	7.7%	8,406,148	7.0%	-0.1%
2026	$24.54	154	2.9%	2.9%	8,553,893	7.1%	-0.2%
YTD	$23.87	150	2.8%	0.1%	8,723,237	7.3%	0%
2025	$23.85	150	3.1%	0%	8,748,755	7.3%	0.1%
2024	$23.13	145	2.8%	-3.0%	8,531,669	7.2%	0.9%
2023	$22.50	141	3.7%	-5.7%	7,403,563	6.2%	-0.5%
2022	$21.71	136	4.4%	-9.0%	7,963,564	6.7%	-1.1%
2021	$20.78	130	3.2%	-12.8%	9,261,273	7.8%	-1.0%
2020	$20.14	126	1.7%	-15.6%	10,348,665	8.8%	1.5%
2019	$19.80	124	1.9%	-17.0%	8,536,276	7.3%	-0.1%
2018	$19.43	122	2.7%	-18.5%	8,583,224	7.5%	-0.5%
2017	$18.93	119	2.6%	-20.6%	9,104,379	8.0%	0.3%
2016	$18.46	116	2.6%	-22.6%	8,649,299	7.7%	-0.3%
2015	$17.99	113	3.4%	-24.6%	8,800,277	8.0%	-0.6%
2014	$17.41	109	4.0%	-27.0%	9,264,894	8.5%	-0.6%

© 2026 CoStar Group - Licensed to Williamson Central Appraisal District - 1445675

STRIP CENTER RENT & VACANCY

	Market Asking Rent				Vacancy		
Year	Per SF	Index	% Growth	Vs Hist Peak	SF	Percent	Ppts Chg
2030	$28.06	168	2.4%	15.8%	3,257,409	7.4%	0.1%
2029	$27.42	164	2.8%	13.2%	3,182,653	7.3%	0.1%
2028	$26.67	160	3.8%	10.1%	3,122,080	7.2%	0%
2027	$25.70	154	4.1%	6.1%	3,112,149	7.2%	-0.1%
2026	$24.69	148	1.9%	1.9%	3,140,093	7.3%	0.2%
YTD	$24.19	145	2.0%	-0.2%	3,209,862	7.5%	0.3%
2025	$24.23	145	2.5%	0%	3,062,379	7.1%	0.4%
2024	$23.63	141	2.6%	-2.5%	2,874,776	6.8%	0%
2023	$23.03	138	3.5%	-4.9%	2,847,075	6.8%	-0.2%
2022	$22.25	133	4.2%	-8.2%	2,889,230	7.0%	-0.3%
2021	$21.36	128	3.1%	-11.8%	2,984,416	7.3%	-1.5%
2020	$20.71	124	1.7%	-14.5%	3,582,845	8.8%	0.4%
2019	$20.36	122	1.8%	-16.0%	3,361,278	8.4%	0.5%
2018	$20.01	120	2.9%	-17.4%	3,121,485	7.9%	-0.6%
2017	$19.45	116	2.3%	-19.7%	3,308,808	8.5%	1.0%
2016	$19.02	114	2.2%	-21.5%	2,837,744	7.5%	-0.3%
2015	$18.61	111	2.9%	-23.2%	2,908,739	7.8%	-0.6%
2014	$18.08	108	3.5%	-25.4%	3,085,193	8.4%	-1.0%

GENERAL RETAIL RENT & VACANCY

	Market Asking Rent				Vacancy		
Year	Per SF	Index	% Growth	Vs Hist Peak	SF	Percent	Ppts Chg
2030	$26.77	171	2.4%	14.5%	8,276,350	3.8%	0.2%
2029	$26.14	167	2.9%	11.8%	7,745,519	3.6%	0.1%
2028	$25.40	162	3.7%	8.7%	7,526,023	3.5%	-0.1%
2027	$24.50	156	3.8%	4.8%	7,769,734	3.6%	-0.1%
2026	$23.61	151	1.0%	1.0%	7,981,712	3.7%	0%
YTD	$23.29	149	1.3%	-0.4%	8,129,915	3.8%	0.1%
2025	$23.37	149	2.0%	0%	8,012,642	3.7%	0.4%
2024	$22.91	146	2.4%	-2.0%	7,175,693	3.4%	0.2%
2023	$22.37	143	3.6%	-4.3%	6,736,709	3.2%	0.3%
2022	$21.58	138	4.3%	-7.6%	5,942,191	2.9%	-0.1%
2021	$20.70	132	3.3%	-11.4%	6,071,145	3.0%	-0.6%
2020	$20.05	128	1.9%	-14.2%	7,225,080	3.6%	0.2%
2019	$19.67	126	1.9%	-15.8%	6,713,797	3.4%	0.4%
2018	$19.30	123	2.8%	-17.4%	5,841,030	3.0%	-0.1%
2017	$18.77	120	2.6%	-19.7%	5,890,466	3.1%	0.7%
2016	$18.31	117	2.4%	-21.7%	4,382,522	2.4%	-0.4%
2015	$17.89	114	3.1%	-23.5%	4,986,250	2.7%	-0.2%
2014	$17.35	111	4.0%	-25.8%	5,239,131	2.9%	-0.7%

© 2026 CoStar Group - Licensed to Williamson Central Appraisal District - 1445675

OTHER RENT & VACANCY

	Market Asking Rent				Vacancy		
Year	Per SF	Index	% Growth	Vs Hist Peak	SF	Percent	Ppts Chg
2030	$30.34	185	3.0%	21.7%	148,451	4.9%	0.3%
2029	$29.47	180	3.6%	18.2%	137,557	4.6%	0.2%
2028	$28.45	173	4.7%	14.1%	132,360	4.5%	0%
2027	$27.18	166	5.2%	9.0%	133,695	4.5%	0%
2026	$25.83	157	3.6%	3.6%	132,087	4.5%	0.1%
YTD	$24.97	152	2.9%	0.1%	128,882	4.4%	0%
2025	$24.93	152	3.2%	0%	128,882	4.4%	-0.7%
2024	$24.16	147	2.9%	-3.1%	147,875	5.0%	-0.6%
2023	$23.49	143	3.4%	-5.8%	166,998	5.7%	-0.5%
2022	$22.71	138	4.4%	-8.9%	181,340	6.1%	1.3%
2021	$21.75	133	3.3%	-12.8%	143,741	4.9%	0%
2020	$21.05	128	1.5%	-15.6%	144,301	4.9%	-6.0%
2019	$20.73	126	2.3%	-16.8%	313,808	10.9%	-0.3%
2018	$20.26	123	2.7%	-18.8%	317,243	11.1%	-0.5%
2017	$19.72	120	2.4%	-20.9%	331,635	11.7%	-1.2%
2016	$19.26	117	2.8%	-22.7%	347,293	12.9%	0.8%
2015	$18.74	114	3.5%	-24.8%	324,092	12.1%	0.1%
2014	$18.11	110	3.9%	-27.4%	320,133	11.9%	-0.1%

© 2026 CoStar Group - Licensed to Williamson Central Appraisal District - 1445675

Sale Trends

OVERALL SALES

	Completed Transactions (1)						Market Pricing Trends (2)		
Year	Deals	Volume	Turnover	Avg Price	Avg Price/SF	Avg Cap Rate	Price/SF	Price Index	Cap Rate
2030	-	-	-	-	-	-	$302.45	225	7.1%
2029	-	-	-	-	-	-	$294.41	219	7.1%
2028	-	-	-	-	-	-	$283.71	211	7.1%
2027	-	-	-	-	-	-	$269.88	201	7.2%
2026	-	-	-	-	-	-	$255.80	191	7.3%
YTD	204	$117.7M	0.5%	$3,676,979	$300.91	6.2%	$249.99	186	7.3%
2025	1,731	$1B	4.8%	$4,194,119	$300.94	6.9%	$249.67	186	7.3%
2024	1,120	$667.4M	2.8%	$3,440,027	$285.36	6.4%	$237.74	177	7.4%
2023	1,229	$830M	3.3%	$3,487,547	$262.42	6.2%	$237.98	177	7.2%
2022	1,722	$1.2B	5.1%	$3,910,982	$257.82	5.8%	$236.45	176	7.0%
2021	1,991	$1.5B	6.0%	$3,518,160	$248.59	6.1%	$226.69	169	7.0%
2020	1,200	$462.6M	2.5%	$2,234,793	$247.21	6.5%	$213.72	159	7.1%
2019	1,283	$716.9M	3.3%	$2,778,624	$191.80	6.6%	$210.82	157	7.1%
2018	1,559	$766.4M	5.4%	$2,651,739	$177.57	6.7%	$203.86	152	7.2%
2017	1,352	$1.1B	4.1%	$3,697,504	$227.52	6.8%	$201.86	150	7.1%
2016	1,316	$664.2M	3.6%	$2,744,682	$205.20	6.8%	$201.36	150	7.0%
2015	1,347	$964.1M	5.8%	$3,480,622	$192.22	7.0%	$198.53	148	7.0%

(1) Completed transaction data is based on actual arms-length sales transactions and levels are dependent on the mix of what happened to sell in the period.
(2) Market price trends data is based on the estimated price movement of all properties in the market, informed by actual transactions that have occurred. The price index is not smoothed.

MALLS SALES

	Completed Transactions (1)						Market Pricing Trends (2)		
Year	Deals	Volume	Turnover	Avg Price	Avg Price/SF	Avg Cap Rate	Price/SF	Price Index	Cap Rate
2030	-	-	-	-	-	-	$277.03	214	7.2%
2029	-	-	-	-	-	-	$270.19	209	7.2%
2028	-	-	-	-	-	-	$260.90	201	7.2%
2027	-	-	-	-	-	-	$248.08	192	7.3%
2026	-	-	-	-	-	-	$233.33	180	7.4%
YTD	4	-	0.2%	-	-	-	$224.21	173	7.4%
2025	14	$2.5M	1.9%	$2,500,000	$321.42	-	$223.92	173	7.4%
2024	5	$184.7M	1.5%	$92,371,295	$593.69	-	$210.44	163	7.5%
2023	4	$5.4M	0.7%	$5,369,875	$37.60	-	$211.41	163	7.3%
2022	24	$13.9M	5.3%	$6,967,500	$88.42	6.6%	$210.92	163	7.1%
2021	8	$16.2M	1.3%	$8,075,000	$112.47	7.0%	$200.98	155	7.1%
2020	11	$8M	0.7%	$2,670,500	$735.20	5.5%	$190.51	147	7.2%
2019	2	$0	0.1%	-	-	-	$191.13	148	7.2%
2018	59	$1.8M	20.0%	$1,750,000	$8.24	-	$187.99	145	7.1%
2017	10	$6.8M	3.3%	$2,268,404	$166.92	5.9%	$189.60	146	7.0%
2016	5	$5.8M	1.1%	$2,885,672	$389.69	6.1%	$189.75	147	6.9%
2015	33	$56.4M	15.6%	$5,635,000	$230.92	5.7%	$187.28	145	6.9%

(1) Completed transaction data is based on actual arms-length sales transactions and levels are dependent on the mix of what happened to sell in the period.
(2) Market price trends data is based on the estimated price movement of all properties in the market, informed by actual transactions that have occurred. The price index is not smoothed.

© 2026 CoStar Group - Licensed to Williamson Central Appraisal District - 1445675

POWER CENTER SALES

	Completed Transactions (1)						Market Pricing Trends (2)		
Year	Deals	Volume	Turnover	Avg Price	Avg Price/SF	Avg Cap Rate	Price/SF	Price Index	Cap Rate
2030	-	-	-	-	-	-	$283.25	213	7.3%
2029	-	-	-	-	-	-	$276.18	208	7.3%
2028	-	-	-	-	-	-	$266.58	201	7.3%
2027	-	-	-	-	-	-	$253.65	191	7.4%
2026	-	-	-	-	-	-	$239.41	180	7.5%
YTD	1	-	0%	-	-	-	$231.13	174	7.5%
2025	27	$127.9M	4.7%	$8,523,784	$167.71	6.0%	$230.68	174	7.5%
2024	17	$3.7M	2.5%	$1,825,000	$386.73	5.4%	$214.75	162	7.6%
2023	30	$209M	3.2%	$11,611,273	$312.58	6.8%	$214.98	162	7.4%
2022	47	$105M	5.4%	$4,563,275	$124.26	4.1%	$217.27	164	7.1%
2021	108	$326.2M	13.5%	$6,656,771	$177.05	6.2%	$208.88	157	7.1%
2020	22	$13M	2.4%	$3,242,500	$800.57	5.6%	$199.30	150	7.2%
2019	12	$16.6M	0.8%	$3,321,663	$532.68	6.0%	$198.75	150	7.2%
2018	19	$2.8M	2.1%	$1,377,500	$244.13	6.4%	$193.91	146	7.2%
2017	28	$199.7M	4.5%	$11,749,219	$222.43	6.5%	$197.24	149	7.1%
2016	24	$129.7M	2.9%	$7,627,875	$202.16	5.5%	$196.60	148	7.0%
2015	73	$333M	8.8%	$7,084,584	$219.69	7.8%	$194.74	147	6.9%

(1) Completed transaction data is based on actual arms-length sales transactions and levels are dependent on the mix of what happened to sell in the period.
(2) Market price trends data is based on the estimated price movement of all properties in the market, informed by actual transactions that have occurred. The price index is not smoothed.

NEIGHBORHOOD CENTER SALES

	Completed Transactions (1)						Market Pricing Trends (2)		
Year	Deals	Volume	Turnover	Avg Price	Avg Price/SF	Avg Cap Rate	Price/SF	Price Index	Cap Rate
2030	-	-	-	-	-	-	$260.15	224	7.2%
2029	-	-	-	-	-	-	$252.49	218	7.2%
2028	-	-	-	-	-	-	$242.50	209	7.3%
2027	-	-	-	-	-	-	$229.68	198	7.3%
2026	-	-	-	-	-	-	$216.27	186	7.4%
YTD	43	$83.6M	1.0%	$6,433,564	$329.99	5.4%	$209.39	180	7.5%
2025	248	$357.2M	6.0%	$8,930,952	$258.35	6.5%	$208.96	180	7.4%
2024	128	$105.2M	3.0%	$5,535,216	$176.85	6.5%	$195.12	168	7.6%
2023	153	$239.4M	4.0%	$4,788,300	$197.73	6.0%	$195.92	169	7.4%
2022	228	$476.3M	5.9%	$6,804,049	$269.43	5.9%	$195.45	168	7.2%
2021	243	$241.3M	6.2%	$6,186,337	$221.83	5.9%	$186.24	160	7.2%
2020	83	$57.3M	1.5%	$3,581,750	$183.72	6.7%	$176.09	152	7.3%
2019	140	$303.5M	3.9%	$7,401,690	$162.34	6.7%	$176.37	152	7.3%
2018	153	$359.7M	4.4%	$7,494,763	$194.90	6.9%	$169.08	146	7.4%
2017	171	$352.8M	4.1%	$6,414,718	$200.60	7.2%	$167.79	145	7.3%
2016	168	$132.5M	4.4%	$3,397,719	$132.41	7.0%	$168.17	145	7.3%
2015	155	$241.7M	4.8%	$6,041,707	$159.62	7.3%	$165.97	143	7.2%

(1) Completed transaction data is based on actual arms-length sales transactions and levels are dependent on the mix of what happened to sell in the period.
(2) Market price trends data is based on the estimated price movement of all properties in the market, informed by actual transactions that have occurred. The price index is not smoothed.

© 2026 CoStar Group - Licensed to Williamson Central Appraisal District - 1445675

STRIP CENTER SALES

	Completed Transactions (1)						Market Pricing Trends (2)		
Year	Deals	Volume	Turnover	Avg Price	Avg Price/SF	Avg Cap Rate	Price/SF	Price Index	Cap Rate
2030	-	-	-	-	-	-	$321.36	230	7.0%
2029	-	-	-	-	-	-	$313.05	224	7.0%
2028	-	-	-	-	-	-	$301.98	217	7.0%
2027	-	-	-	-	-	-	$287.34	206	7.1%
2026	-	-	-	-	-	-	$272.13	195	7.2%
YTD	15	$6.3M	0.5%	$3,145,000	$153.96	7.2%	$265.62	190	7.2%
2025	164	$34.4M	4.9%	$2,866,377	$268.78	7.0%	$265.67	190	7.2%
2024	95	$58.8M	2.7%	$3,264,378	$270.26	7.0%	$257.35	185	7.2%
2023	88	$57.9M	2.4%	$2,755,285	$262.72	7.0%	$258.03	185	7.0%
2022	177	$89.3M	5.8%	$3,436,459	$227.75	6.8%	$255.17	183	6.8%
2021	178	$177.5M	5.7%	$3,859,106	$273.18	6.9%	$245.52	176	6.8%
2020	116	$31.1M	3.1%	$2,070,148	$245.90	7.0%	$228.24	164	7.0%
2019	122	$36M	3.6%	$1,499,551	$140.73	7.3%	$222.48	160	7.1%
2018	166	$96M	5.9%	$2,525,177	$141.28	7.1%	$215.11	154	7.1%
2017	177	$149.1M	5.5%	$2,663,354	$181.36	7.4%	$211.88	152	7.1%
2016	135	$61.7M	5.0%	$2,805,573	$209.78	7.6%	$213.03	153	7.0%
2015	165	$65.6M	6.6%	$2,428,433	$182.34	7.2%	$209.14	150	6.9%

(1) Completed transaction data is based on actual arms-length sales transactions and levels are dependent on the mix of what happened to sell in the period.
(2) Market price trends data is based on the estimated price movement of all properties in the market, informed by actual transactions that have occurred. The price index is not smoothed.

GENERAL RETAIL SALES

	Completed Transactions (1)						Market Pricing Trends (2)		
Year	Deals	Volume	Turnover	Avg Price	Avg Price/SF	Avg Cap Rate	Price/SF	Price Index	Cap Rate
2030	-	-	-	-	-	-	$329.03	228	7.0%
2029	-	-	-	-	-	-	$320.53	222	7.0%
2028	-	-	-	-	-	-	$309.16	214	7.0%
2027	-	-	-	-	-	-	$294.66	204	7.1%
2026	-	-	-	-	-	-	$280.57	195	7.2%
YTD	141	$27.7M	0.4%	$1,631,588	$286.78	6.2%	$276.38	192	7.2%
2025	1,277	$488.8M	4.7%	$2,825,383	$453.47	6.9%	$276.06	192	7.2%
2024	875	$315M	3.0%	$2,059,116	$261.24	6.2%	$265.23	184	7.2%
2023	953	$318.4M	3.5%	$2,151,266	$345.90	6.1%	$264.95	184	7.0%
2022	1,246	$531.8M	4.6%	$2,798,915	$341.87	5.5%	$262.42	182	6.8%
2021	1,453	$723.5M	5.6%	$2,529,880	$321.71	5.9%	$252.16	175	6.8%
2020	968	$353.3M	3.4%	$2,090,299	$251.25	6.5%	$237.62	165	7.0%
2019	1,005	$360.8M	3.7%	$1,919,246	$228.17	6.4%	$232.64	161	7.0%
2018	1,162	$306.1M	4.1%	$1,530,711	$195.36	6.7%	$225.04	156	7.1%
2017	964	$377.1M	3.8%	$2,327,573	$301.61	6.5%	$221.56	154	7.1%
2016	984	$334.5M	3.4%	$2,065,026	$260.19	6.7%	$220.15	153	7.0%
2015	920	$266.1M	4.3%	$1,750,467	$194.27	6.8%	$216.96	151	6.9%

(1) Completed transaction data is based on actual arms-length sales transactions and levels are dependent on the mix of what happened to sell in the period.
(2) Market price trends data is based on the estimated price movement of all properties in the market, informed by actual transactions that have occurred. The price index is not smoothed.

© 2026 CoStar Group - Licensed to Williamson Central Appraisal District - 1445675

OTHER SALES

	Completed Transactions (1)						Market Pricing Trends (2)		
Year	Deals	Volume	Turnover	Avg Price	Avg Price/SF	Avg Cap Rate	Price/SF	Price Index	Cap Rate
2030	-	-	-	-	-	-	$275.88	222	7.1%
2029	-	-	-	-	-	-	$267.24	215	7.1%
2028	-	-	-	-	-	-	$255.76	206	7.2%
2027	-	-	-	-	-	-	$241.17	194	7.3%
2026	-	-	-	-	-	-	$225.84	181	7.3%
YTD	0	-	-	-	-	-	$217.43	175	7.4%
2025	1	$0	1.5%	-	-	-	$217.04	174	7.4%
2024	-	-	-	-	-	-	$208.71	168	7.4%
2023	1	$0	2.0%	-	-	-	$208.60	168	7.2%
2022	-	-	-	-	-	-	$206.18	166	7.0%
2021	1	$0	0.3%	-	-	-	$196.69	158	7.0%
2020	-	-	-	-	-	-	$184.88	149	7.2%
2019	2	$0	5.2%	-	-	-	$183.15	147	7.2%
2018	-	-	-	-	-	-	$178.42	143	7.2%
2017	2	$1.5M	3.3%	$1,500,000	$190.82	-	$178.30	143	7.1%
2016	-	-	-	-	-	-	$179.50	144	7.0%
2015	1	$1.5M	0.5%	$1,500,000	$116.41	-	$178.17	143	6.9%

(1) Completed transaction data is based on actual arms-length sales transactions and levels are dependent on the mix of what happened to sell in the period.
(2) Market price trends data is based on the estimated price movement of all properties in the market, informed by actual transactions that have occurred. The price index is not smoothed.

© 2026 CoStar Group - Licensed to Williamson Central Appraisal District - 1445675